DENVER
TRANSPORTATION & INFRASTRUCTURE

July 1, 2025

wwpna The West Washington Park Neighborhood Association

West Washington Park Neighborhood Association

Project Updates

Community Design Role

- City Council Liaison to Transportation Implementation
- Internal DOTI Contact for Community Outreach Planning
- Area Traffic Engineering Escalations (311)
- Coordination between projects, programs and agencies

Current Planning/Construction Projects:

Alameda Lane Repurposing

Alameda Underpass – Current & Future Plans

Active Safe Streets with Bikeway Projects

Virginia and Dakota Neighborhood Bikeway (NBW)
N Pearl Street / N Emerson Street: E 3rd Avenue to E 16th Ave (NBW)

Broadway/I-25 Safety Improvements

Bridge Replacements at Lincoln and 6th Ave Over Cherry Creek

Additional updates:

Vibrant Denver GO Bond Update

Development and Parking – CPD and Curbside Management

96 S Emerson St

Alameda Lane Repurposing:

Project Goals:

- Slow vehicle speeds, reduce incidents of rear end and left turn collisions and minimize conflict for all users traveling along the corridor
- The design does not change the lane configuration along Alameda from Lincoln to Logan
- The design provides drivers one vehicle travel lane in each direction on Alameda Avenue between Pennsylvania and Franklin
- Adds a center turning lane in many sections for safer turning movements
  - a place for drivers to be while they wait to make a turn, preventing backups in the through-travel lane and the unsafe maneuvers drivers sometimes take to get around cars waiting to turn

Alameda Lane Repurposing:

SPEED Initiative:

- Targeted actions to reduce speeds on Alameda Avenue from city limit to city limit
- Additional speed limit signs; feedback signs; traffic signal programming
- Calls for deploying fixed, automated speed enforcement cameras on Alameda Ave and Federal Blvd.
- Recently learned we will have a chance to try out the cameras
  - Not for speed enforcement (people won't be getting tickets)
  - Gather information in terms of gauging speeds as well as the number of people who are speeding on the corridor
- Camera testing will push out our implementation of the lane repurposing project
  - Provides additional time to address any new or lingering community concerns about the lane repurposing plan

Alameda Lane Repurposing - Lincoln St to Clarkson St

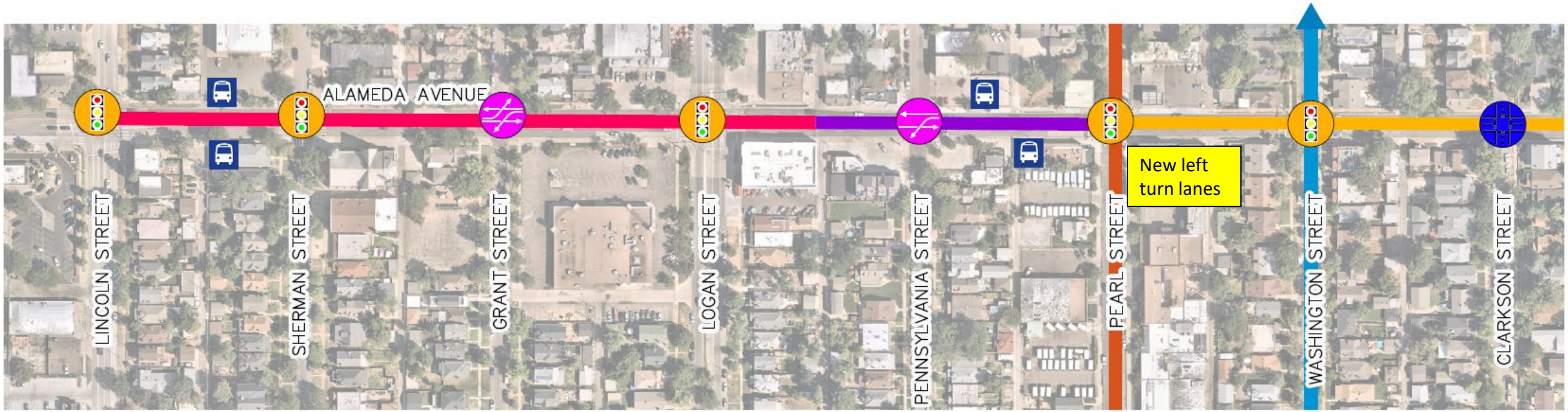

Alameda Lane Repurposing - Emerson St to Franklin St

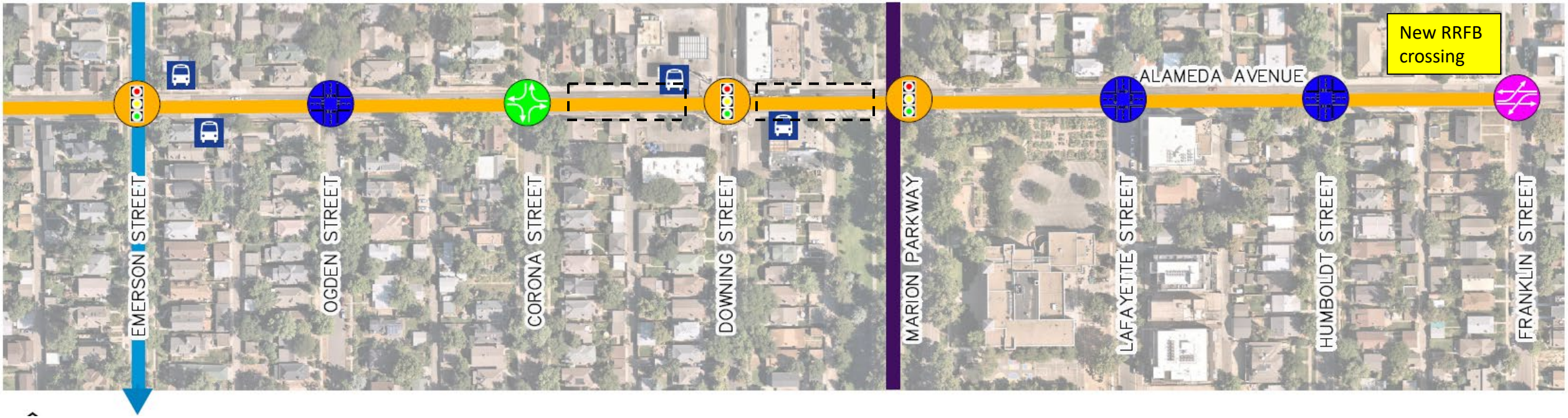

LEGEND

- FULL MOVEMENT INTERSECTION
- 3/4 MOVEMENT INTERSECTION
- 5-LANE
- 3-LANE
- BIKE LANE
- PROTECTED BIKE LANE
- SIGNALIZED INTERSECTION
- RIGHT-IN/ RIGHT-OUT INTERSECTION
- 2 EB, 1 WB, CENTER TURN LANE
- NEIGHBORHOOD BIKEWAY
- BUS STOP

Alameda Lane Reduction:

Project Schedule:

- **Data Collection**: October-December 2019 and Fall 2022– *completed*
- **Analysis/ Alternatives Evaluation**: January-March 2020 – *completed*
- **Public Outreach**: May 2020 – *completed*
- **Design Procurement:** August 2021 – *completed*
- **Public Outreach:** March 2024 – *completed*
- **Design:** Fall 2024 – *completed*
- **Construction Advertisement:** on hold
- **Construction:** dependent on SPEED program implementation

Alameda Underpass - current

- Now thru Spring 2026
- Traffic Control limits span from east of S. Cherokee Street to W. Santa Fe Dr
- Raised walk on north side and metal curtain walls on both sides

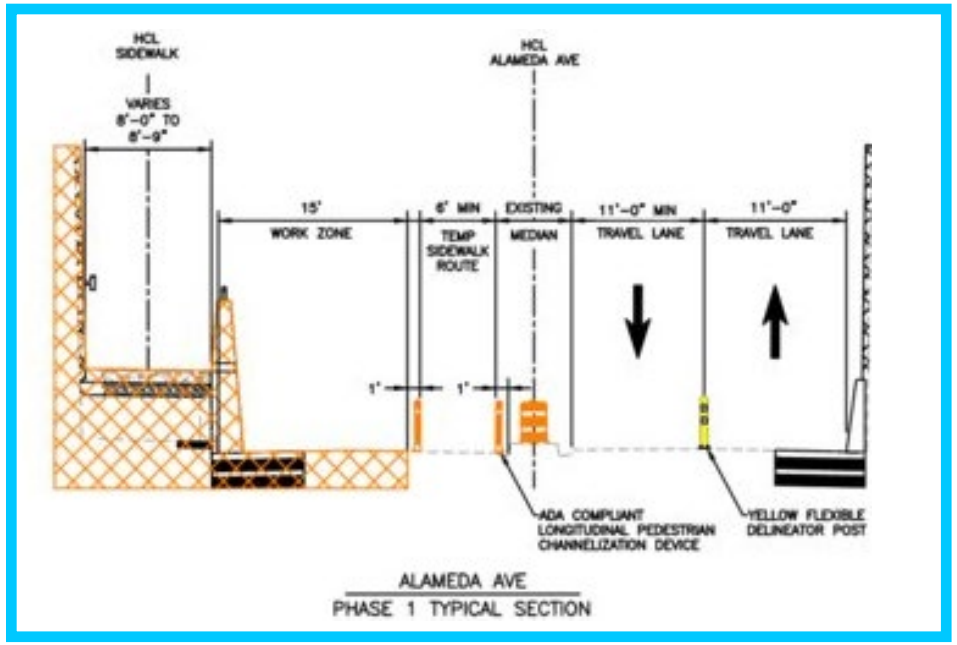

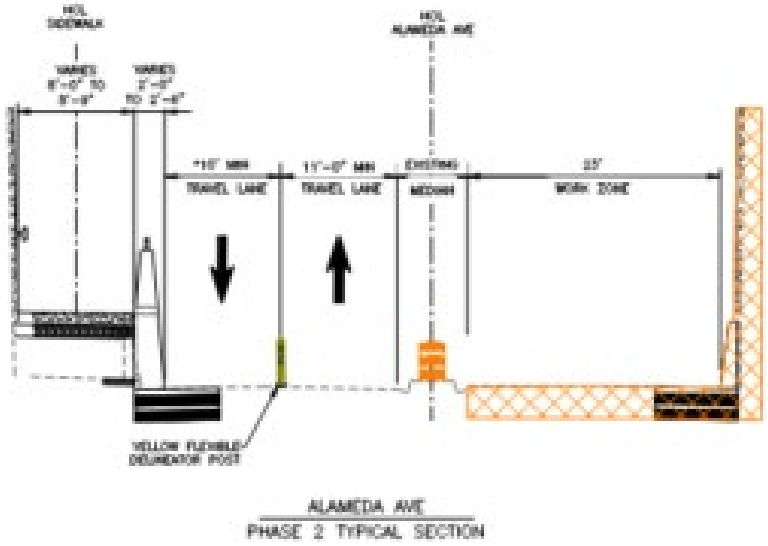

Alameda Underpass - future

- Includes removal of both walls
- Widening of the roadway section to include multimodal upgrades
- Eliminating the railroad bridge piers in the middle of Alameda Ave
- Replacement of the light rail and heavy rail bridges
- Upgrading the drainage system lifespan and replacement
- Approximate $250M project

Broadway & I-25 Safety Improvements

- On-going project thru Spring 2026
- Travel lanes on Broadway are reduced to two lanes in each direction
- Will remain this way through summer of 2025

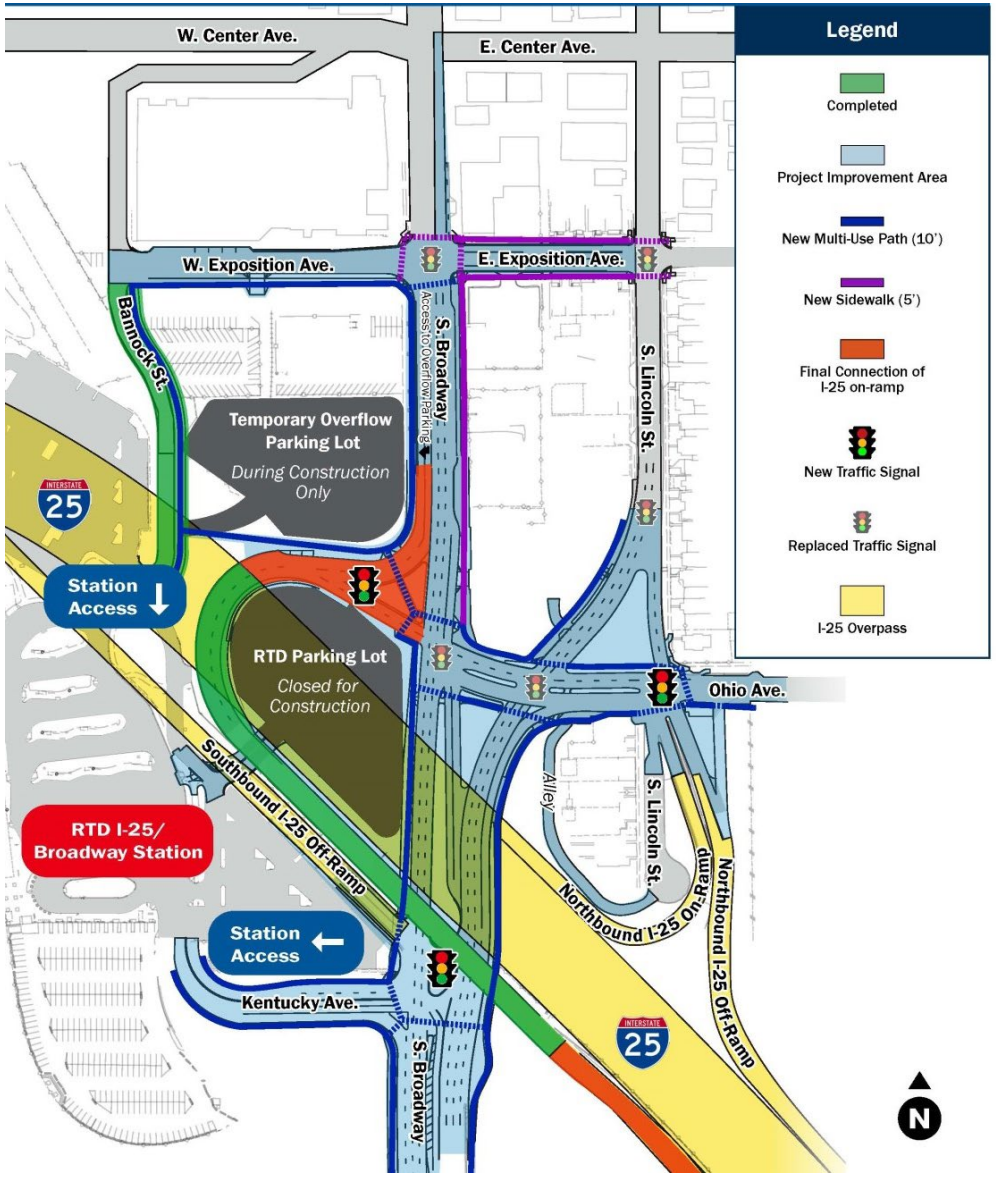

Pearl St/Emerson St NBW: E 3rd Avenue to E 16th Avenue

- Scheduled to begin September 2025

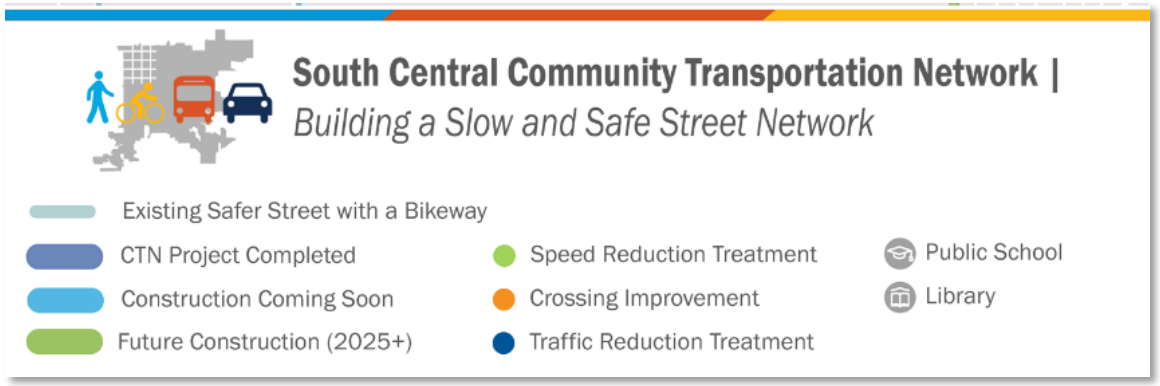

Virginia and Dakota Neighborhood Bikeway

- Scheduled to begin November 2025

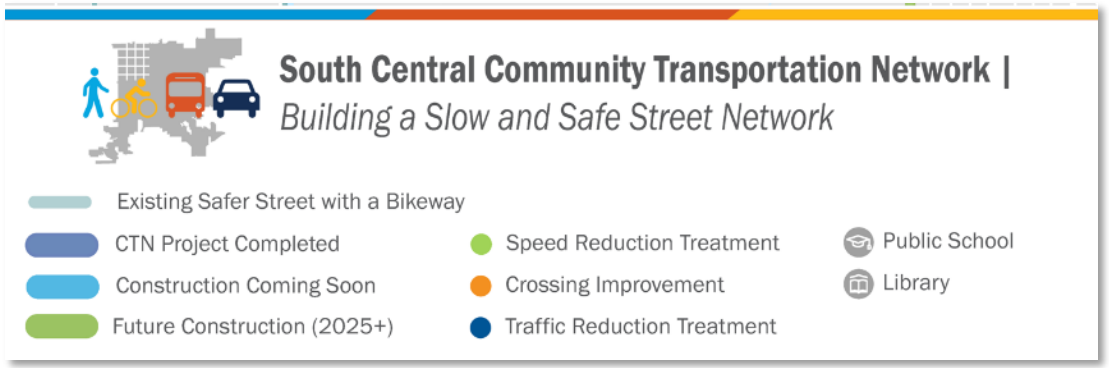

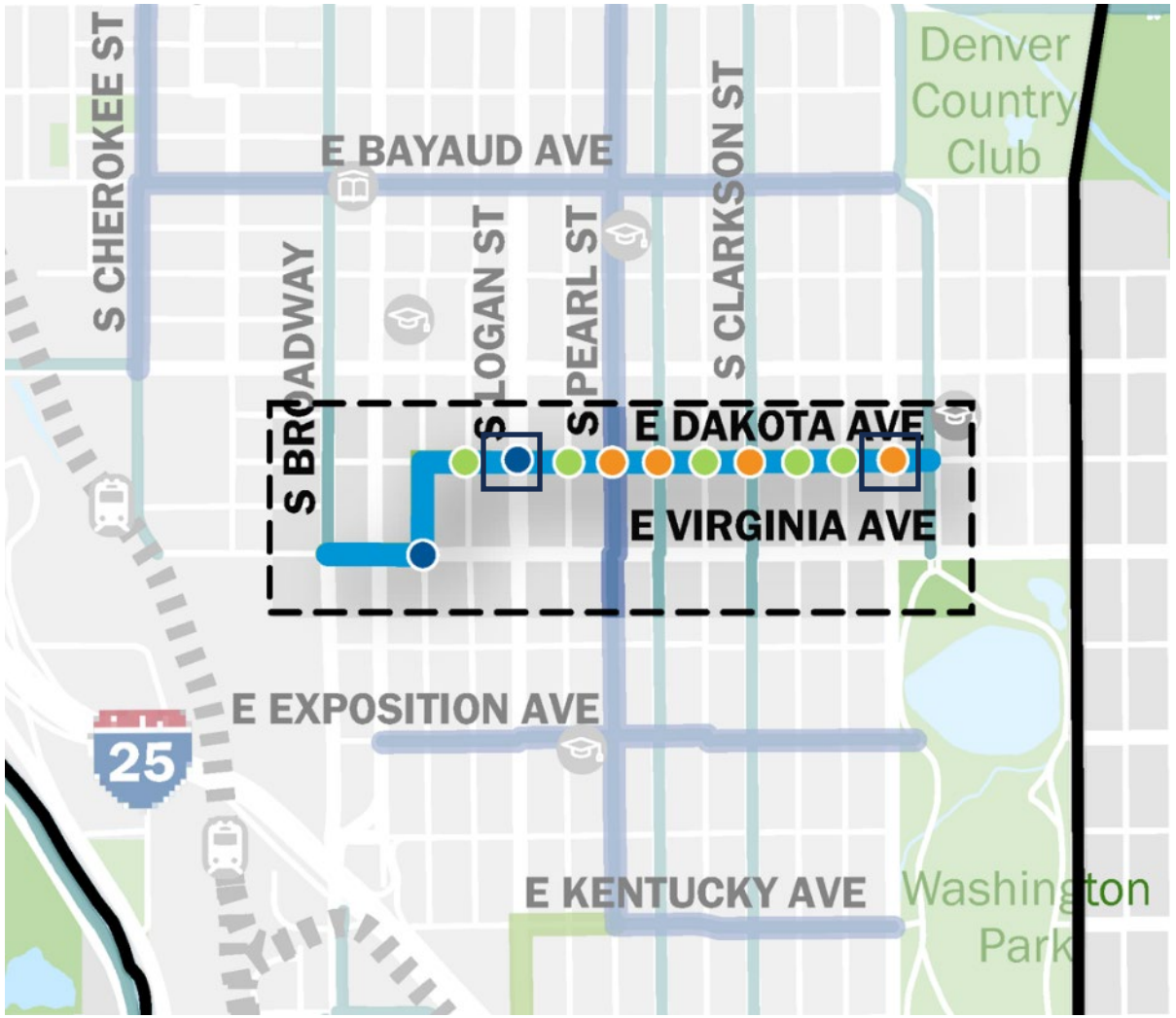

Lincoln Street Bridge & 6th Avenue Bridge over Cherry Creek Replacement

- **Will bring project out to public after 30% design is complete**
- **Understanding of traffic impacts and lane closures**

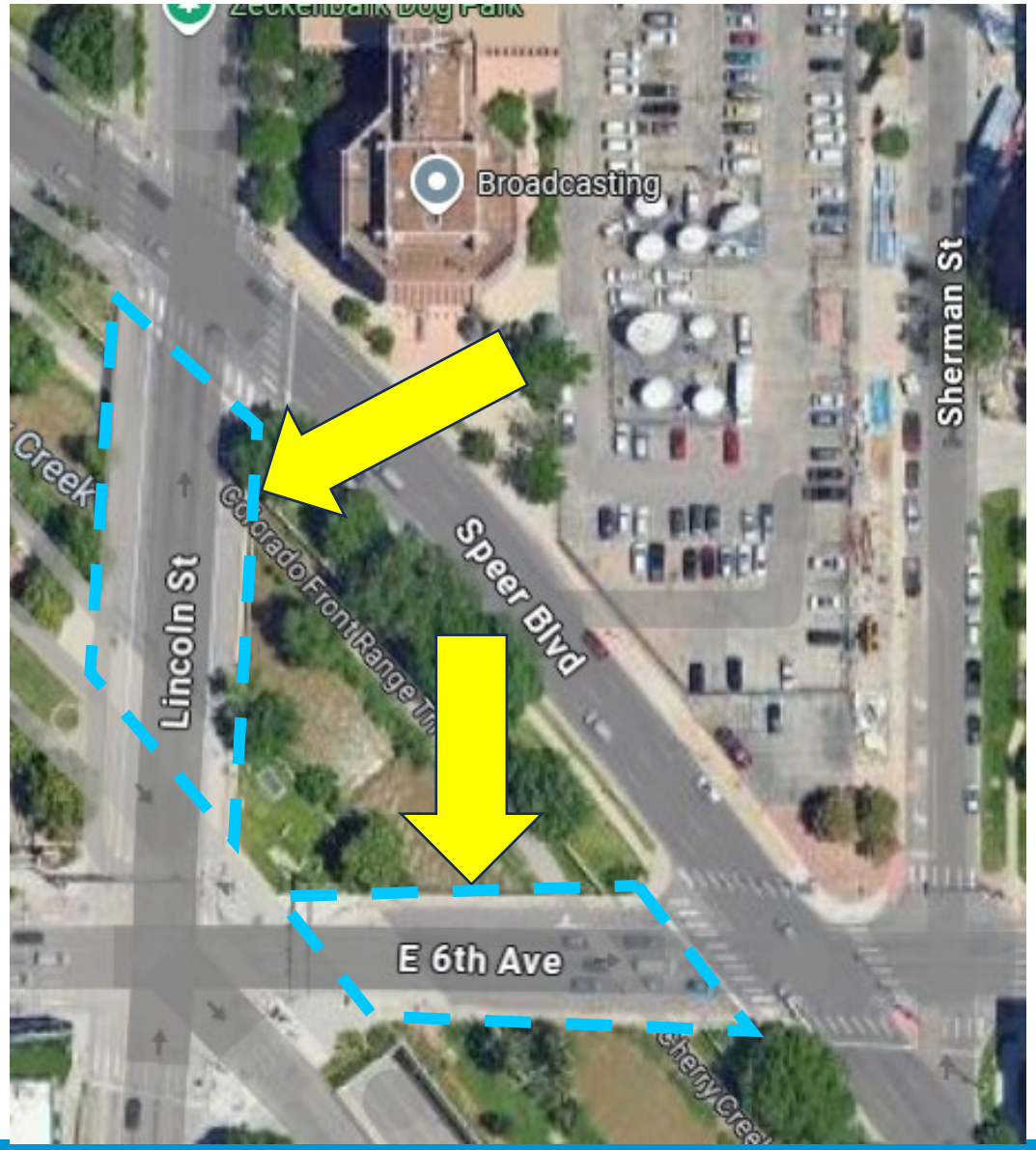

Vibrant Denver GO Bond Updates

- **Connectivity Projects**
- **Full list may be found on the Vibrant Denver Go Bond Website**

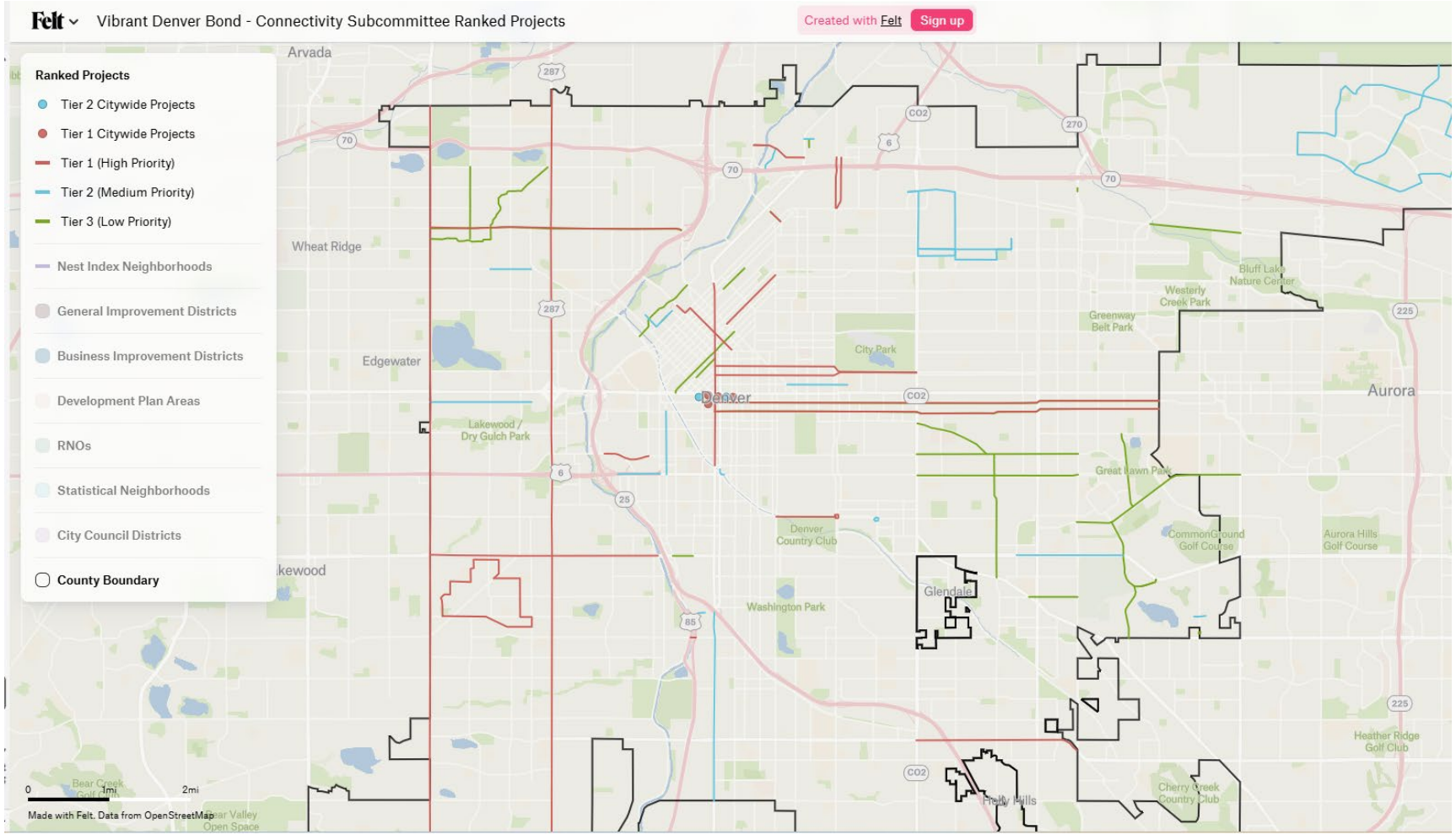

Vibrant Denver GO Bond Updates

Tier	Subcommittee Assignment	City staff Bond Intake Form Project Name	Council District	Source: Six-Year Plan	Source: Council	Source: Public
Tier 1	Arts and Cultural Venues	American Indian Cultural Embassy	TBD		X	X
Tier 1	Arts and Cultural Venues	Boettcher Concert Hall	10	X		X
Tier 1	Arts and Cultural Venues	DAM_Enhancing Sustainability and Access	10			
Tier 1	Arts and Cultural Venues	DMNS_Critical Deferred Maintenance	9			
Tier 1	Arts and Cultural Venues	DPAC Arts Complex Galleria Revitalization	10	X		X
Tier 1	Arts and Cultural Venues	Historic Chinatown/Hop Alley	10		X	X
Tier 1	Arts and Cultural Venues	Loretto Heights Garage	2			X
Tier 1	Arts and Cultural Venues	RedRocks Backstage Expansion	Mtn Parks	X		
Tier 2	Arts and Cultural Venues	Arts Complex Garage Improvements	10	X		X
Tier 2	Arts and Cultural Venues	DCPA_Helen Bonfils Theatre Complex Lobby Improvements	10			X
Tier 2	Arts and Cultural Venues	Denver Zoo-Latin America Experience	9			
Tier 2	Arts and Cultural Venues	DMNS_Geothermal Installation	9			
Tier 3	Arts and Cultural Venues	Burns Park Sculpture Renovation	5			X
Tier 3	Arts and Cultural Venues	DBG_Customer Experience Improvements	10	X	X	X
Tier 3	Arts and Cultural Venues	Garner Galleria	10	X		
Tier 3	Arts and Cultural Venues	Lookout Mountain and Buffalo Bill Museum Renovation	Mtn Parks	X		X
Tier 1	Connectivity	13th and 14th Ave. Safety Improvements Combined	5	X		X
Tier 1	Connectivity	17th and 18th Transit Speed and Reliability Phase II	10	Agency		
Tier 1	Connectivity	1st & University	5	X		X
Tier 1	Connectivity	21st Street/5280 Node	9	X	X	X
Tier 1	Connectivity	38th & Blake Underpass-Reduced Scope	9	X	X	X
Tier 1	Connectivity	8th Ave-Partial Viaduct Replacement	3	X		X
Tier 1	Connectivity	Bike + Corral Build Out	Citywide			X
Tier 1	Connectivity	Broadway (North Segment) Multimodal and Bikeway	Varies	X		X
Tier 1	Connectivity	E 1st Ave and Cherry Creek Trail from S Downing St to S University Blvd Multimodal Reconstruction	5	X		X
Tier 1	Connectivity	Evans Avenue Corridor Reconstruction	4, 6	X	X	X
Tier 1	Connectivity	Federal Blvd. Multimodal Improvements	Varies	Agency		
Tier 1	Connectivity	GES Connections_Marion Underpass	9	X		X
Tier 1	Connectivity	Mississippi over South Platte Bridge Replacement	7	X		X
Tier 1	Connectivity	Neighborhood Streets with Bikeways	Citywide	X	X	X
Tier 1	Connectivity	Pedestrian Crossing Program	Citywide	X	X	X
Tier 1	Connectivity	Sheridan Corridor Safety Study Implementation	3		X	X
Tier 1	Connectivity	Stout 2-way conversion	9	X	X	X
Tier 1	Connectivity	Traffic Calming Program	Citywide	X	X	X
Tier 1	Connectivity	W 38th Avenue Major Multimodal Project - Reduced Scope	1			X
Tier 1	Connectivity	West Alameda Multimodal Improvements	3, 7	X		X
Tier 1	Connectivity	Westwood Via Verde Trail	3		X	X
Tier 1	Connectivity	York/Josephine Two-way Conversion	9			X

96 S Emerson St

- **Project consists of a 5-story above grade senior living building for assisted living and memory care residents and caregivers**

- **Lower-level parking. There are planned to be 110 units and 65 dedicated parking spaces, below grade**

DENVER
TRANSPORTATION & INFRASTRUCTURE

Questions?

Greg Cieciek, PLA
Community Designer CD 7 & 10
gregory.cieciek@denvergov.org