Existing Traffic Counts

Ridgeview Data Collection

Denver, CO
Alameda Lane Reduction
AM Peak
Alameda Ave and Lincoln St

File Name : Alameda and Lincoln AM
Site Code : KHA 623
Start Date : 9/20/2022
Page No : 1

Groups Printed- Automobiles - Bicycle and Pedestrian

	Alameda Ave Eastbound					Alameda Ave Westbound					Lincoln St Northbound					Lincoln St Southbound					
Start Time	Left	Thru	Right	Peds	App. Total	Left	Thru	Right	Peds	App. Total	Left	Thru	Right	Peds	App. Total	Left	Thru	Right	Peds	App. Total	Int. Total
07:00 AM	38	90	0	2	130	0	96	10	2	108	16	372	13	1	402	0	0	0	1	1	641
07:15 AM	41	120	0	1	162	0	88	8	1	97	14	462	20	3	499	0	0	0	4	4	762
07:30 AM	44	160	0	1	205	0	122	14	1	137	24	460	36	1	521	0	0	0	4	4	867
07:45 AM	48	149	0	0	197	0	114	19	0	133	18	469	43	2	532	0	0	0	3	3	865
Total	171	519	0	4	694	0	420	51	4	475	72	1763	112	7	1954	0	0	0	12	12	3135
08:00 AM	47	177	0	0	224	0	153	19	2	174	30	462	52	6	550	0	0	0	1	1	949
08:15 AM	65	159	0	1	225	0	173	21	0	194	23	470	40	3	536	0	0	0	1	1	956
08:30 AM	87	141	0	1	229	0	107	13	1	121	32	469	39	3	543	0	0	0	3	3	896
08:45 AM	83	140	0	2	225	0	143	14	0	157	27	399	32	5	463	0	0	0	1	1	846
Total	282	617	0	4	903	0	576	67	3	646	112	1800	163	17	2092	0	0	0	6	6	3647
Grand Total	453	1136	0	8	1597	0	996	118	7	1121	184	3563	275	24	4046	0	0	0	18	18	6782
Apprch %	28.4	71.1	0	0.5		0	88.8	10.5	0.6		4.5	88.1	6.8	0.6		0	0	0	100		
Total %	6.7	16.8	0	0.1	23.5	0	14.7	1.7	0.1	16.5	2.7	52.5	4.1	0.4	59.7	0	0	0	0.3	0.3	
Automobiles	453	1136	0	0	1589	0	996	118	0	1114	184	3562	275	0	4021	0	0	0	0	0	6724
% Automobiles	100	100	0	0	99.5	0	100	100	0	99.4	100	100	100	0	99.4	0	0	0	0	0	99.1
Bicycle and Pedestrian	0	0	0	8	8	0	0	0	7	7	0	1	0	24	25	0	0	0	18	18	58
% Bicycle and Pedestrian	0	0	0	100	0.5	0	0	0	100	0.6	0	0	0	100	0.6	0	0	0	100	100	0.9

Ridgeview Data Collection

Denver, CO
Alameda Lane Reduction
AM Peak
Alameda Ave and Lincoln St

File Name : Alameda and Lincoln AM
Site Code : KHA 623
Start Date : 9/20/2022
Page No : 2

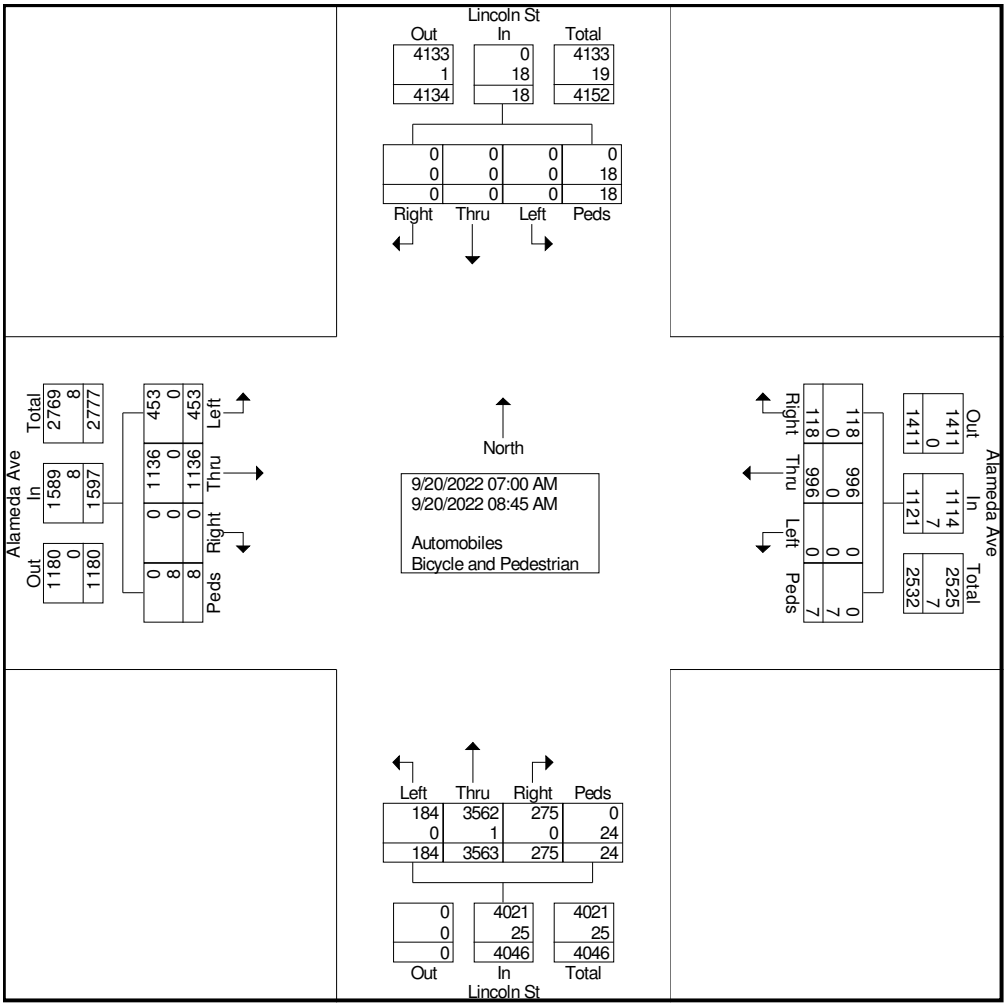

Ridgeview Data Collection

Denver, CO
Alameda Lane Reduction
AM Peak
Alameda Ave and Lincoln St

File Name : Alameda and Lincoln AM
Site Code : KHA 623
Start Date : 9/20/2022
Page No : 3

	Alameda Ave Eastbound					Alameda Ave Westbound					Lincoln St Northbound					Lincoln St Southbound					
Start Time	Left	Thru	Right	Peds	App. Total	Left	Thru	Right	Peds	App. Total	Left	Thru	Right	Peds	App. Total	Left	Thru	Right	Peds	App. Total	Int. Total
Peak Hour Analysis From 07:00 AM to 08:45 AM - Peak 1 of 1																					
Peak Hour for Entire Intersection Begins at 07:45 AM																					
07:45 AM	48	149	0	0	197	0	114	19	0	133	18	469	43	2	532	0	0	0	**3**	**3**	865
08:00 AM	47	**177**	0	0	224	0	153	19	**2**	174	30	462	**52**	**6**	**550**	0	0	0	1	1	949
08:15 AM	65	159	0	**1**	225	0	**173**	**21**	0	**194**	23	**470**	40	3	536	0	0	0	1	1	**956**
08:30 AM	**87**	141	0	1	**229**	0	107	13	1	121	**32**	469	39	3	543	0	0	0	3	3	896
Total Volume	247	626	0	2	875	0	547	72	3	622	103	1870	174	14	2161	0	0	0	8	8	3666
% App. Total	28.2	71.5	0	0.2		0	87.9	11.6	0.5		4.8	86.5	8.1	0.6		0	0	0	100		
PHF	.710	.884	.000	.500	.955	.000	.790	.857	.375	.802	.805	.995	.837	.583	.982	.000	.000	.000	.667	.667	.959

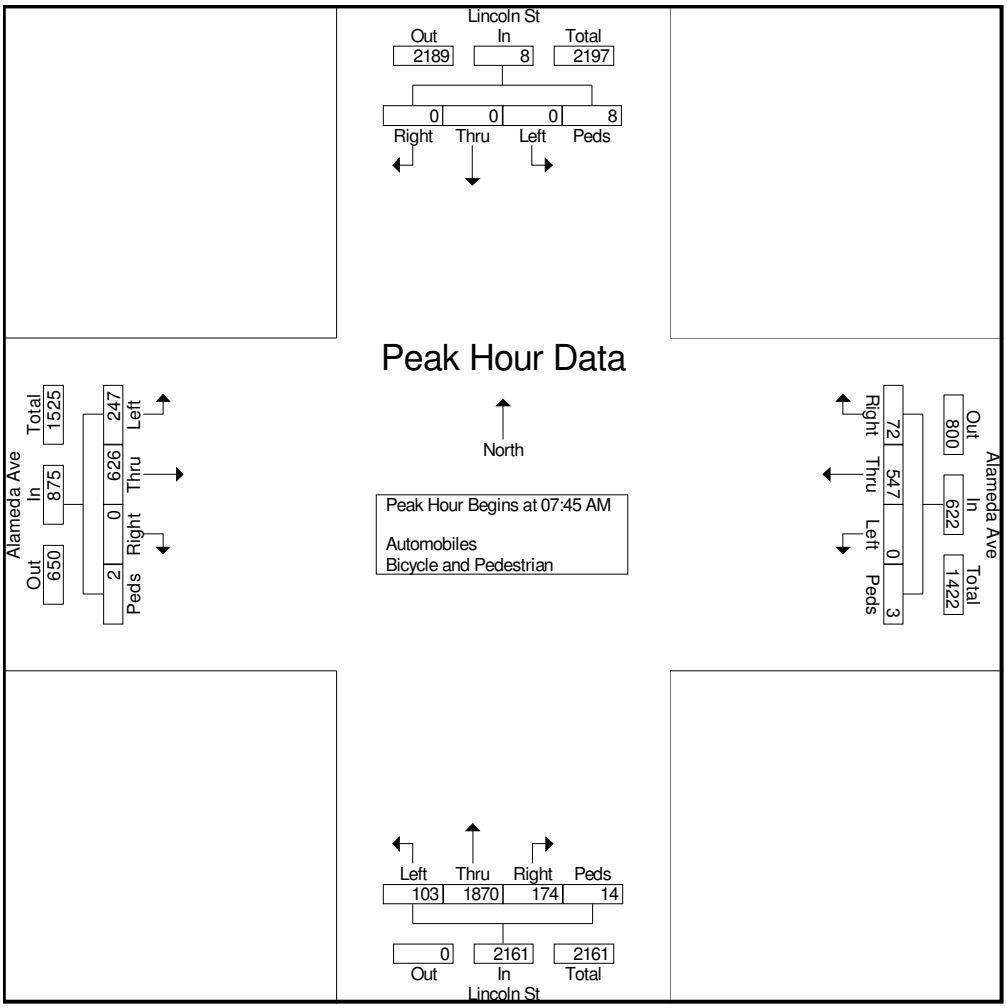

Ridgeview Data Collection

Denver, CO
Alameda Lane Reduction
PM Peak
Alameda Ave and Lincoln St

File Name : Alameda and Lincoln PM
Site Code : KHA 623
Start Date : 9/20/2022
Page No : 1

Groups Printed- Automobiles - Bicycle and Pedestrian

	Alameda Ave Eastbound					Alameda Ave Westbound					Lincoln St Northbound					Lincoln St Southbound					
Start Time	Left	Thru	Right	Peds	App. Total	Left	Thru	Right	Peds	App. Total	Left	Thru	Right	Peds	App. Total	Left	Thru	Right	Peds	App. Total	Int. Total
04:00 PM	60	192	0	0	252	0	179	24	2	205	49	380	36	6	471	0	0	0	8	8	936
04:15 PM	42	185	0	0	227	0	191	19	2	212	81	384	42	3	510	0	0	0	9	9	958
04:30 PM	56	217	0	3	276	0	161	10	0	171	44	393	47	2	486	0	0	0	5	5	938
04:45 PM	49	217	0	3	269	0	157	18	2	177	38	378	30	2	448	0	0	0	7	7	901
Total	207	811	0	6	1024	0	688	71	6	765	212	1535	155	13	1915	0	0	0	29	29	3733
05:00 PM	61	197	0	0	258	0	152	17	0	169	28	392	31	2	453	0	0	0	7	7	887
05:15 PM	56	217	0	0	273	0	167	20	1	188	43	401	55	8	507	0	0	0	4	4	972
05:30 PM	40	229	0	2	271	0	146	24	2	172	50	389	48	4	491	0	0	0	7	7	941
05:45 PM	52	200	0	4	256	0	156	28	1	185	44	381	48	6	479	0	0	0	3	3	923
Total	209	843	0	6	1058	0	621	89	4	714	165	1563	182	20	1930	0	0	0	21	21	3723
Grand Total	416	1654	0	12	2082	0	1309	160	10	1479	377	3098	337	33	3845	0	0	0	50	50	7456
Apprch %	20	79.4	0	0.6		0	88.5	10.8	0.7		9.8	80.6	8.8	0.9		0	0	0	100		
Total %	5.6	22.2	0	0.2	27.9	0	17.6	2.1	0.1	19.8	5.1	41.6	4.5	0.4	51.6	0	0	0	0.7	0.7	
Automobiles	416	1653	0	0	2069	0	1309	160	0	1469	377	3097	337	0	3811	0	0	0	0	0	7349
% Automobiles	100	99.9	0	0	99.4	0	100	100	0	99.3	100	100	100	0	99.1	0	0	0	0	0	98.6
Bicycle and Pedestrian	0	1	0	12	13	0	0	0	10	10	0	1	0	33	34	0	0	0	50	50	107
% Bicycle and Pedestrian	0	0.1	0	100	0.6	0	0	0	100	0.7	0	0	0	100	0.9	0	0	0	100	100	1.4

Ridgeview Data Collection

Denver, CO
Alameda Lane Reduction
PM Peak
Alameda Ave and Lincoln St

File Name : Alameda and Lincoln PM
Site Code : KHA 623
Start Date : 9/20/2022
Page No : 2

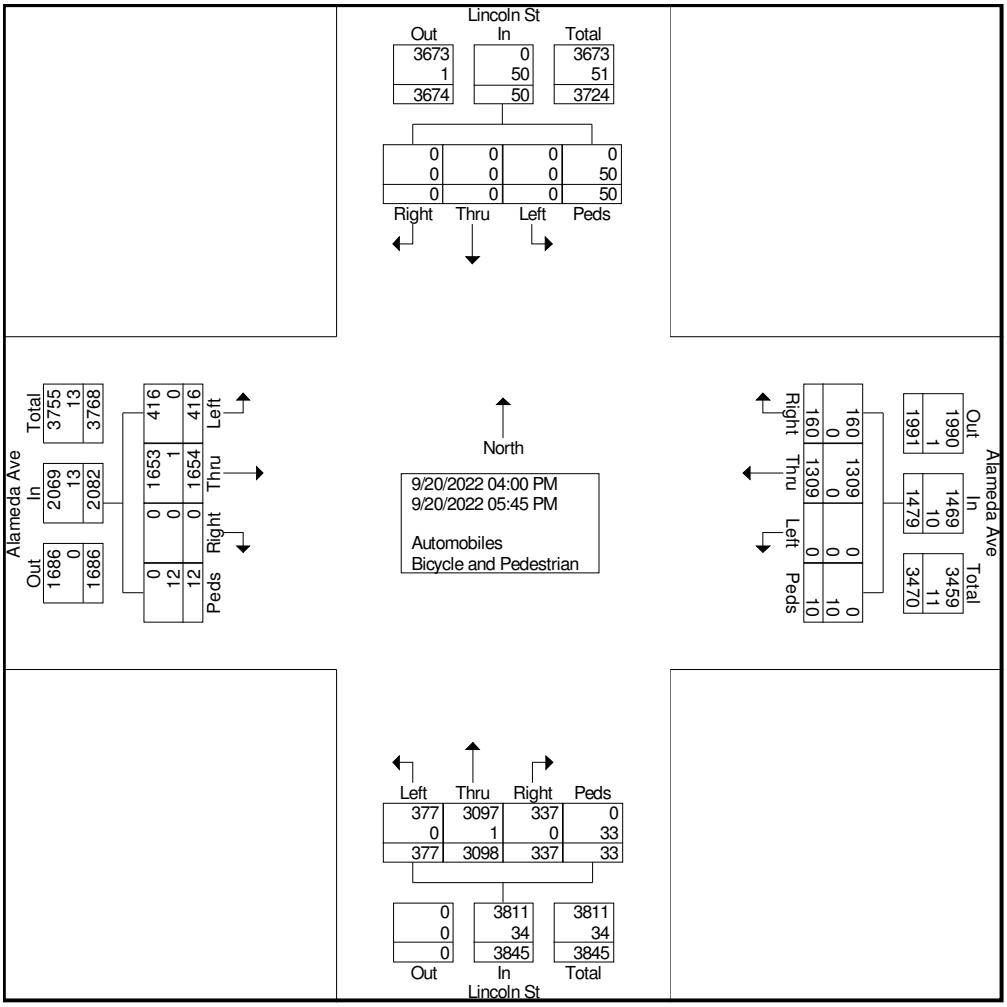

Ridgeview Data Collection

Denver, CO
Alameda Lane Reduction
PM Peak
Alameda Ave and Lincoln St

File Name : Alameda and Lincoln PM
Site Code : KHA 623
Start Date : 9/20/2022
Page No : 3

	Alameda Ave Eastbound					Alameda Ave Westbound					Lincoln St Northbound					Lincoln St Southbound					
Start Time	Left	Thru	Right	Peds	App. Total	Left	Thru	Right	Peds	App. Total	Left	Thru	Right	Peds	App. Total	Left	Thru	Right	Peds	App. Total	Int. Total
Peak Hour Analysis From 04:00 PM to 05:45 PM - Peak 1 of 1																					
Peak Hour for Entire Intersection Begins at 04:00 PM																					
04:00 PM	**60**	192	0	0	252	0	179	**24**	**2**	205	49	380	36	**6**	471	0	0	0	8	8	936
04:15 PM	42	185	0	0	227	0	**191**	19	2	**212**	**81**	384	42	3	**510**	0	0	0	**9**	**9**	**958**
04:30 PM	56	**217**	0	**3**	**276**	0	161	10	0	171	44	**393**	**47**	2	486	0	0	0	5	5	938
04:45 PM	49	217	0	3	269	0	157	18	2	177	38	378	30	2	448	0	0	0	7	7	901
Total Volume	207	811	0	6	1024	0	688	71	6	765	212	1535	155	13	1915	0	0	0	29	29	3733
% App. Total	20.2	79.2	0	0.6		0	89.9	9.3	0.8		11.1	80.2	8.1	0.7		0	0	0	100		
PHF	.863	.934	.000	.500	.928	.000	.901	.740	.750	.902	.654	.976	.824	.542	.939	.000	.000	.000	.806	.806	.974

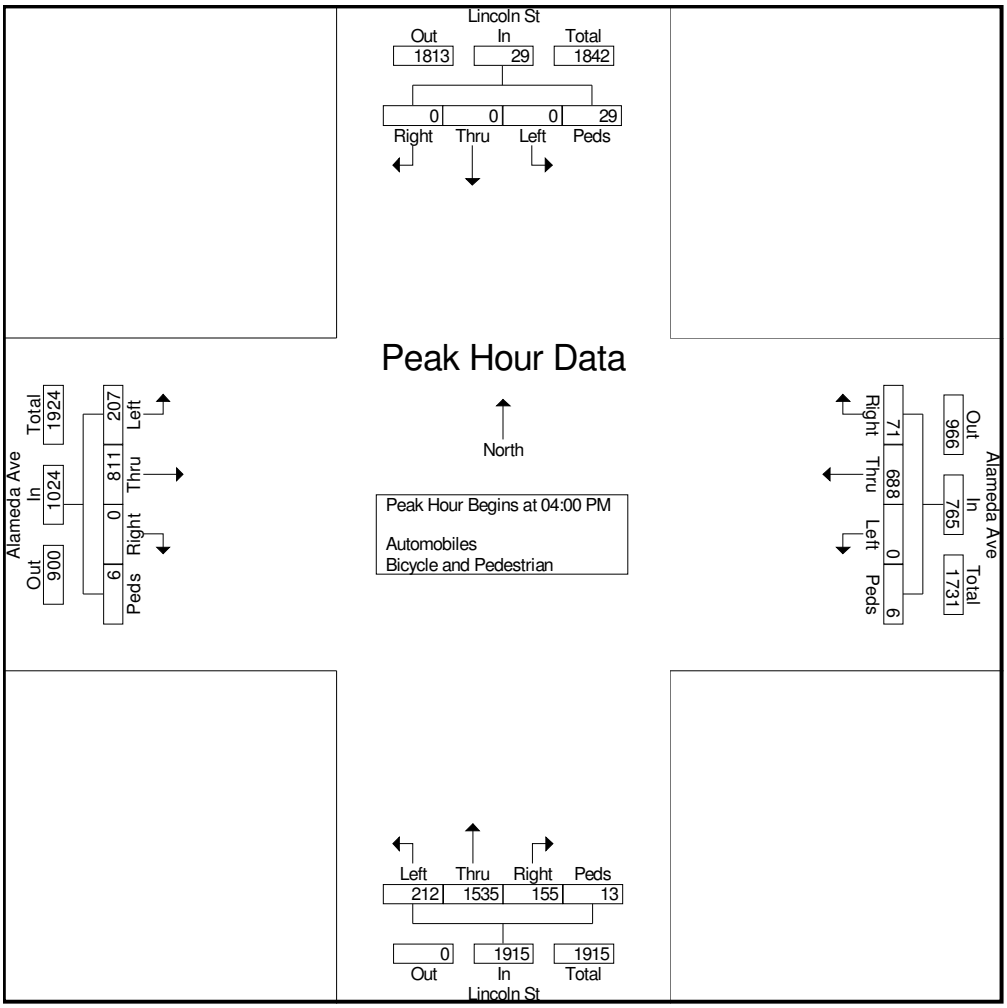

Ridgeview Data Collection

Denver, CO
Alameda Lane Reduction
AM Peak
Alameda Ave and Sherman St

File Name : Alameda and Sherman AM
Site Code : KHA 623
Start Date : 9/20/2022
Page No : 1

Groups Printed- Automobiles - Bicycle and Pedestrian

	Alameda Ave Eastbound					Alameda Ave Westbound					Sherman St Northbound					Sherman St Southbound					
Start Time	Left	Thru	Right	Peds	App. Total	Left	Thru	Right	Peds	App. Total	Left	Thru	Right	Peds	App. Total	Left	Thru	Right	Peds	App. Total	Int. Total
07:00 AM	2	100	0	0	102	0	101	0	0	101	0	0	0	1	1	0	1	2	0	3	207
07:15 AM	0	144	1	2	147	0	95	1	5	101	0	1	1	2	4	0	2	0	4	6	258
07:30 AM	1	196	1	2	200	2	129	0	3	134	4	1	4	0	9	2	1	4	8	15	358
07:45 AM	0	188	3	4	195	0	129	2	1	132	1	2	0	1	4	1	0	2	4	7	338
Total	3	628	5	8	644	2	454	3	9	468	5	4	5	4	18	3	4	8	16	31	1161
08:00 AM	2	226	2	0	230	0	165	2	2	169	1	0	0	3	4	2	5	2	3	12	415
08:15 AM	3	200	1	1	205	2	190	0	4	196	1	1	4	2	8	0	1	5	4	10	419
08:30 AM	2	177	2	0	181	3	121	2	3	129	0	1	0	5	6	0	1	0	2	3	319
08:45 AM	2	172	1	0	175	1	156	0	2	159	0	0	2	3	5	2	2	3	0	7	346
Total	9	775	6	1	791	6	632	4	11	653	2	2	6	13	23	4	9	10	9	32	1499
Grand Total	12	1403	11	9	1435	8	1086	7	20	1121	7	6	11	17	41	7	13	18	25	63	2660
Apprch %	0.8	97.8	0.8	0.6		0.7	96.9	0.6	1.8		17.1	14.6	26.8	41.5		11.1	20.6	28.6	39.7		
Total %	0.5	52.7	0.4	0.3	53.9	0.3	40.8	0.3	0.8	42.1	0.3	0.2	0.4	0.6	1.5	0.3	0.5	0.7	0.9	2.4	
Automobiles	12	1403	11	0	1426	8	1086	5	0	1099	7	0	11	0	18	7	7	18	0	32	2575
% Automobiles	100	100	100	0	99.4	100	100	71.4	0	98	100	0	100	0	43.9	100	53.8	100	0	50.8	96.8
Bicycle and Pedestrian	0	0	0	9	9	0	0	2	20	22	0	6	0	17	23	0	6	0	25	31	85
% Bicycle and Pedestrian	0	0	0	100	0.6	0	0	28.6	100	2	0	100	0	100	56.1	0	46.2	0	100	49.2	3.2

Ridgeview Data Collection

Denver, CO
Alameda Lane Reduction
AM Peak
Alameda Ave and Sherman St

File Name : Alameda and Sherman AM
Site Code : KHA 623
Start Date : 9/20/2022
Page No : 2

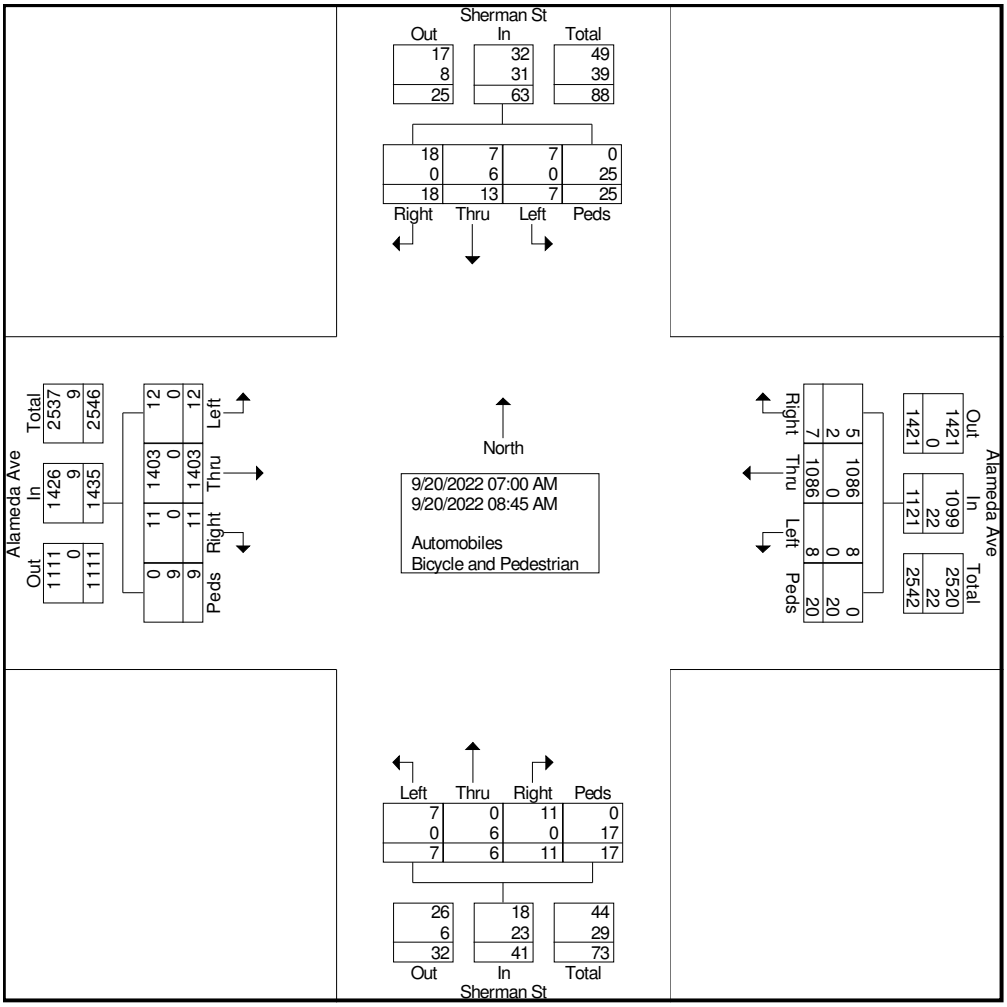

Ridgeview Data Collection

Denver, CO
Alameda Lane Reduction
AM Peak
Alameda Ave and Sherman St

File Name : Alameda and Sherman AM
Site Code : KHA 623
Start Date : 9/20/2022
Page No : 3

	Alameda Ave Eastbound					Alameda Ave Westbound					Sherman St Northbound					Sherman St Southbound					
Start Time	Left	Thru	Right	Peds	App. Total	Left	Thru	Right	Peds	App. Total	Left	Thru	Right	Peds	App. Total	Left	Thru	Right	Peds	App. Total	Int. Total
Peak Hour Analysis From 07:00 AM to 08:45 AM - Peak 1 of 1																					
Peak Hour for Entire Intersection Begins at 07:30 AM																					
07:30 AM	1	196	1	2	200	**2**	129	0	3	134	**4**	1	**4**	0	**9**	**2**	1	4	**8**	**15**	358
07:45 AM	0	188	**3**	**4**	195	0	129	**2**	1	132	1	**2**	0	1	4	1	0	2	4	7	338
08:00 AM	2	**226**	2	0	**230**	0	165	2	2	169	1	0	0	**3**	4	2	**5**	2	3	12	415
08:15 AM	**3**	200	1	1	205	2	**190**	0	**4**	**196**	1	1	4	2	8	0	1	**5**	4	10	**419**
Total Volume	6	810	7	7	830	4	613	4	10	631	7	4	8	6	25	5	7	13	19	44	1530
% App. Total	0.7	97.6	0.8	0.8		0.6	97.1	0.6	1.6		28	16	32	24		11.4	15.9	29.5	43.2		
PHF	.500	.896	.583	.438	.902	.500	.807	.500	.625	.805	.438	.500	.500	.500	.694	.625	.350	.650	.594	.733	.913

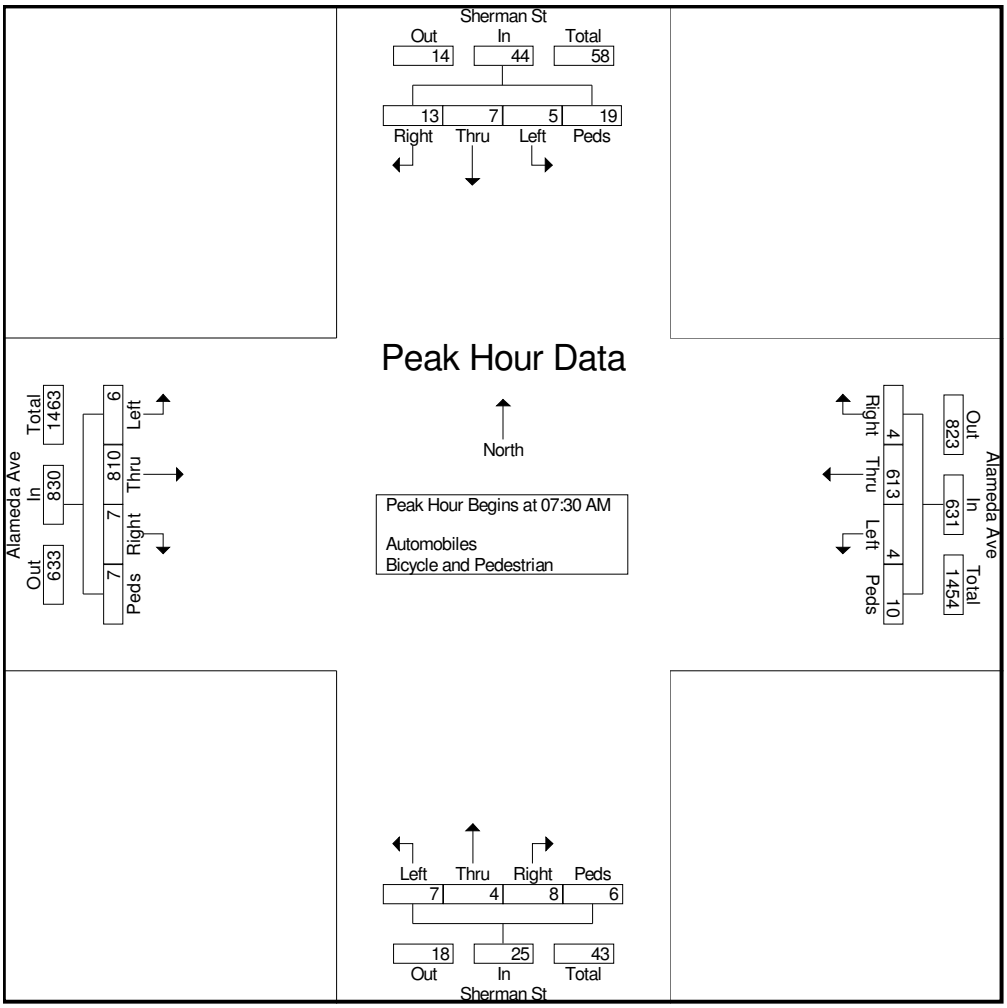

Ridgeview Data Collection

Denver, CO
Alameda Lane Reduction
PM Peak
Alameda Ave and Sherman St

File Name : Alameda and Sherman PM
Site Code : KHA 623
Start Date : 9/20/2022
Page No : 1

Groups Printed- Automobiles - Bicycle and Pedestrian

	Alameda Ave Eastbound					Alameda Ave Westbound					Sherman St Northbound					Sherman St Southbound					
Start Time	Left	Thru	Right	Peds	App. Total	Left	Thru	Right	Peds	App. Total	Left	Thru	Right	Peds	App. Total	Left	Thru	Right	Peds	App. Total	Int. Total
04:00 PM	6	230	2	2	240	0	204	4	1	209	2	6	1	4	13	2	1	2	5	10	472
04:15 PM	2	226	0	1	229	0	210	1	0	211	2	4	2	2	10	4	2	2	9	17	467
04:30 PM	3	256	2	1	262	1	169	2	0	172	0	0	3	1	4	2	0	4	2	8	446
04:45 PM	2	252	2	0	256	4	172	4	1	181	3	3	3	1	10	0	0	3	5	8	455
Total	13	964	6	4	987	5	755	11	2	773	7	13	9	8	37	8	3	11	21	43	1840
05:00 PM	4	218	2	2	226	2	170	3	1	176	1	5	4	2	12	3	0	2	5	10	424
05:15 PM	7	257	4	1	269	4	186	5	4	199	1	7	0	2	10	5	1	1	4	11	489
05:30 PM	9	268	3	5	285	4	161	2	1	168	1	3	1	4	9	4	3	5	5	17	479
05:45 PM	10	241	2	2	255	8	180	5	3	196	4	6	3	4	17	5	0	2	3	10	478
Total	30	984	11	10	1035	18	697	15	9	739	7	21	8	12	48	17	4	10	17	48	1870
Grand Total	43	1948	17	14	2022	23	1452	26	11	1512	14	34	17	20	85	25	7	21	38	91	3710
Apprch %	2.1	96.3	0.8	0.7		1.5	96	1.7	0.7		16.5	40	20	23.5		27.5	7.7	23.1	41.8		
Total %	1.2	52.5	0.5	0.4	54.5	0.6	39.1	0.7	0.3	40.8	0.4	0.9	0.5	0.5	2.3	0.7	0.2	0.6	1	2.5	
Automobiles	43	1948	16	0	2007	23	1452	26	0	1501	14	31	17	0	62	25	5	19	0	49	3619
% Automobiles	100	100	94.1	0	99.3	100	100	100	0	99.3	100	91.2	100	0	72.9	100	71.4	90.5	0	53.8	97.5
Bicycle and Pedestrian	0	0	1	14	15	0	0	0	11	11	0	3	0	20	23	0	2	2	38	42	91
% Bicycle and Pedestrian	0	0	5.9	100	0.7	0	0	0	100	0.7	0	8.8	0	100	27.1	0	28.6	9.5	100	46.2	2.5

Ridgeview Data Collection

Denver, CO
Alameda Lane Reduction
PM Peak
Alameda Ave and Sherman St

File Name : Alameda and Sherman PM
Site Code : KHA 623
Start Date : 9/20/2022
Page No : 2

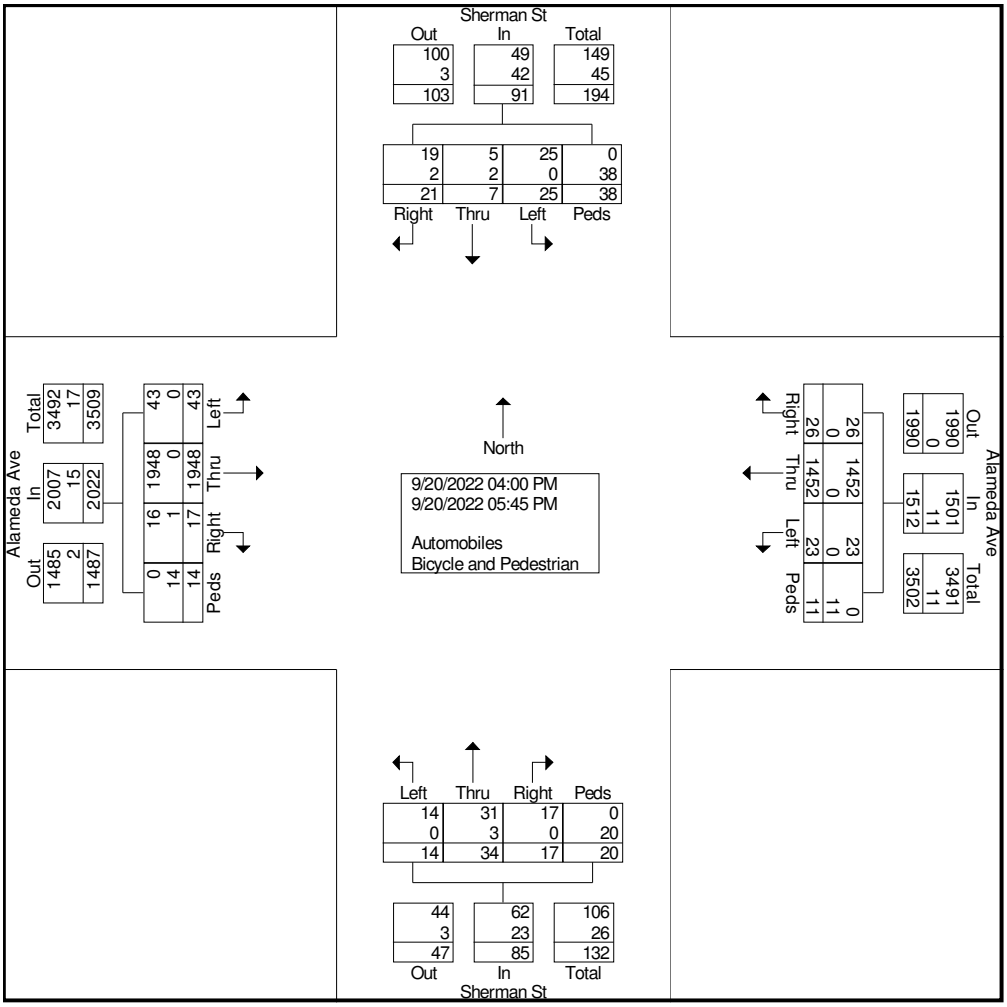

Ridgeview Data Collection

Denver, CO
Alameda Lane Reduction
PM Peak
Alameda Ave and Sherman St

File Name : Alameda and Sherman PM
Site Code : KHA 623
Start Date : 9/20/2022
Page No : 3

	Alameda Ave Eastbound					Alameda Ave Westbound					Sherman St Northbound					Sherman St Southbound					
Start Time	Left	Thru	Right	Peds	App. Total	Left	Thru	Right	Peds	App. Total	Left	Thru	Right	Peds	App. Total	Left	Thru	Right	Peds	App. Total	Int. Total
Peak Hour Analysis From 04:00 PM to 05:45 PM - Peak 1 of 1																					
Peak Hour for Entire Intersection Begins at 05:00 PM																					
05:00 PM	4	218	2	2	226	2	170	3	1	176	1	5	**4**	2	12	3	0	2	**5**	10	424
05:15 PM	7	257	**4**	1	269	4	**186**	**5**	**4**	**199**	1	**7**	0	2	10	**5**	1	1	4	11	**489**
05:30 PM	9	**268**	3	**5**	**285**	4	161	2	1	168	1	3	1	**4**	9	4	**3**	**5**	5	**17**	479
05:45 PM	**10**	241	2	2	255	**8**	180	5	3	196	**4**	6	3	4	**17**	5	0	2	3	10	478
Total Volume	30	984	11	10	1035	18	697	15	9	739	7	21	8	12	48	17	4	10	17	48	1870
% App. Total	2.9	95.1	1.1	1		2.4	94.3	2	1.2		14.6	43.8	16.7	25		35.4	8.3	20.8	35.4		
PHF	.750	.918	.688	.500	.908	.563	.937	.750	.563	.928	.438	.750	.500	.750	.706	.850	.333	.500	.850	.706	.956

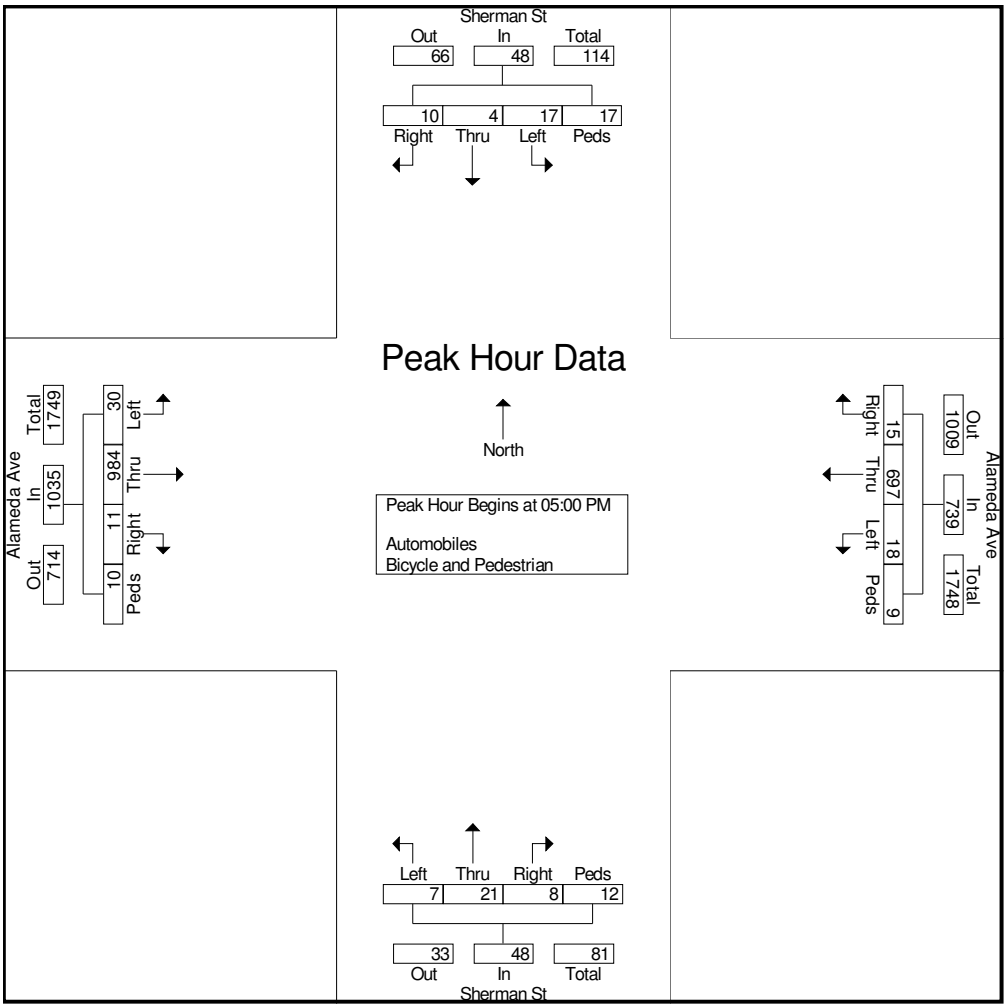

Ridgeview Data Collection

Denver, CO
Alameda Lane Reduction
AM Peak
Alameda Ave and Grant St

File Name : Alameda and Grant AM
Site Code : KHA 623
Start Date : 9/22/2022
Page No : 1

Groups Printed- Automobiles - Bicycle and Pedestrian

	Alameda Ave Eastbound					Alameda Ave Westbound					Grant St Northbound					Grant St Southbound					
Start Time	Left	Thru	Right	Peds	App. Total	Left	Thru	Right	Peds	App. Total	Left	Thru	Right	Peds	App. Total	Left	Thru	Right	Peds	App. Total	Int. Total
07:00 AM	0	95	0	0	95	0	93	0	0	93	2	0	0	3	5	0	1	0	2	3	196
07:15 AM	3	147	0	0	150	0	105	2	0	107	1	0	0	1	2	0	0	4	2	6	265
07:30 AM	2	162	0	2	166	2	117	0	0	119	1	0	1	3	5	1	2	1	8	12	302
07:45 AM	2	204	4	0	210	2	127	1	0	130	0	2	1	2	5	0	0	4	6	10	355
Total	7	608	4	2	621	4	442	3	0	449	4	2	2	9	17	1	3	9	18	31	1118
08:00 AM	2	162	4	0	168	5	168	0	0	173	2	0	4	0	6	0	0	0	2	2	349
08:15 AM	4	190	5	0	199	14	161	0	0	175	0	2	9	3	14	0	0	2	4	6	394
08:30 AM	1	156	1	0	158	2	149	0	0	151	4	0	13	0	17	1	1	3	1	6	332
08:45 AM	1	197	2	1	201	0	129	2	0	131	1	1	2	2	6	0	1	3	0	4	342
Total	8	705	12	1	726	21	607	2	0	630	7	3	28	5	43	1	2	8	7	18	1417
Grand Total	15	1313	16	3	1347	25	1049	5	0	1079	11	5	30	14	60	2	5	17	25	49	2535
Apprch %	1.1	97.5	1.2	0.2		2.3	97.2	0.5	0		18.3	8.3	50	23.3		4.1	10.2	34.7	51		
Total %	0.6	51.8	0.6	0.1	53.1	1	41.4	0.2	0	42.6	0.4	0.2	1.2	0.6	2.4	0.1	0.2	0.7	1	1.9	
Automobiles	15	1313	16	0	1344	25	1048	5	0	1078	11	2	30	0	43	1	4	17	0	22	2487
% Automobiles	100	100	100	0	99.8	100	99.9	100	0	99.9	100	40	100	0	71.7	50	80	100	0	44.9	98.1
Bicycle and Pedestrian	0	0	0	3	3	0	1	0	0	1	0	3	0	14	17	1	1	0	25	27	48
% Bicycle and Pedestrian	0	0	0	100	0.2	0	0.1	0	0	0.1	0	60	0	100	28.3	50	20	0	100	55.1	1.9

Ridgeview Data Collection

Denver, CO
Alameda Lane Reduction
AM Peak
Alameda Ave and Grant St

File Name : Alameda and Grant AM
Site Code : KHA 623
Start Date : 9/22/2022
Page No : 2

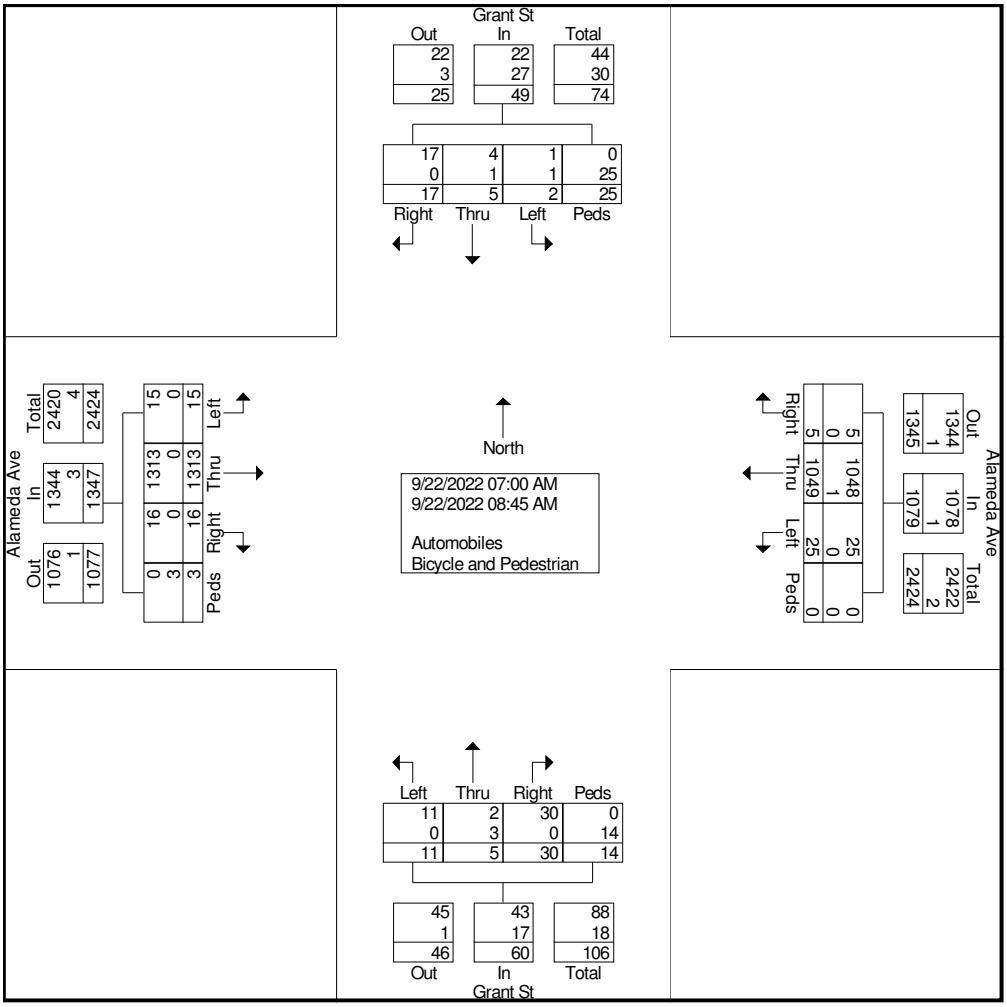

Ridgeview Data Collection

Denver, CO
Alameda Lane Reduction
AM Peak
Alameda Ave and Grant St

File Name : Alameda and Grant AM
Site Code : KHA 623
Start Date : 9/22/2022
Page No : 3

	Alameda Ave Eastbound					Alameda Ave Westbound					Grant St Northbound					Grant St Southbound					
Start Time	Left	Thru	Right	Peds	App. Total	Left	Thru	Right	Peds	App. Total	Left	Thru	Right	Peds	App. Total	Left	Thru	Right	Peds	App. Total	Int. Total
Peak Hour Analysis From 07:00 AM to 08:45 AM - Peak 1 of 1																					
Peak Hour for Entire Intersection Begins at 07:45 AM																					
07:45 AM	2	**204**	4	0	**210**	2	127	**1**	0	130	0	**2**	1	2	5	0	0	**4**	**6**	**10**	355
08:00 AM	2	162	4	0	168	5	**168**	0	0	173	2	0	4	0	6	0	0	0	2	2	349
08:15 AM	**4**	190	**5**	0	199	**14**	161	0	0	**175**	0	2	9	**3**	14	0	0	2	4	6	**394**
08:30 AM	1	156	1	0	158	2	149	0	0	151	**4**	0	**13**	0	**17**	**1**	**1**	3	1	6	332
Total Volume	9	712	14	0	735	23	605	1	0	629	6	4	27	5	42	1	1	9	13	24	1430
% App. Total	1.2	96.9	1.9	0		3.7	96.2	0.2	0		14.3	9.5	64.3	11.9		4.2	4.2	37.5	54.2		
PHF	.563	.873	.700	.000	.875	.411	.900	.250	.000	.899	.375	.500	.519	.417	.618	.250	.250	.563	.542	.600	.907

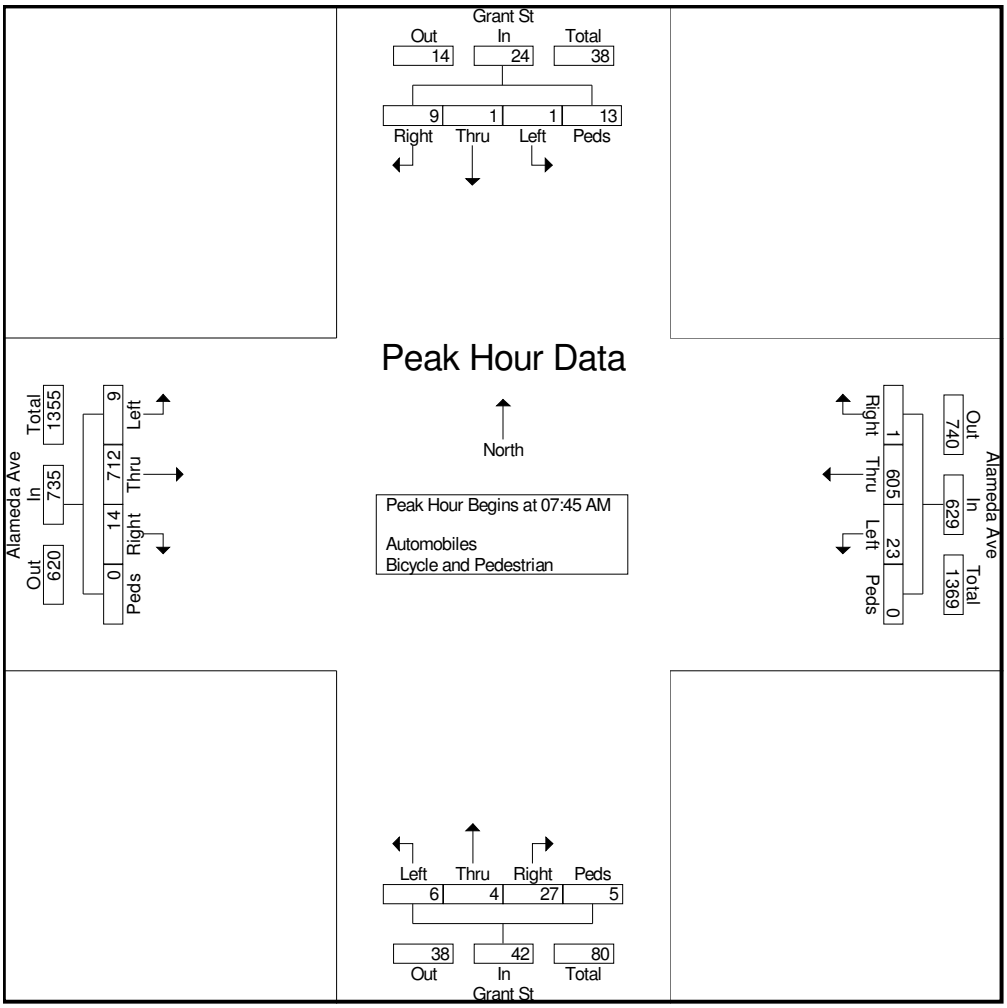

Ridgeview Data Collection

Denver, CO
Alameda Lane Reduction
PM Peak
Alameda Ave and Grant St

File Name : Alameda and Grant PM
Site Code : KHA 623
Start Date : 9/22/2022
Page No : 1

Groups Printed- Automobiles - Bicycle and Pedestrian

	Alameda Ave Eastbound					Alameda Ave Westbound					Grant St Northbound					Grant St Southbound					
Start Time	Left	Thru	Right	Peds	App. Total	Left	Thru	Right	Peds	App. Total	Left	Thru	Right	Peds	App. Total	Left	Thru	Right	Peds	App. Total	Int. Total
04:00 PM	3	221	2	0	226	1	202	0	0	203	0	1	3	1	5	1	2	3	10	16	450
04:15 PM	1	170	1	2	174	3	190	2	0	195	0	2	6	2	10	1	2	6	5	14	393
04:30 PM	4	212	1	0	217	2	192	8	0	202	1	0	1	2	4	1	2	5	4	12	435
04:45 PM	4	229	1	0	234	1	204	6	0	211	0	0	3	3	6	2	3	14	2	21	472
Total	12	832	5	2	851	7	788	16	0	811	1	3	13	8	25	5	9	28	21	63	1750
05:00 PM	7	233	3	2	245	2	169	3	0	174	1	1	6	2	10	1	5	7	2	15	444
05:15 PM	7	245	1	0	253	1	200	4	0	205	2	0	5	3	10	1	0	7	6	14	482
05:30 PM	5	192	1	2	200	2	198	5	0	205	2	3	7	3	15	1	3	11	2	17	437
05:45 PM	6	236	3	0	245	0	195	8	0	203	4	1	10	4	19	1	1	4	1	7	474
Total	25	906	8	4	943	5	762	20	0	787	9	5	28	12	54	4	9	29	11	53	1837
Grand Total	37	1738	13	6	1794	12	1550	36	0	1598	10	8	41	20	79	9	18	57	32	116	3587
Apprch %	2.1	96.9	0.7	0.3		0.8	97	2.3	0		12.7	10.1	51.9	25.3		7.8	15.5	49.1	27.6		
Total %	1	48.5	0.4	0.2	50	0.3	43.2	1	0	44.5	0.3	0.2	1.1	0.6	2.2	0.3	0.5	1.6	0.9	3.2	
Automobiles	37	1738	13	0	1788	12	1550	36	0	1598	10	7	41	0	58	9	16	57	0	82	3526
% Automobiles	100	100	100	0	99.7	100	100	100	0	100	100	87.5	100	0	73.4	100	88.9	100	0	70.7	98.3
Bicycle and Pedestrian	0	0	0	6	6	0	0	0	0	0	0	1	0	20	21	0	2	0	32	34	61
% Bicycle and Pedestrian	0	0	0	100	0.3	0	0	0	0	0	0	12.5	0	100	26.6	0	11.1	0	100	29.3	1.7

Ridgeview Data Collection

Denver, CO
Alameda Lane Reduction
PM Peak
Alameda Ave and Grant St

File Name : Alameda and Grant PM
Site Code : KHA 623
Start Date : 9/22/2022
Page No : 2

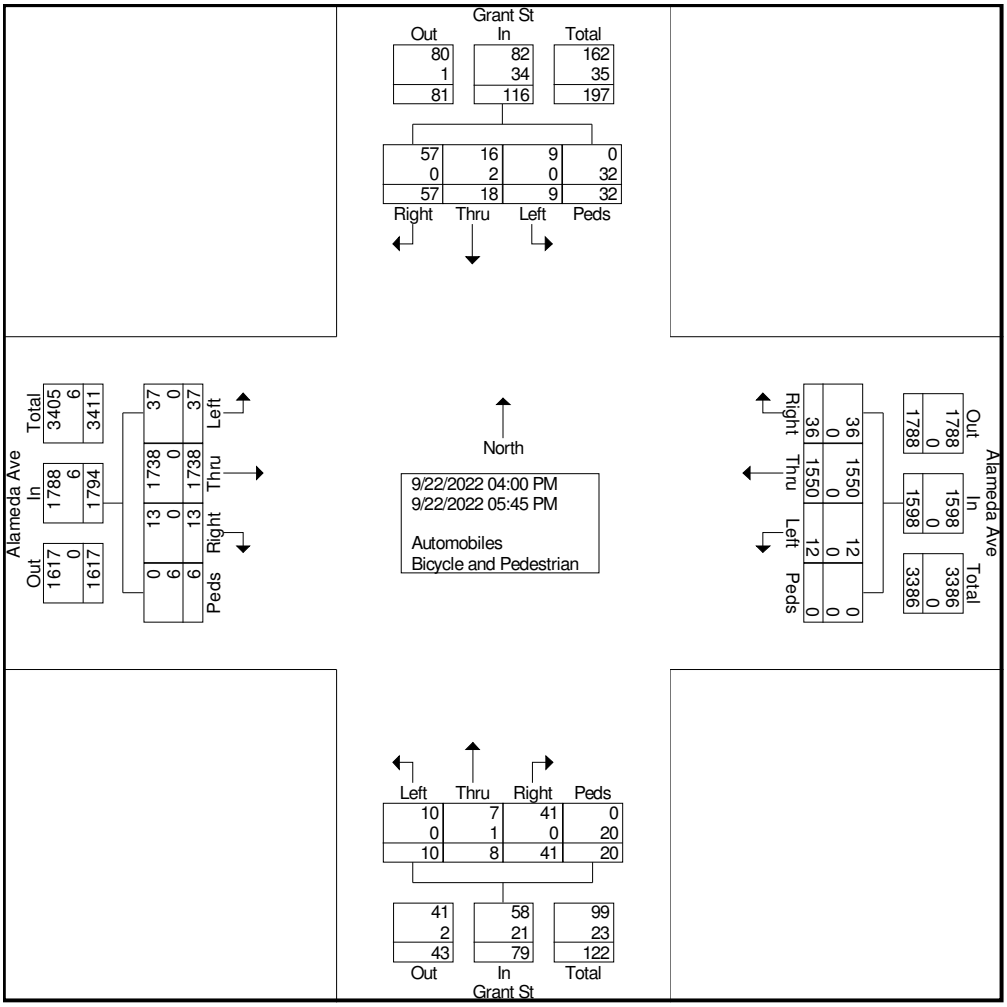

Ridgeview Data Collection

Denver, CO
Alameda Lane Reduction
PM Peak
Alameda Ave and Grant St

File Name : Alameda and Grant PM
Site Code : KHA 623
Start Date : 9/22/2022
Page No : 3

	Alameda Ave Eastbound					Alameda Ave Westbound					Grant St Northbound					Grant St Southbound					
Start Time	Left	Thru	Right	Peds	App. Total	Left	Thru	Right	Peds	App. Total	Left	Thru	Right	Peds	App. Total	Left	Thru	Right	Peds	App. Total	Int. Total
Peak Hour Analysis From 04:00 PM to 05:45 PM - Peak 1 of 1																					
Peak Hour for Entire Intersection Begins at 05:00 PM																					
05:00 PM	**7**	233	**3**	**2**	245	**2**	169	3	0	174	1	1	6	2	10	**1**	**5**	7	2	15	444
05:15 PM	7	**245**	1	0	**253**	1	**200**	4	0	**205**	2	0	5	3	10	1	0	7	**6**	14	**482**
05:30 PM	5	192	1	2	200	2	198	5	0	205	2	**3**	7	3	15	1	3	**11**	2	**17**	437
05:45 PM	6	236	3	0	245	0	195	**8**	0	203	**4**	1	**10**	**4**	**19**	1	1	4	1	7	474
Total Volume	25	906	8	4	943	5	762	20	0	787	9	5	28	12	54	4	9	29	11	53	1837
% App. Total	2.7	96.1	0.8	0.4		0.6	96.8	2.5	0		16.7	9.3	51.9	22.2		7.5	17	54.7	20.8		
PHF	.893	.924	.667	.500	.932	.625	.953	.625	.000	.960	.563	.417	.700	.750	.711	1.00	.450	.659	.458	.779	.953

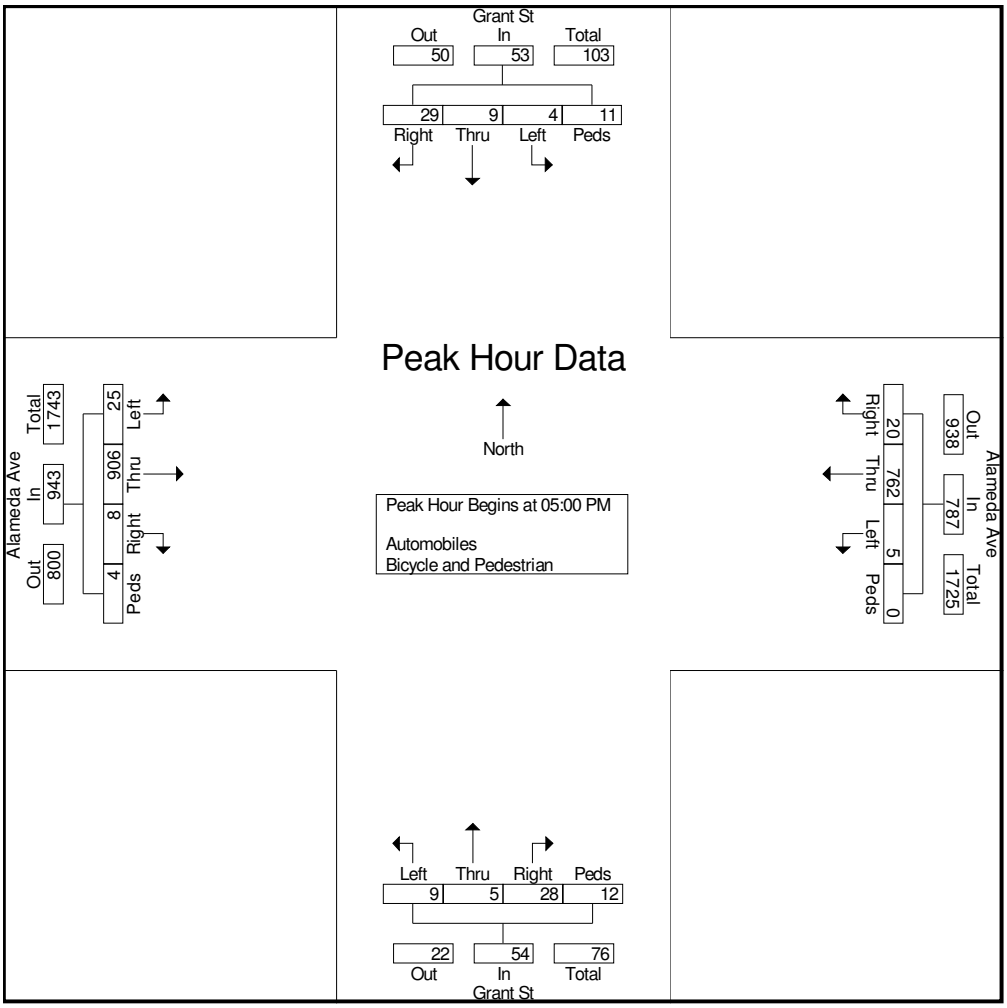

Ridgeview Data Collection

Denver, CO
Alameda Lane Reduction
AM Peak
Alameda Ave and Logan St

File Name : Alameda and Logan AM
Site Code : KHA 623
Start Date : 9/20/2022
Page No : 1

Groups Printed- Automobiles - Bicycle and Pedestrian

	Alameda Ave Eastbound					Alameda Ave Westbound					Logan St Northbound					Logan St Southbound					
Start Time	Left	Thru	Right	Peds	App. Total	Left	Thru	Right	Peds	App. Total	Left	Thru	Right	Peds	App. Total	Left	Thru	Right	Peds	App. Total	Int. Total
07:00 AM	16	77	4	0	97	16	84	2	2	104	8	62	10	5	85	4	38	8	0	50	336
07:15 AM	18	117	5	1	141	28	84	1	1	114	4	82	16	2	104	4	55	4	1	64	423
07:30 AM	27	154	8	1	190	31	108	11	4	154	8	123	25	2	158	7	57	5	3	72	574
07:45 AM	45	147	6	3	201	32	108	14	4	158	11	140	24	6	181	11	87	11	10	119	659
Total	106	495	23	5	629	107	384	28	11	530	31	407	75	15	528	26	237	28	14	305	1992
08:00 AM	40	170	4	1	215	31	139	8	3	181	11	104	21	3	139	6	77	21	3	107	642
08:15 AM	29	173	10	1	213	26	169	14	2	211	4	137	33	1	175	5	71	18	2	96	695
08:30 AM	29	148	8	2	187	24	107	8	2	141	8	123	24	6	161	8	51	10	2	71	560
08:45 AM	20	148	5	1	174	22	138	11	2	173	7	90	30	2	129	3	53	6	0	62	538
Total	118	639	27	5	789	103	553	41	9	706	30	454	108	12	604	22	252	55	7	336	2435
Grand Total	224	1134	50	10	1418	210	937	69	20	1236	61	861	183	27	1132	48	489	83	21	641	4427
Apprch %	15.8	80	3.5	0.7		17	75.8	5.6	1.6		5.4	76.1	16.2	2.4		7.5	76.3	12.9	3.3		
Total %	5.1	25.6	1.1	0.2	32	4.7	21.2	1.6	0.5	27.9	1.4	19.4	4.1	0.6	25.6	1.1	11	1.9	0.5	14.5	
Automobiles	224	1134	50	0	1408	210	937	69	0	1216	61	860	183	0	1104	47	487	83	0	617	4345
% Automobiles	100	100	100	0	99.3	100	100	100	0	98.4	100	99.9	100	0	97.5	97.9	99.6	100	0	96.3	98.1
Bicycle and Pedestrian	0	0	0	10	10	0	0	0	20	20	0	1	0	27	28	1	2	0	21	24	82
% Bicycle and Pedestrian	0	0	0	100	0.7	0	0	0	100	1.6	0	0.1	0	100	2.5	2.1	0.4	0	100	3.7	1.9

Ridgeview Data Collection

Denver, CO
Alameda Lane Reduction
AM Peak
Alameda Ave and Logan St

File Name : Alameda and Logan AM
Site Code : KHA 623
Start Date : 9/20/2022
Page No : 2

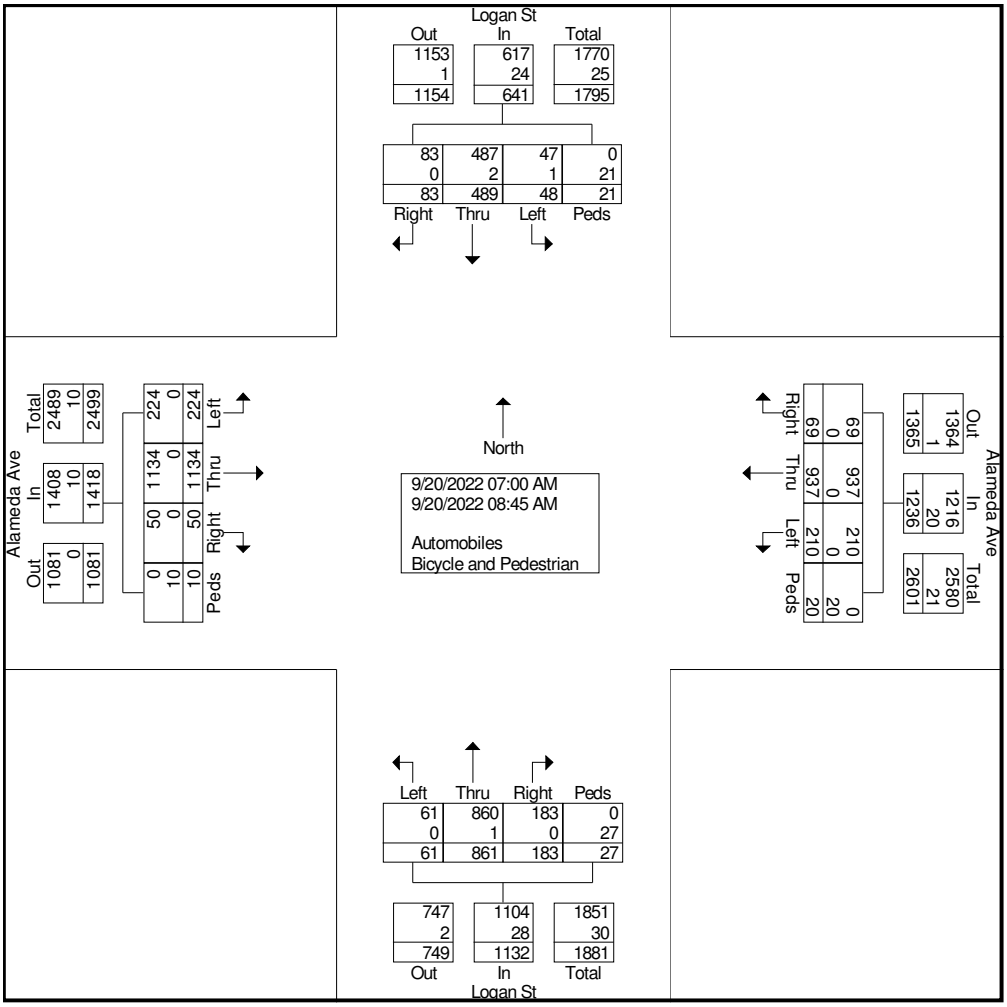

Ridgeview Data Collection

Denver, CO
Alameda Lane Reduction
AM Peak
Alameda Ave and Logan St

File Name : Alameda and Logan AM
Site Code : KHA 623
Start Date : 9/20/2022
Page No : 3

	Alameda Ave Eastbound					Alameda Ave Westbound					Logan St Northbound					Logan St Southbound					
Start Time	Left	Thru	Right	Peds	App. Total	Left	Thru	Right	Peds	App. Total	Left	Thru	Right	Peds	App. Total	Left	Thru	Right	Peds	App. Total	Int. Total
Peak Hour Analysis From 07:00 AM to 08:45 AM - Peak 1 of 1																					
Peak Hour for Entire Intersection Begins at 07:30 AM																					
07:30 AM	27	154	8	1	190	31	108	11	**4**	154	8	123	25	2	158	7	57	5	3	72	574
07:45 AM	**45**	147	6	**3**	201	**32**	108	**14**	4	158	**11**	**140**	24	**6**	**181**	**11**	**87**	11	**10**	**119**	659
08:00 AM	40	170	4	1	**215**	31	139	8	3	181	11	104	21	3	139	6	77	**21**	3	107	642
08:15 AM	29	**173**	**10**	1	213	26	**169**	14	2	**211**	4	137	**33**	1	175	5	71	18	2	96	**695**
Total Volume	141	644	28	6	819	120	524	47	13	704	34	504	103	12	653	29	292	55	18	394	2570
% App. Total	17.2	78.6	3.4	0.7		17	74.4	6.7	1.8		5.2	77.2	15.8	1.8		7.4	74.1	14	4.6		
PHF	.783	.931	.700	.500	.952	.938	.775	.839	.813	.834	.773	.900	.780	.500	.902	.659	.839	.655	.450	.828	.924

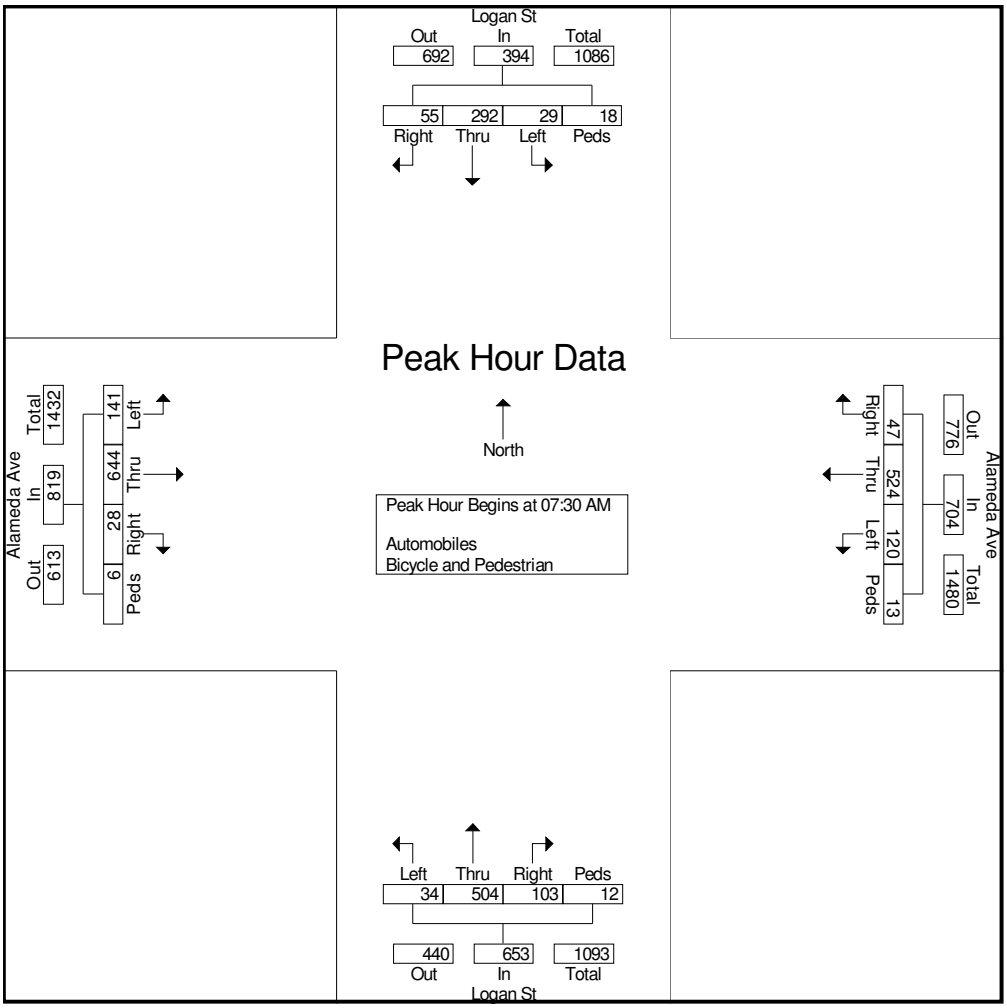

Ridgeview Data Collection

Denver, CO
Alameda Lane Reduction
PM Peak
Alameda Ave and Logan St

File Name : Alameda and Logan PM
Site Code : KHA 623
Start Date : 9/20/2022
Page No : 1

Groups Printed- Automobiles - Bicycle and Pedestrian

	Alameda Ave Eastbound					Alameda Ave Westbound					Logan St Northbound					Logan St Southbound					
Start Time	Left	Thru	Right	Peds	App. Total	Left	Thru	Right	Peds	App. Total	Left	Thru	Right	Peds	App. Total	Left	Thru	Right	Peds	App. Total	Int. Total
04:00 PM	33	186	7	3	229	44	171	25	4	244	11	146	27	11	195	7	134	19	7	167	835
04:15 PM	24	182	8	0	214	42	188	10	0	240	16	157	27	5	205	12	130	8	6	156	815
04:30 PM	36	220	9	3	268	37	146	19	2	204	11	158	17	8	194	13	120	9	6	148	814
04:45 PM	28	200	17	1	246	43	144	14	11	212	19	134	17	2	172	10	147	13	8	178	808
Total	121	788	41	7	957	166	649	68	17	900	57	595	88	26	766	42	531	49	27	649	3272
05:00 PM	36	184	4	1	225	43	155	14	4	216	12	165	20	8	205	13	149	10	6	178	824
05:15 PM	34	206	10	4	254	34	165	15	4	218	14	159	25	15	213	19	164	12	3	198	883
05:30 PM	31	210	8	8	257	29	148	19	10	206	13	157	29	11	210	15	158	9	8	190	863
05:45 PM	20	235	5	0	260	40	170	12	4	226	9	132	25	13	179	14	124	11	8	157	822
Total	121	835	27	13	996	146	638	60	22	866	48	613	99	47	807	61	595	42	25	723	3392
Grand Total	242	1623	68	20	1953	312	1287	128	39	1766	105	1208	187	73	1573	103	1126	91	52	1372	6664
Apprch %	12.4	83.1	3.5	1		17.7	72.9	7.2	2.2		6.7	76.8	11.9	4.6		7.5	82.1	6.6	3.8		
Total %	3.6	24.4	1	0.3	29.3	4.7	19.3	1.9	0.6	26.5	1.6	18.1	2.8	1.1	23.6	1.5	16.9	1.4	0.8	20.6	
Automobiles	242	1623	68	0	1933	312	1287	128	0	1727	105	1207	187	0	1499	103	1126	91	0	1320	6479
% Automobiles	100	100	100	0	99	100	100	100	0	97.8	100	99.9	100	0	95.3	100	100	100	0	96.2	97.2
Bicycle and Pedestrian	0	0	0	20	20	0	0	0	39	39	0	1	0	73	74	0	0	0	52	52	185
% Bicycle and Pedestrian	0	0	0	100	1	0	0	0	100	2.2	0	0.1	0	100	4.7	0	0	0	100	3.8	2.8

Ridgeview Data Collection

Denver, CO
Alameda Lane Reduction
PM Peak
Alameda Ave and Logan St

File Name : Alameda and Logan PM
Site Code : KHA 623
Start Date : 9/20/2022
Page No : 2

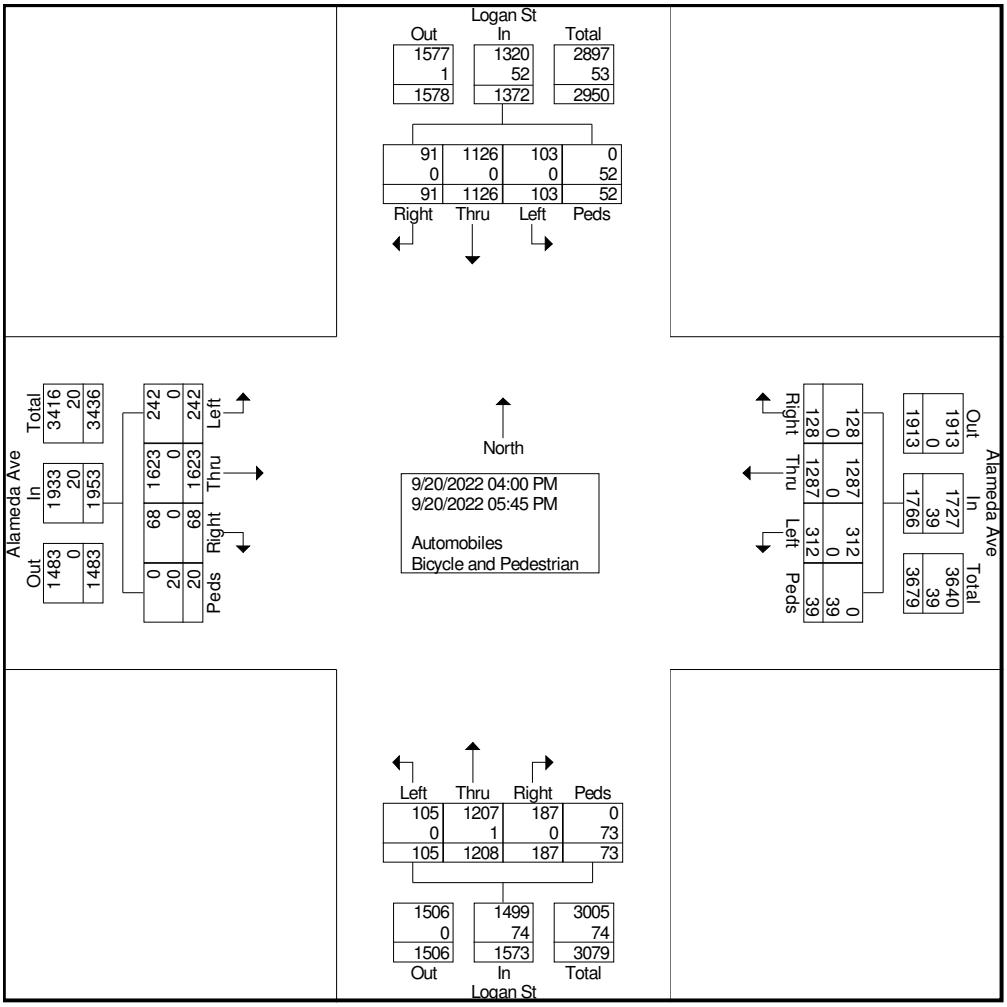

Ridgeview Data Collection

Denver, CO
Alameda Lane Reduction
PM Peak
Alameda Ave and Logan St

File Name : Alameda and Logan PM
Site Code : KHA 623
Start Date : 9/20/2022
Page No : 3

	Alameda Ave Eastbound					Alameda Ave Westbound					Logan St Northbound					Logan St Southbound					
Start Time	Left	Thru	Right	Peds	App. Total	Left	Thru	Right	Peds	App. Total	Left	Thru	Right	Peds	App. Total	Left	Thru	Right	Peds	App. Total	Int. Total
Peak Hour Analysis From 04:00 PM to 05:45 PM - Peak 1 of 1																					
Peak Hour for Entire Intersection Begins at 05:00 PM																					
05:00 PM	**36**	184	4	1	225	**43**	155	14	4	216	12	**165**	20	8	205	13	149	10	6	178	824
05:15 PM	34	206	**10**	4	254	34	165	15	4	218	**14**	159	25	**15**	**213**	**19**	**164**	**12**	3	**198**	**883**
05:30 PM	31	210	8	**8**	257	29	148	**19**	**10**	206	13	157	**29**	11	210	15	158	9	**8**	190	863
05:45 PM	20	**235**	5	0	**260**	40	**170**	12	4	**226**	9	132	25	13	179	14	124	11	8	157	822
Total Volume	121	835	27	13	996	146	638	60	22	866	48	613	99	47	807	61	595	42	25	723	3392
% App. Total	12.1	83.8	2.7	1.3		16.9	73.7	6.9	2.5		5.9	76	12.3	5.8		8.4	82.3	5.8	3.5		
PHF	.840	.888	.675	.406	.958	.849	.938	.789	.550	.958	.857	.929	.853	.783	.947	.803	.907	.875	.781	.913	.960

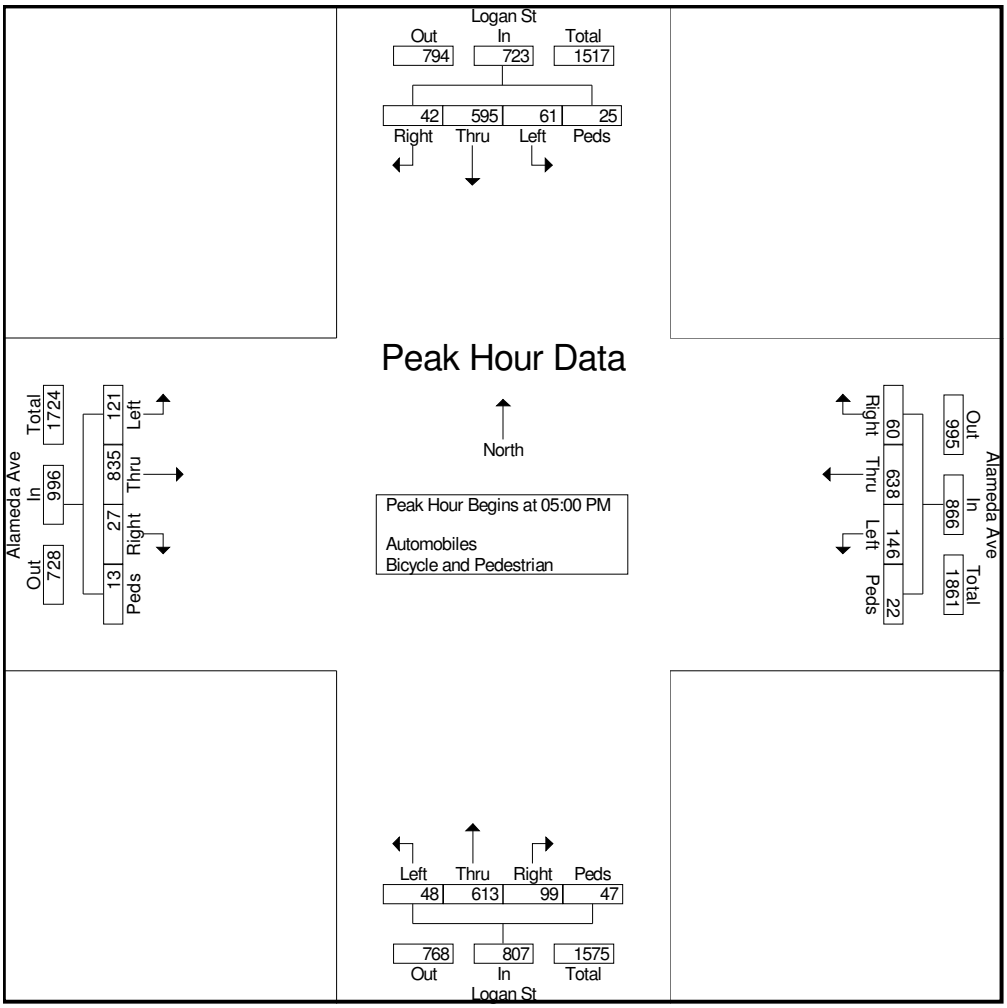

Ridgeview Data Collection

Denver, CO
Alameda Lane Reduction
AM Peak
Alameda Ave and Pennsylvania St

File Name : Alameda and Pennsylvania AM
Site Code : KHA 623
Start Date : 9/22/2022
Page No : 1

Groups Printed- Automobiles - Bicycle and Pedestrian

	Alameda Ave Eastbound					Alameda Ave Westbound					Pennsylvania St Northbound					Pennsylvania St Southbound					
Start Time	Left	Thru	Right	Peds	App. Total	Left	Thru	Right	Peds	App. Total	Left	Thru	Right	Peds	App. Total	Left	Thru	Right	Peds	App. Total	Int. Total
07:00 AM	1	88	1	1	91	0	98	2	1	101	0	0	0	3	3	2	0	7	0	9	204
07:15 AM	3	135	0	0	138	0	125	2	0	127	2	0	2	1	5	0	0	10	1	11	281
07:30 AM	3	155	0	1	159	1	141	7	0	149	0	0	1	1	2	2	0	9	3	14	324
07:45 AM	10	173	0	0	183	1	138	8	0	147	1	0	1	1	3	5	2	7	7	21	354
Total	17	551	1	2	571	2	502	19	1	524	3	0	4	6	13	9	2	33	11	55	1163
08:00 AM	7	140	0	0	147	1	186	0	0	187	2	2	3	0	7	4	6	8	3	21	362
08:15 AM	4	180	1	0	185	1	169	4	2	176	1	2	4	1	8	1	1	7	5	14	383
08:30 AM	2	168	0	1	171	0	123	1	1	125	0	1	1	0	2	1	0	9	2	12	310
08:45 AM	4	187	2	1	194	0	124	4	0	128	0	2	1	0	3	1	0	3	4	8	333
Total	17	675	3	2	697	2	602	9	3	616	3	7	9	1	20	7	7	27	14	55	1388
Grand Total	34	1226	4	4	1268	4	1104	28	4	1140	6	7	13	7	33	16	9	60	25	110	2551
Apprch %	2.7	96.7	0.3	0.3		0.4	96.8	2.5	0.4		18.2	21.2	39.4	21.2		14.5	8.2	54.5	22.7		
Total %	1.3	48.1	0.2	0.2	49.7	0.2	43.3	1.1	0.2	44.7	0.2	0.3	0.5	0.3	1.3	0.6	0.4	2.4	1	4.3	
Automobiles	34	1225	4	0	1263	4	1104	28	0	1136	6	4	13	0	23	16	6	60	0	82	2504
% Automobiles	100	99.9	100	0	99.6	100	100	100	0	99.6	100	57.1	100	0	69.7	100	66.7	100	0	74.5	98.2
Bicycle and Pedestrian	0	1	0	4	5	0	0	0	4	4	0	3	0	7	10	0	3	0	25	28	47
% Bicycle and Pedestrian	0	0.1	0	100	0.4	0	0	0	100	0.4	0	42.9	0	100	30.3	0	33.3	0	100	25.5	1.8

Ridgeview Data Collection

Denver, CO
Alameda Lane Reduction
AM Peak
Alameda Ave and Pennsylvania St

File Name : Alameda and Pennsylvania AM
Site Code : KHA 623
Start Date : 9/22/2022
Page No : 2

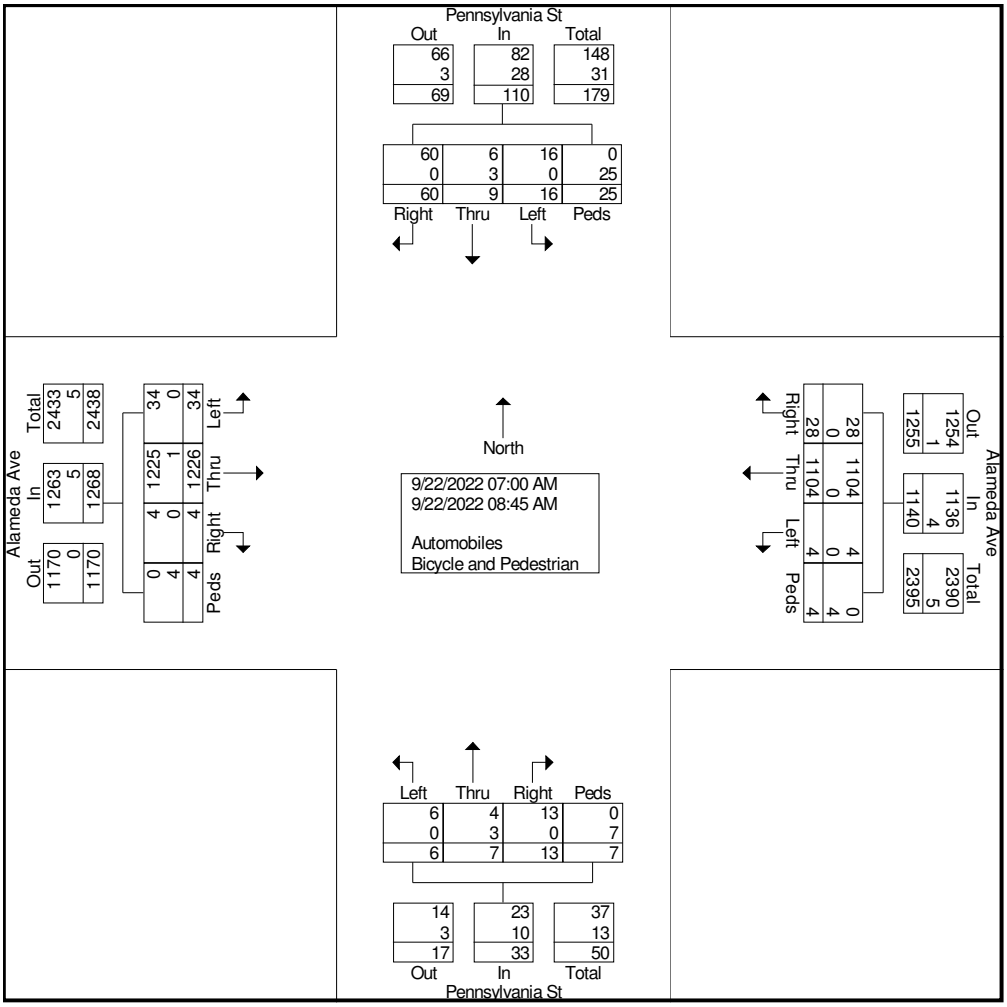

Ridgeview Data Collection

Denver, CO
Alameda Lane Reduction
AM Peak
Alameda Ave and Pennsylvania St

File Name : Alameda and Pennsylvania AM
Site Code : KHA 623
Start Date : 9/22/2022
Page No : 3

	Alameda Ave Eastbound					Alameda Ave Westbound					Pennsylvania St Northbound					Pennsylvania St Southbound					
Start Time	Left	Thru	Right	Peds	App. Total	Left	Thru	Right	Peds	App. Total	Left	Thru	Right	Peds	App. Total	Left	Thru	Right	Peds	App. Total	Int. Total
Peak Hour Analysis From 07:00 AM to 08:45 AM - Peak 1 of 1																					
Peak Hour for Entire Intersection Begins at 07:30 AM																					
07:30 AM	3	155	0	**1**	159	**1**	141	7	0	149	0	0	1	**1**	2	2	0	**9**	3	14	324
07:45 AM	**10**	173	0	0	183	1	138	**8**	0	147	1	0	1	1	3	**5**	2	7	**7**	**21**	354
08:00 AM	7	140	0	0	147	1	**186**	0	0	**187**	**2**	**2**	3	0	7	4	**6**	8	3	21	362
08:15 AM	4	**180**	**1**	0	**185**	1	169	4	**2**	176	1	2	**4**	1	**8**	1	1	7	5	14	**383**
Total Volume	24	648	1	1	674	4	634	19	2	659	4	4	9	3	20	12	9	31	18	70	1423
% App. Total	3.6	96.1	0.1	0.1		0.6	96.2	2.9	0.3		20	20	45	15		17.1	12.9	44.3	25.7		
PHF	.600	.900	.250	.250	.911	1.00	.852	.594	.250	.881	.500	.500	.563	.750	.625	.600	.375	.861	.643	.833	.929

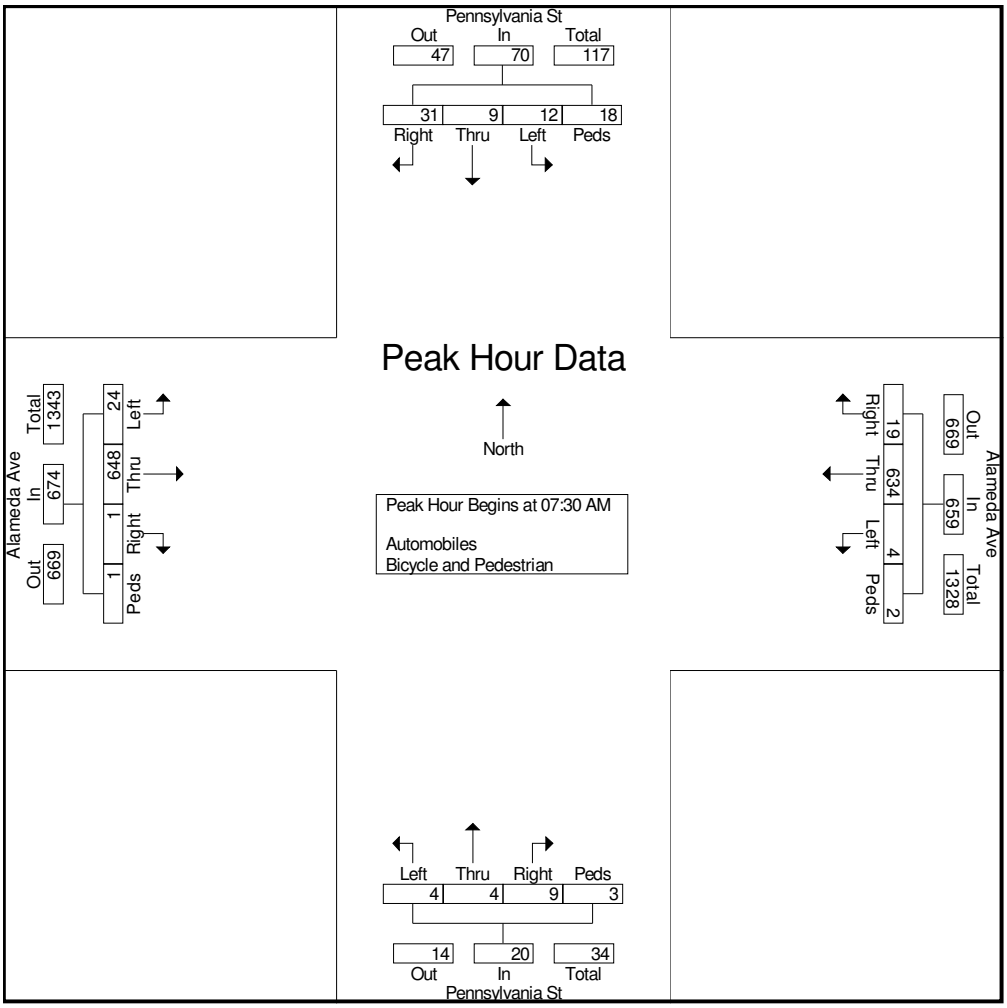

Ridgeview Data Collection

Denver, CO
Alameda Lane Reduction
PM Peak
Alameda Ave and Pennsylvania St

File Name : Alameda and Pennsylvania PM
Site Code : KHA 623
Start Date : 9/22/2022
Page No : 1

Groups Printed- Automobiles - Bicycle and Pedestrian

	Alameda Ave Eastbound					Alameda Ave Westbound					Pennsylvania St Northbound					Pennsylvania St Southbound					
Start Time	Left	Thru	Right	Peds	App. Total	Left	Thru	Right	Peds	App. Total	Left	Thru	Right	Peds	App. Total	Left	Thru	Right	Peds	App. Total	Int. Total
04:00 PM	8	208	1	0	217	2	236	5	0	243	0	1	3	0	4	1	0	6	7	14	478
04:15 PM	4	165	2	0	171	0	205	7	0	212	1	3	1	0	5	1	1	5	7	14	402
04:30 PM	4	200	4	1	209	0	228	3	0	231	1	3	4	3	11	2	0	3	3	8	459
04:45 PM	7	213	4	0	224	0	219	4	0	223	1	2	2	3	8	2	1	8	1	12	467
Total	23	786	11	1	821	2	888	19	0	909	3	9	10	6	28	6	2	22	18	48	1806
05:00 PM	3	238	5	0	246	0	192	3	0	195	0	1	4	6	11	1	0	6	2	9	461
05:15 PM	5	220	6	0	231	1	223	4	0	228	1	0	3	4	8	1	1	6	7	15	482
05:30 PM	5	187	5	7	204	1	195	8	1	205	3	3	1	3	10	0	0	5	2	7	426
05:45 PM	4	233	6	1	244	0	207	9	1	217	2	2	1	4	9	4	0	2	1	7	477
Total	17	878	22	8	925	2	817	24	2	845	6	6	9	17	38	6	1	19	12	38	1846
Grand Total	40	1664	33	9	1746	4	1705	43	2	1754	9	15	19	23	66	12	3	41	30	86	3652
Apprch %	2.3	95.3	1.9	0.5		0.2	97.2	2.5	0.1		13.6	22.7	28.8	34.8		14	3.5	47.7	34.9		
Total %	1.1	45.6	0.9	0.2	47.8	0.1	46.7	1.2	0.1	48	0.2	0.4	0.5	0.6	1.8	0.3	0.1	1.1	0.8	2.4	
Automobiles	39	1664	33	0	1736	4	1705	43	0	1752	9	12	19	0	40	12	1	41	0	54	3582
% Automobiles	97.5	100	100	0	99.4	100	100	100	0	99.9	100	80	100	0	60.6	100	33.3	100	0	62.8	98.1
Bicycle and Pedestrian	1	0	0	9	10	0	0	0	2	2	0	3	0	23	26	0	2	0	30	32	70
% Bicycle and Pedestrian	2.5	0	0	100	0.6	0	0	0	100	0.1	0	20	0	100	39.4	0	66.7	0	100	37.2	1.9

Ridgeview Data Collection

Denver, CO
Alameda Lane Reduction
PM Peak
Alameda Ave and Pennsylvania St

File Name : Alameda and Pennsylvania PM
Site Code : KHA 623
Start Date : 9/22/2022
Page No : 2

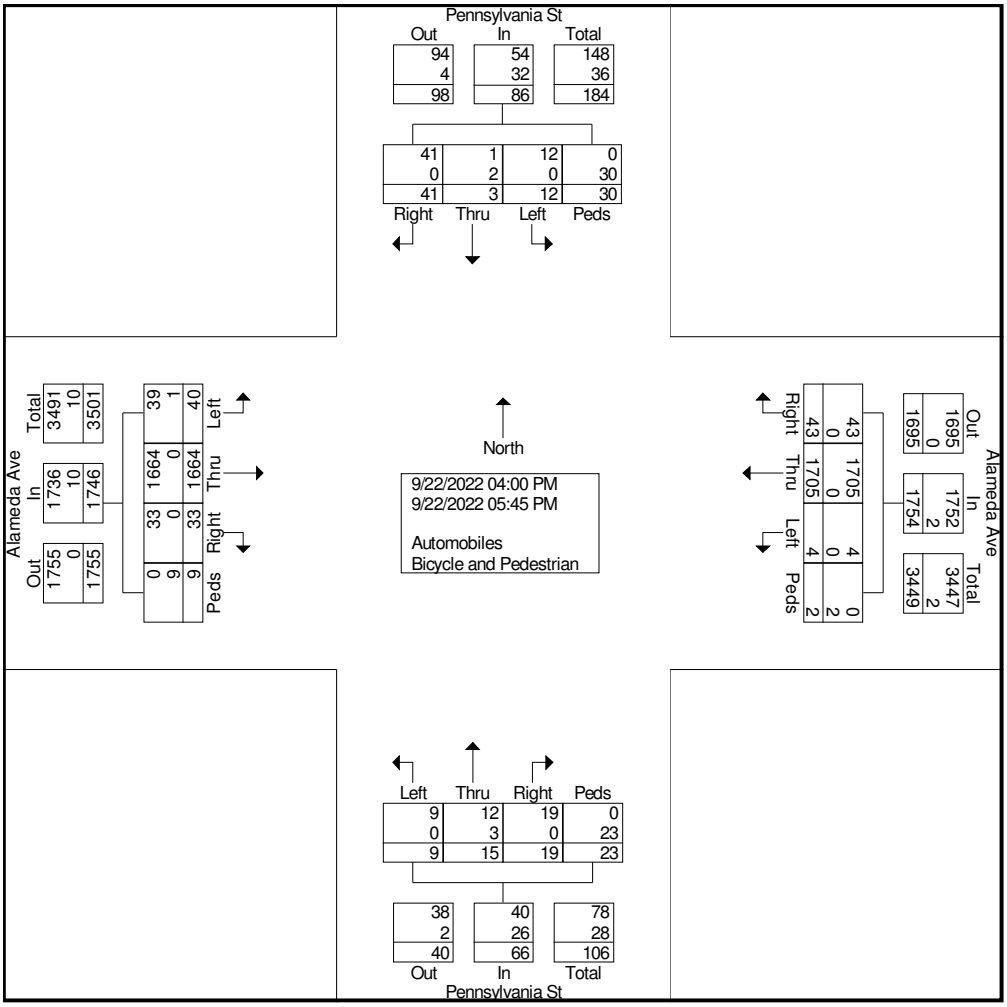

Ridgeview Data Collection

Denver, CO
Alameda Lane Reduction
PM Peak
Alameda Ave and Pennsylvania St

File Name : Alameda and Pennsylvania PM
Site Code : KHA 623
Start Date : 9/22/2022
Page No : 3

	Alameda Ave Eastbound					Alameda Ave Westbound					Pennsylvania St Northbound					Pennsylvania St Southbound					
Start Time	Left	Thru	Right	Peds	App. Total	Left	Thru	Right	Peds	App. Total	Left	Thru	Right	Peds	App. Total	Left	Thru	Right	Peds	App. Total	Int. Total
Peak Hour Analysis From 04:00 PM to 05:45 PM - Peak 1 of 1																					
Peak Hour for Entire Intersection Begins at 04:30 PM																					
04:30 PM	4	200	4	**1**	209	0	**228**	3	0	**231**	**1**	**3**	**4**	3	**11**	**2**	0	3	3	8	459
04:45 PM	**7**	213	4	0	224	0	219	**4**	0	223	1	2	2	3	8	2	**1**	**8**	1	12	467
05:00 PM	3	**238**	5	0	**246**	0	192	3	0	195	0	1	4	**6**	11	1	0	6	2	9	461
05:15 PM	5	220	**6**	0	231	**1**	223	4	0	228	1	0	3	4	8	1	1	6	**7**	**15**	**482**
Total Volume	19	871	19	1	910	1	862	14	0	877	3	6	13	16	38	6	2	23	13	44	1869
% App. Total	2.1	95.7	2.1	0.1		0.1	98.3	1.6	0		7.9	15.8	34.2	42.1		13.6	4.5	52.3	29.5		
PHF	.679	.915	.792	.250	.925	.250	.945	.875	.000	.949	.750	.500	.813	.667	.864	.750	.500	.719	.464	.733	.969

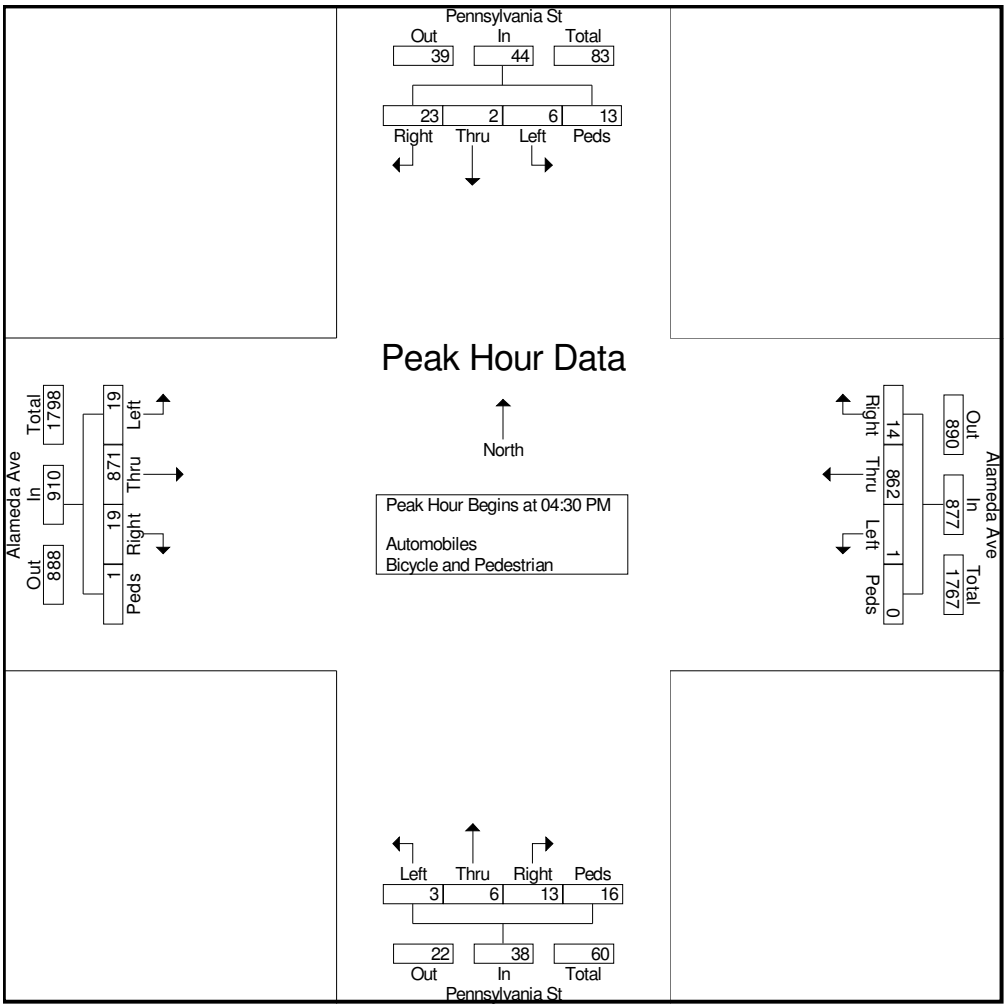

Ridgeview Data Collection

Denver, CO
Alameda Lane Reduction
AM Peak
Alameda Ave and Pearl St

File Name : Alameda and Pearl AM
Site Code : KHA 623
Start Date : 9/20/2022
Page No : 1

Groups Printed- Automobiles - Bicycle and Pedestrian

	Alameda Ave Eastbound					Alameda Ave Westbound					Pearl St Northbound					Pearl St Southbound					
Start Time	Left	Thru	Right	Peds	App. Total	Left	Thru	Right	Peds	App. Total	Left	Thru	Right	Peds	App. Total	Left	Thru	Right	Peds	App. Total	Int. Total
07:00 AM	0	92	3	1	96	0	92	2	0	94	3	2	5	0	10	2	0	6	0	8	208
07:15 AM	1	131	5	0	137	1	98	3	0	102	2	3	0	1	6	2	0	9	1	12	257
07:30 AM	1	164	14	6	185	0	136	7	1	144	4	6	1	0	11	6	2	9	4	21	361
07:45 AM	2	173	40	9	224	0	141	3	11	155	4	12	5	2	23	8	0	8	14	30	432
Total	4	560	62	16	642	1	467	15	12	495	13	23	11	3	50	18	2	32	19	71	1258
08:00 AM	2	171	14	6	193	0	153	4	7	164	2	10	7	0	19	10	2	10	7	29	405
08:15 AM	1	208	3	4	216	0	189	1	5	195	3	9	3	4	19	4	3	9	2	18	448
08:30 AM	1	179	1	1	182	0	122	4	0	126	2	6	6	0	14	3	1	8	2	14	336
08:45 AM	0	173	3	0	176	0	156	3	2	161	3	3	7	0	13	3	1	9	1	14	364
Total	4	731	21	11	767	0	620	12	14	646	10	28	23	4	65	20	7	36	12	75	1553
Grand Total	8	1291	83	27	1409	1	1087	27	26	1141	23	51	34	7	115	38	9	68	31	146	2811
Apprch %	0.6	91.6	5.9	1.9		0.1	95.3	2.4	2.3		20	44.3	29.6	6.1		26	6.2	46.6	21.2		
Total %	0.3	45.9	3	1	50.1	0	38.7	1	0.9	40.6	0.8	1.8	1.2	0.2	4.1	1.4	0.3	2.4	1.1	5.2	
Automobiles	8	1291	83	0	1382	1	1087	27	0	1115	21	37	34	0	92	38	9	68	0	115	2704
% Automobiles	100	100	100	0	98.1	100	100	100	0	97.7	91.3	72.5	100	0	80	100	100	100	0	78.8	96.2
Bicycle and Pedestrian	0	0	0	27	27	0	0	0	26	26	2	14	0	7	23	0	0	0	31	31	107
% Bicycle and Pedestrian	0	0	0	100	1.9	0	0	0	100	2.3	8.7	27.5	0	100	20	0	0	0	100	21.2	3.8

Ridgeview Data Collection

Denver, CO
Alameda Lane Reduction
AM Peak
Alameda Ave and Pearl St

File Name : Alameda and Pearl AM
Site Code : KHA 623
Start Date : 9/20/2022
Page No : 2

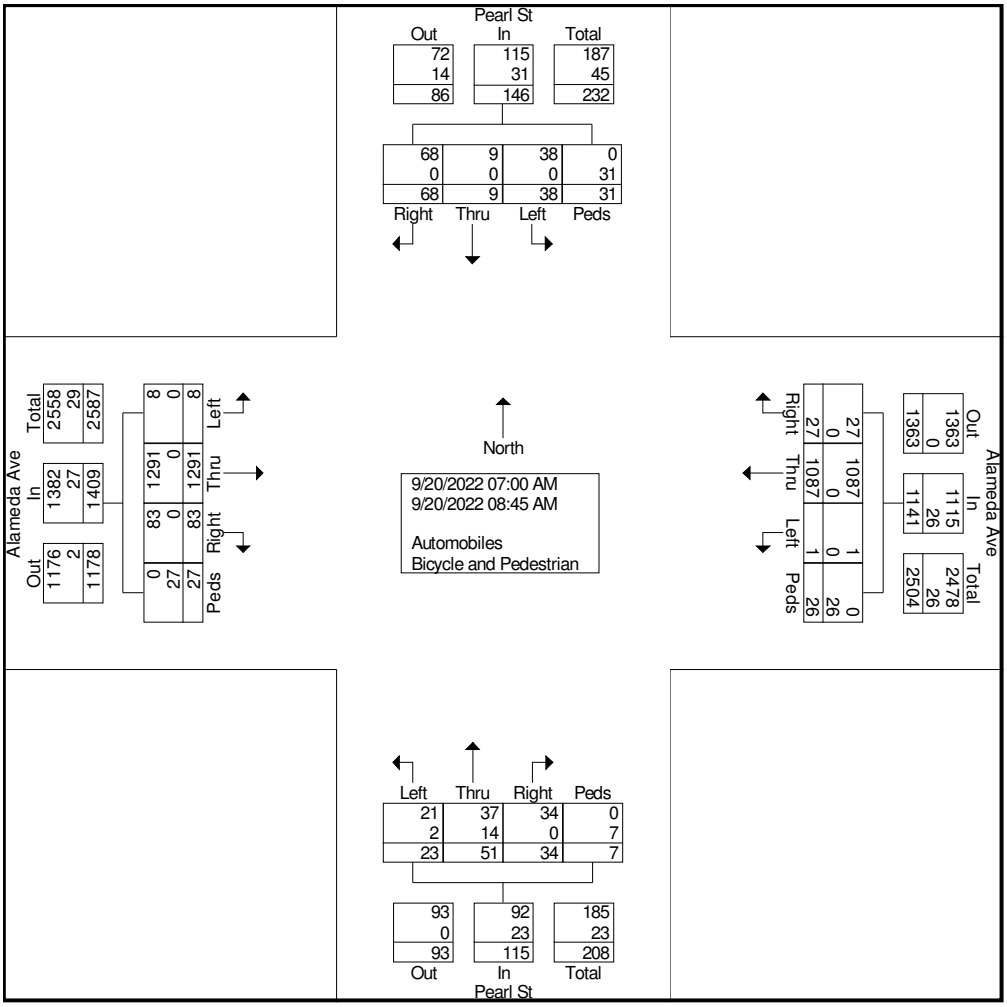

Ridgeview Data Collection

Denver, CO
Alameda Lane Reduction
AM Peak
Alameda Ave and Pearl St

File Name : Alameda and Pearl AM
Site Code : KHA 623
Start Date : 9/20/2022
Page No : 3

	Alameda Ave Eastbound					Alameda Ave Westbound					Pearl St Northbound					Pearl St Southbound					
Start Time	Left	Thru	Right	Peds	App. Total	Left	Thru	Right	Peds	App. Total	Left	Thru	Right	Peds	App. Total	Left	Thru	Right	Peds	App. Total	Int. Total
Peak Hour Analysis From 07:00 AM to 08:45 AM - Peak 1 of 1																					
Peak Hour for Entire Intersection Begins at 07:30 AM																					
07:30 AM	1	164	14	6	185	0	136	**7**	1	144	**4**	6	1	0	11	6	2	9	4	21	361
07:45 AM	**2**	173	**40**	**9**	**224**	0	141	3	**11**	155	4	**12**	5	2	**23**	8	0	8	**14**	**30**	432
08:00 AM	2	171	14	6	193	0	153	4	7	164	2	10	**7**	0	19	**10**	2	**10**	7	29	405
08:15 AM	1	**208**	3	4	216	0	**189**	1	5	**195**	3	9	3	**4**	19	4	**3**	9	2	18	**448**
Total Volume	6	716	71	25	818	0	619	15	24	658	13	37	16	6	72	28	7	36	27	98	1646
% App. Total	0.7	87.5	8.7	3.1		0	94.1	2.3	3.6		18.1	51.4	22.2	8.3		28.6	7.1	36.7	27.6		
PHF	.750	.861	.444	.694	.913	.000	.819	.536	.545	.844	.813	.771	.571	.375	.783	.700	.583	.900	.482	.817	.919

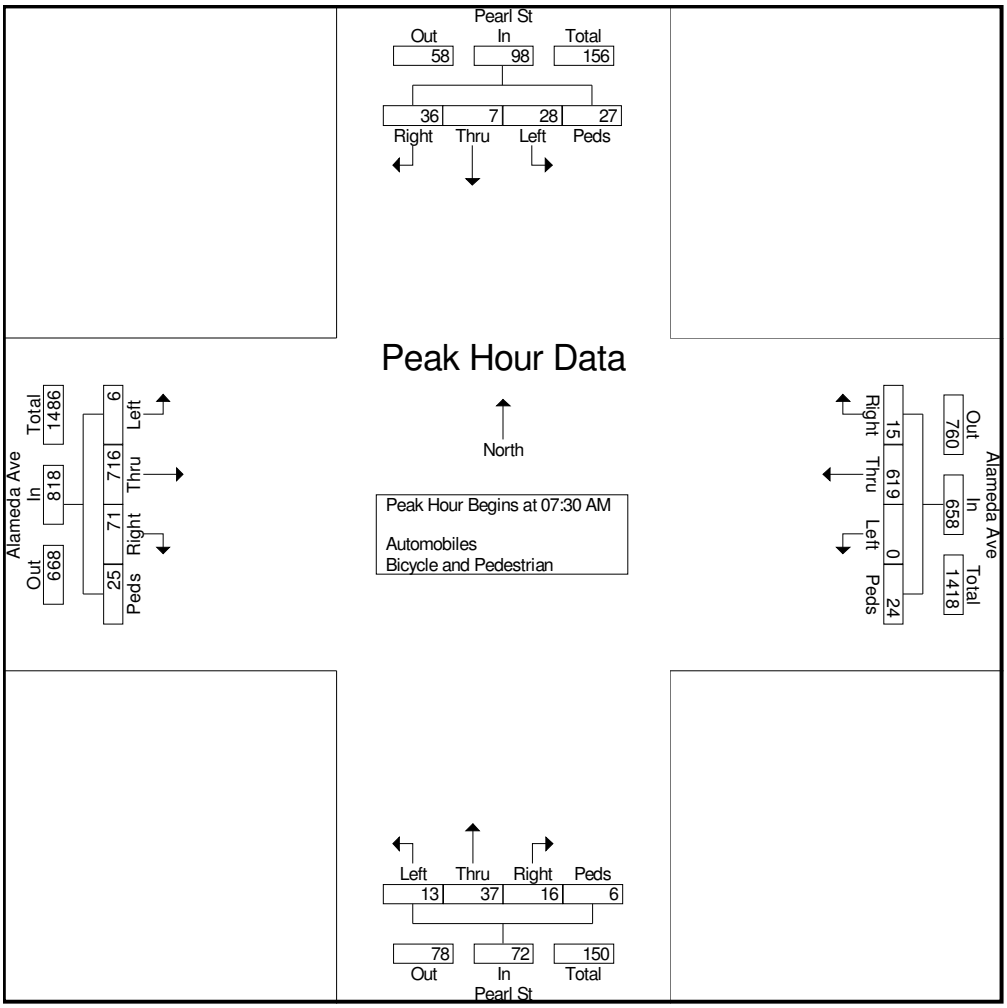

Ridgeview Data Collection

Denver, CO
Alameda Lane Reduction
PM Peak
Alameda Ave and Pearl St

File Name : Alameda and Pearl PM
Site Code : KHA 623
Start Date : 9/20/2022
Page No : 1

Groups Printed- Automobiles - Bicycle and Pedestrian

	Alameda Ave Eastbound					Alameda Ave Westbound					Pearl St Northbound					Pearl St Southbound					
Start Time	Left	Thru	Right	Peds	App. Total	Left	Thru	Right	Peds	App. Total	Left	Thru	Right	Peds	App. Total	Left	Thru	Right	Peds	App. Total	Int. Total
04:00 PM	0	199	11	3	213	0	203	5	5	213	5	9	4	3	21	15	5	11	12	43	490
04:15 PM	0	218	3	2	223	0	221	4	4	229	8	10	10	2	30	6	7	14	2	29	511
04:30 PM	0	236	3	0	239	0	199	7	3	209	7	11	10	0	28	5	8	8	5	26	502
04:45 PM	1	225	1	6	233	0	181	5	1	187	7	4	3	0	14	5	2	6	3	16	450
Total	1	878	18	11	908	0	804	21	13	838	27	34	27	5	93	31	22	39	22	114	1953
05:00 PM	1	206	6	0	213	2	195	4	2	203	5	5	10	0	20	3	3	7	2	15	451
05:15 PM	0	236	3	3	242	0	198	4	2	204	13	7	11	4	35	3	2	5	2	12	493
05:30 PM	0	237	5	2	244	0	198	3	2	203	4	7	6	3	20	3	6	3	4	16	483
05:45 PM	0	255	6	7	268	0	203	9	2	214	7	7	6	9	29	4	5	4	3	16	527
Total	1	934	20	12	967	2	794	20	8	824	29	26	33	16	104	13	16	19	11	59	1954
Grand Total	2	1812	38	23	1875	2	1598	41	21	1662	56	60	60	21	197	44	38	58	33	173	3907
Apprch %	0.1	96.6	2	1.2		0.1	96.1	2.5	1.3		28.4	30.5	30.5	10.7		25.4	22	33.5	19.1		
Total %	0.1	46.4	1	0.6	48	0.1	40.9	1	0.5	42.5	1.4	1.5	1.5	0.5	5	1.1	1	1.5	0.8	4.4	
Automobiles	2	1812	38	0	1852	1	1598	41	0	1640	56	54	60	0	170	44	31	58	0	133	3795
% Automobiles	100	100	100	0	98.8	50	100	100	0	98.7	100	90	100	0	86.3	100	81.6	100	0	76.9	97.1
Bicycle and Pedestrian	0	0	0	23	23	1	0	0	21	22	0	6	0	21	27	0	7	0	33	40	112
% Bicycle and Pedestrian	0	0	0	100	1.2	50	0	0	100	1.3	0	10	0	100	13.7	0	18.4	0	100	23.1	2.9

Ridgeview Data Collection

Denver, CO
Alameda Lane Reduction
PM Peak
Alameda Ave and Pearl St

File Name : Alameda and Pearl PM
Site Code : KHA 623
Start Date : 9/20/2022
Page No : 2

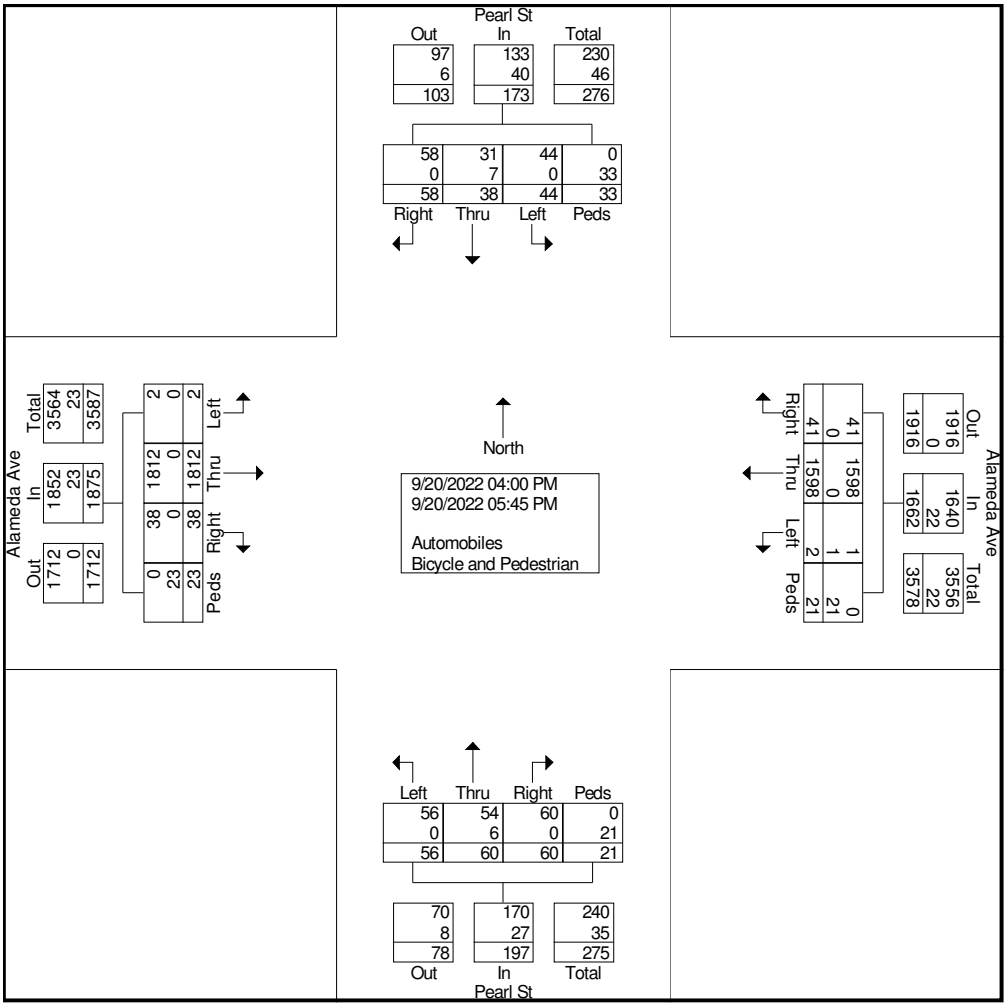

Ridgeview Data Collection

Denver, CO
Alameda Lane Reduction
PM Peak
Alameda Ave and Pearl St

File Name : Alameda and Pearl PM
Site Code : KHA 623
Start Date : 9/20/2022
Page No : 3

	Alameda Ave Eastbound					Alameda Ave Westbound					Pearl St Northbound					Pearl St Southbound					
Start Time	Left	Thru	Right	Peds	App. Total	Left	Thru	Right	Peds	App. Total	Left	Thru	Right	Peds	App. Total	Left	Thru	Right	Peds	App. Total	Int. Total
Peak Hour Analysis From 04:00 PM to 05:45 PM - Peak 1 of 1																					
Peak Hour for Entire Intersection Begins at 05:00 PM																					
05:00 PM	**1**	206	**6**	0	213	**2**	195	4	**2**	203	5	5	10	0	20	3	3	**7**	2	15	451
05:15 PM	0	236	3	3	242	0	198	4	2	204	**13**	**7**	**11**	4	**35**	3	2	5	2	12	493
05:30 PM	0	237	5	2	244	0	198	3	2	203	4	7	6	3	20	3	**6**	3	**4**	**16**	483
05:45 PM	0	**255**	6	**7**	**268**	0	**203**	**9**	2	**214**	7	7	6	**9**	29	**4**	5	4	3	16	**527**
Total Volume	1	934	20	12	967	2	794	20	8	824	29	26	33	16	104	13	16	19	11	59	1954
% App. Total	0.1	96.6	2.1	1.2		0.2	96.4	2.4	1		27.9	25	31.7	15.4		22	27.1	32.2	18.6		
PHF	.250	.916	.833	.429	.902	.250	.978	.556	1.00	.963	.558	.929	.750	.444	.743	.813	.667	.679	.688	.922	.927

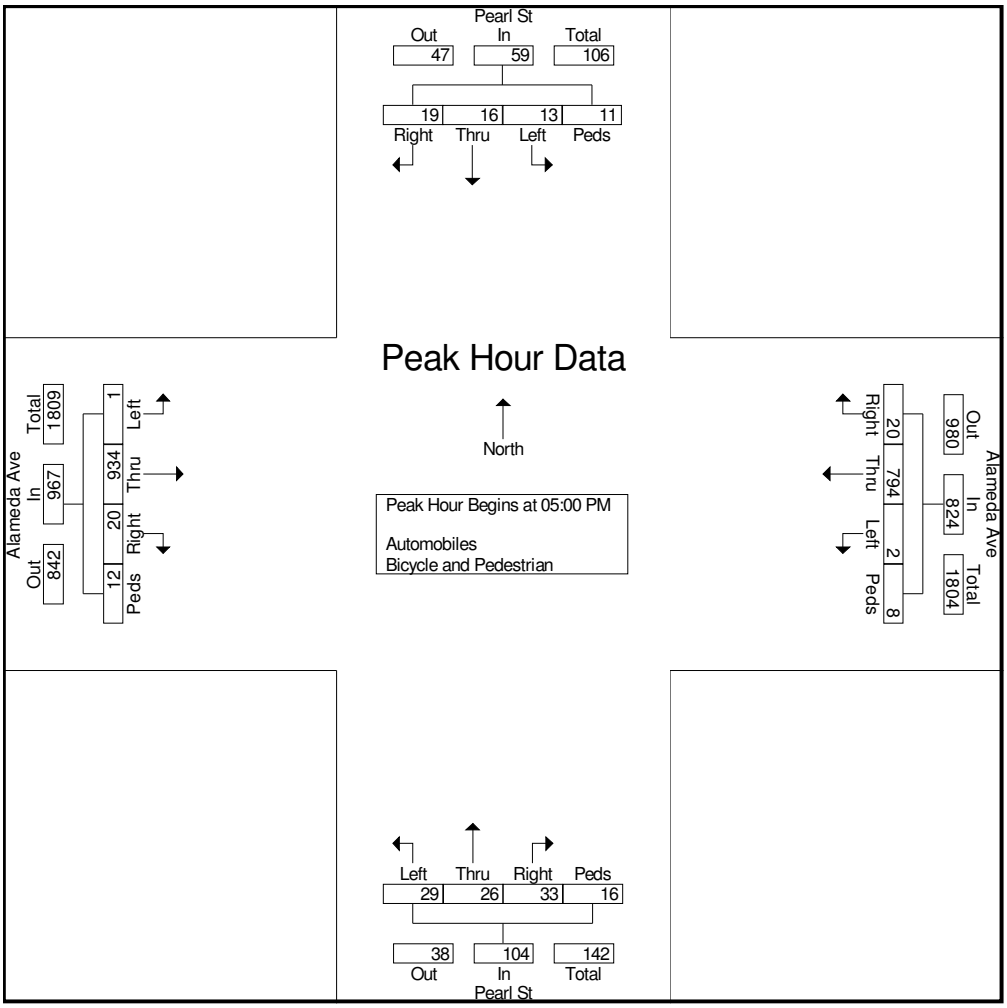

Ridgeview Data Collection

Denver, CO
Alameda Lane Reduction
AM Peak
Alameda Ave and Washington St

File Name : Alameda and Washington AM
Site Code : KHA 623
Start Date : 9/20/2022
Page No : 1

Groups Printed- Automobiles - Bicycle and Pedestrian

	Alameda Ave Eastbound					Alameda Ave Westbound					Washington St Northbound					Washington St Southbound					
Start Time	Left	Thru	Right	Peds	App. Total	Left	Thru	Right	Peds	App. Total	Left	Thru	Right	Peds	App. Total	Left	Thru	Right	Peds	App. Total	Int. Total
07:00 AM	0	96	1	0	97	3	95	0	0	98	0	0	0	0	0	5	10	5	0	20	215
07:15 AM	0	135	3	0	138	7	91	0	0	98	0	0	0	1	1	13	9	15	1	38	275
07:30 AM	0	167	1	0	168	1	135	0	1	137	0	0	0	0	0	17	13	18	3	51	356
07:45 AM	0	183	5	1	189	8	158	0	2	168	0	0	0	1	1	40	28	35	6	109	467
Total	0	581	10	1	592	19	479	0	3	501	0	0	0	2	2	75	60	73	10	218	1313
08:00 AM	0	177	8	4	189	8	141	0	3	152	0	0	0	0	0	27	36	31	7	101	442
08:15 AM	0	212	4	3	219	3	168	0	3	174	0	1	0	4	5	10	22	29	0	61	459
08:30 AM	0	183	4	0	187	5	124	0	1	130	0	0	0	1	1	4	15	5	3	27	345
08:45 AM	0	179	4	0	183	1	147	0	1	149	0	0	0	0	0	8	8	14	1	31	363
Total	0	751	20	7	778	17	580	0	8	605	0	1	0	5	6	49	81	79	11	220	1609
Grand Total	0	1332	30	8	1370	36	1059	0	11	1106	0	1	0	7	8	124	141	152	21	438	2922
Apprch %	0	97.2	2.2	0.6		3.3	95.8	0	1		0	12.5	0	87.5		28.3	32.2	34.7	4.8		
Total %	0	45.6	1	0.3	46.9	1.2	36.2	0	0.4	37.9	0	0	0	0.2	0.3	4.2	4.8	5.2	0.7	15	
Automobiles	0	1332	30	0	1362	35	1059	0	0	1094	0	0	0	0	0	124	123	152	0	399	2855
% Automobiles	0	100	100	0	99.4	97.2	100	0	0	98.9	0	0	0	0	0	100	87.2	100	0	91.1	97.7
Bicycle and Pedestrian	0	0	0	8	8	1	0	0	11	12	0	1	0	7	8	0	18	0	21	39	67
% Bicycle and Pedestrian	0	0	0	100	0.6	2.8	0	0	100	1.1	0	100	0	100	100	0	12.8	0	100	8.9	2.3

Ridgeview Data Collection

Denver, CO
Alameda Lane Reduction
AM Peak
Alameda Ave and Washington St

File Name : Alameda and Washington AM
Site Code : KHA 623
Start Date : 9/20/2022
Page No : 2

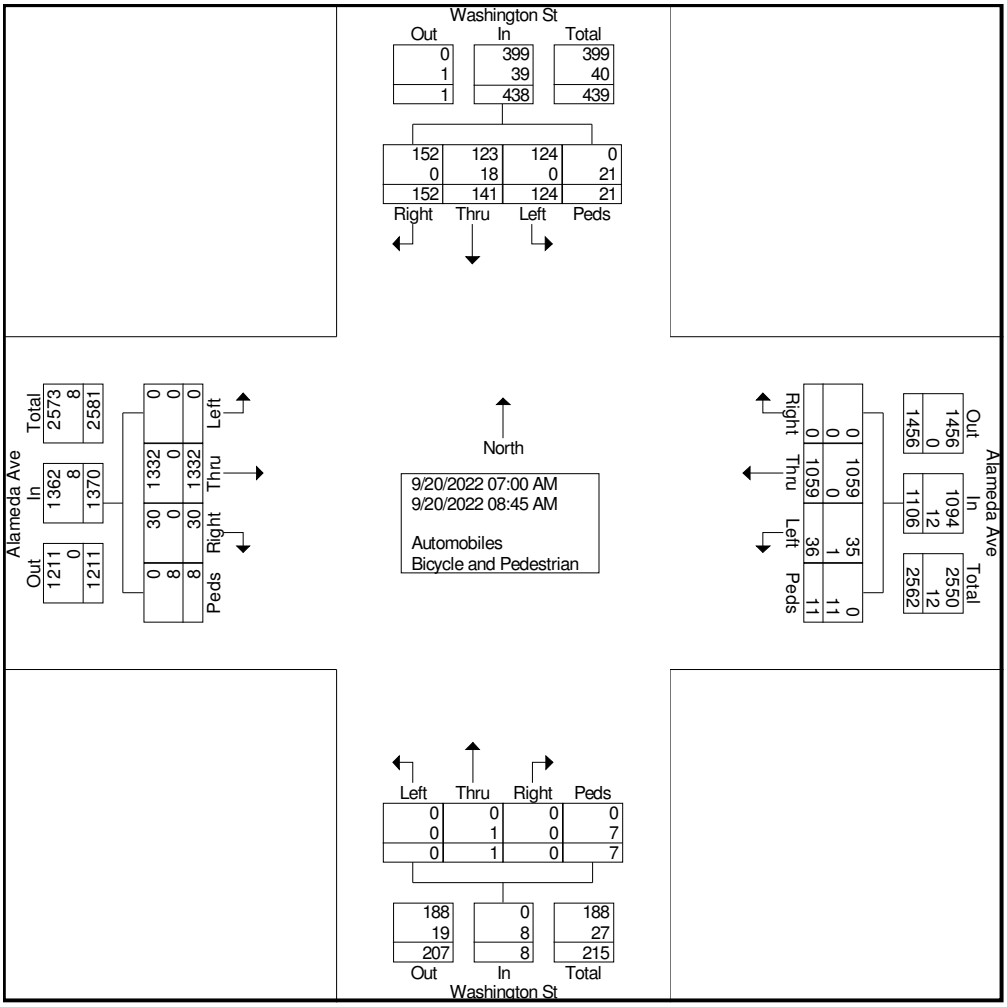

Ridgeview Data Collection

Denver, CO
Alameda Lane Reduction
AM Peak
Alameda Ave and Washington St

File Name : Alameda and Washington AM
Site Code : KHA 623
Start Date : 9/20/2022
Page No : 3

	Alameda Ave Eastbound					Alameda Ave Westbound					Washington St Northbound					Washington St Southbound					
Start Time	Left	Thru	Right	Peds	App. Total	Left	Thru	Right	Peds	App. Total	Left	Thru	Right	Peds	App. Total	Left	Thru	Right	Peds	App. Total	Int. Total
Peak Hour Analysis From 07:00 AM to 08:45 AM - Peak 1 of 1																					
Peak Hour for Entire Intersection Begins at 07:30 AM																					
07:30 AM	0	167	1	0	168	1	135	0	1	137	0	0	0	0	0	17	13	18	3	51	356
07:45 AM	0	183	5	1	189	**8**	158	0	2	168	0	0	0	1	1	**40**	28	**35**	6	**109**	**467**
08:00 AM	0	177	**8**	**4**	189	8	141	0	**3**	152	0	0	0	0	0	27	**36**	31	**7**	101	442
08:15 AM	0	**212**	4	3	**219**	3	**168**	0	3	**174**	0	**1**	0	**4**	**5**	10	22	29	0	61	459
Total Volume	0	739	18	8	765	20	602	0	9	631	0	1	0	5	6	94	99	113	16	322	1724
% App. Total	0	96.6	2.4	1		3.2	95.4	0	1.4		0	16.7	0	83.3		29.2	30.7	35.1	5		
PHF	.000	.871	.563	.500	.873	.625	.896	.000	.750	.907	.000	.250	.000	.313	.300	.588	.688	.807	.571	.739	.923

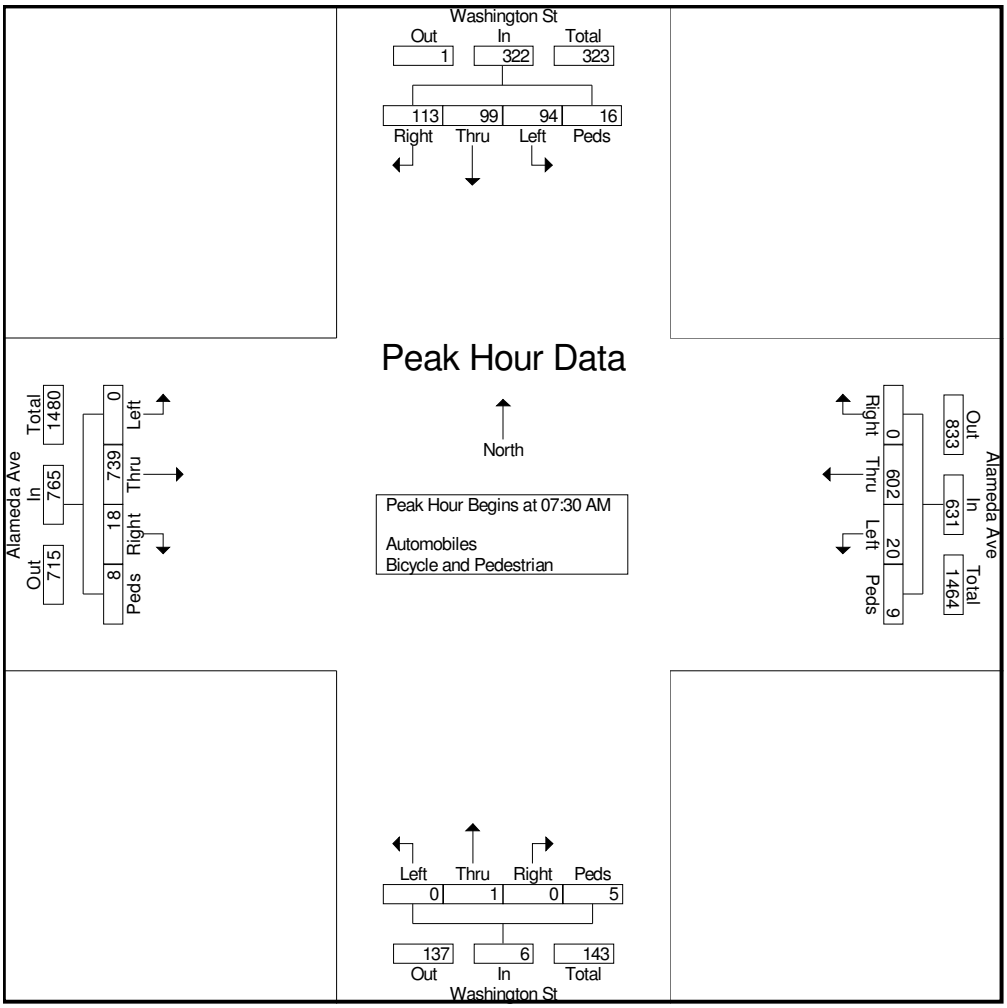

Ridgeview Data Collection

Denver, CO
Alameda Lane Reduction
PM Peak
Alameda Ave and Washington St

File Name : Alameda and Washington PM
Site Code : KHA 623
Start Date : 9/20/2022
Page No : 1

Groups Printed- Automobiles - Bicycle and Pedestrian

	Alameda Ave Eastbound					Alameda Ave Westbound					Washington St Northbound					Washington St Southbound					
Start Time	Left	Thru	Right	Peds	App. Total	Left	Thru	Right	Peds	App. Total	Left	Thru	Right	Peds	App. Total	Left	Thru	Right	Peds	App. Total	Int. Total
04:00 PM	0	209	5	4	218	10	181	0	0	191	0	0	0	1	1	40	47	34	7	128	538
04:15 PM	0	220	8	0	228	7	208	0	1	216	0	0	0	0	0	18	37	21	4	80	524
04:30 PM	0	241	8	0	249	7	195	0	0	202	0	1	0	1	2	11	23	11	0	45	498
04:45 PM	0	216	8	2	226	9	177	0	0	186	0	0	0	0	0	10	27	12	0	49	461
Total	0	886	29	6	921	33	761	0	1	795	0	1	0	2	3	79	134	78	11	302	2021
05:00 PM	0	208	8	1	217	13	193	0	2	208	0	0	0	0	0	13	34	14	1	62	487
05:15 PM	0	238	7	4	249	7	194	0	2	203	0	0	0	0	0	19	51	12	3	85	537
05:30 PM	0	236	8	1	245	10	198	0	2	210	0	0	0	1	1	21	33	12	5	71	527
05:45 PM	0	256	4	7	267	8	201	0	2	211	0	0	0	4	4	14	39	12	4	69	551
Total	0	938	27	13	978	38	786	0	8	832	0	0	0	5	5	67	157	50	13	287	2102
Grand Total	0	1824	56	19	1899	71	1547	0	9	1627	0	1	0	7	8	146	291	128	24	589	4123
Apprch %	0	96.1	2.9	1		4.4	95.1	0	0.6		0	12.5	0	87.5		24.8	49.4	21.7	4.1		
Total %	0	44.2	1.4	0.5	46.1	1.7	37.5	0	0.2	39.5	0	0	0	0.2	0.2	3.5	7.1	3.1	0.6	14.3	
Automobiles	0	1824	56	0	1880	71	1544	0	0	1615	0	0	0	0	0	143	270	128	0	541	4036
% Automobiles	0	100	100	0	99	100	99.8	0	0	99.3	0	0	0	0	0	97.9	92.8	100	0	91.9	97.9
Bicycle and Pedestrian	0	0	0	19	19	0	3	0	9	12	0	1	0	7	8	3	21	0	24	48	87
% Bicycle and Pedestrian	0	0	0	100	1	0	0.2	0	100	0.7	0	100	0	100	100	2.1	7.2	0	100	8.1	2.1

Ridgeview Data Collection

Denver, CO
Alameda Lane Reduction
PM Peak
Alameda Ave and Washington St

File Name : Alameda and Washington PM
Site Code : KHA 623
Start Date : 9/20/2022
Page No : 2

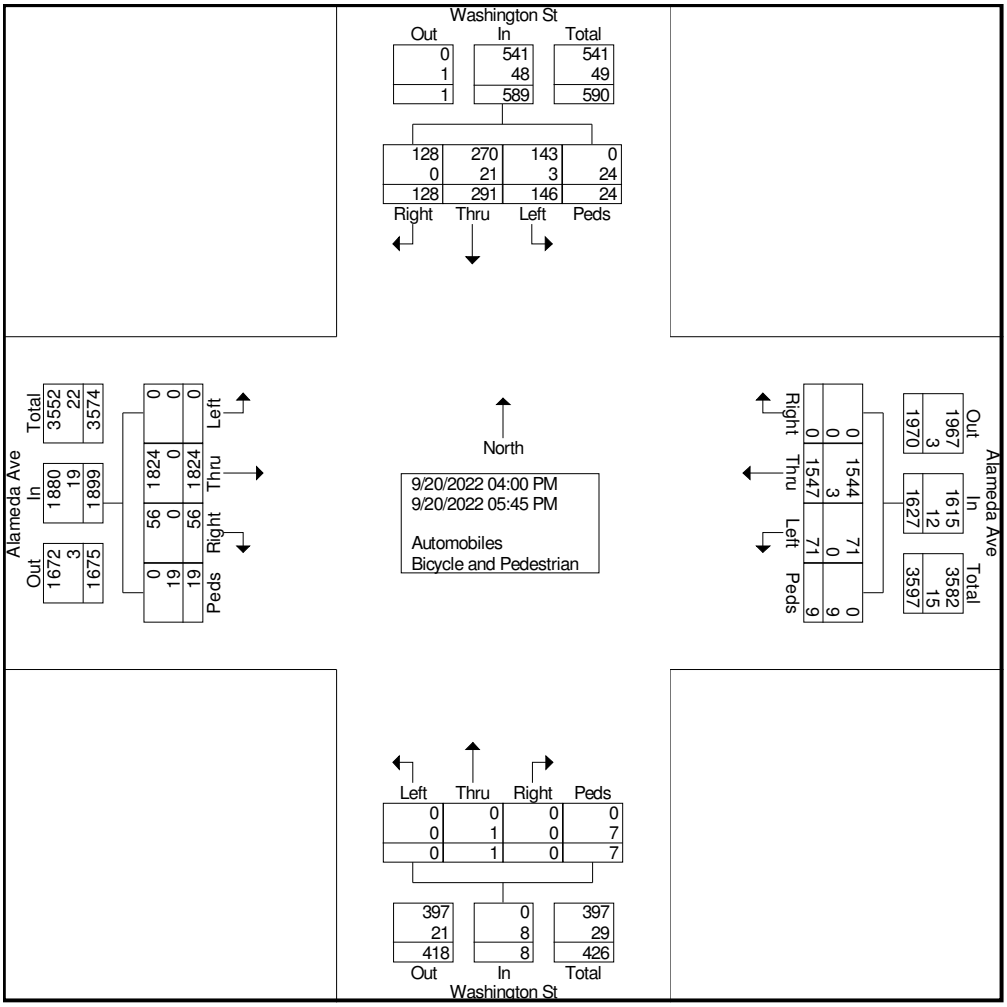

Ridgeview Data Collection

Denver, CO
Alameda Lane Reduction
PM Peak
Alameda Ave and Washington St

File Name : Alameda and Washington PM
Site Code : KHA 623
Start Date : 9/20/2022
Page No : 3

	Alameda Ave Eastbound					Alameda Ave Westbound					Washington St Northbound					Washington St Southbound					
Start Time	Left	Thru	Right	Peds	App. Total	Left	Thru	Right	Peds	App. Total	Left	Thru	Right	Peds	App. Total	Left	Thru	Right	Peds	App. Total	Int. Total
Peak Hour Analysis From 04:00 PM to 05:45 PM - Peak 1 of 1																					
Peak Hour for Entire Intersection Begins at 05:00 PM																					
05:00 PM	0	208	**8**	1	217	**13**	193	0	**2**	208	0	0	0	0	0	13	34	**14**	1	62	487
05:15 PM	0	238	7	4	249	7	194	0	2	203	0	0	0	0	0	19	**51**	12	3	**85**	537
05:30 PM	0	236	8	1	245	10	198	0	2	210	0	0	0	1	1	**21**	33	12	**5**	71	527
05:45 PM	0	**256**	4	**7**	**267**	8	**201**	0	2	**211**	0	0	0	**4**	**4**	14	39	12	4	69	**551**
Total Volume	0	938	27	13	978	38	786	0	8	832	0	0	0	5	5	67	157	50	13	287	2102
% App. Total	0	95.9	2.8	1.3		4.6	94.5	0	1		0	0	0	100		23.3	54.7	17.4	4.5		
PHF	.000	.916	.844	.464	.916	.731	.978	.000	1.00	.986	.000	.000	.000	.313	.313	.798	.770	.893	.650	.844	.954

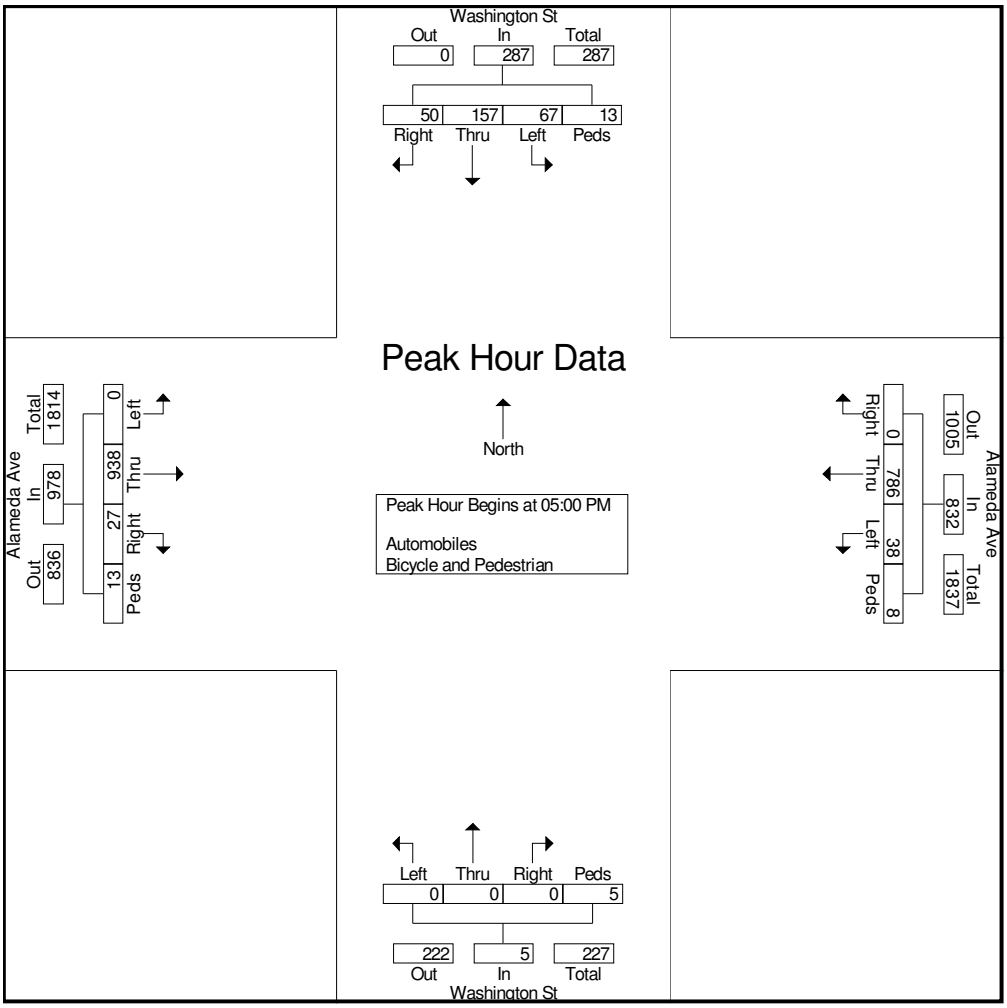

Ridgeview Data Collection

Denver, CO
Alameda Lane Reduction
AM Peak
Alameda Ave and Clarkson St

File Name : Alameda and Clarkson AM
Site Code : KHA 623
Start Date : 9/22/2022
Page No : 1

Groups Printed- Automobiles - Bicycle and Pedestrian

	Alameda Ave Eastbound					Alameda Ave Westbound					Clarkson St Northbound					Clarkson St Southbound					
Start Time	Left	Thru	Right	Peds	App. Total	Left	Thru	Right	Peds	App. Total	Left	Thru	Right	Peds	App. Total	Left	Thru	Right	Peds	App. Total	Int. Total
07:00 AM	0	92	1	0	93	2	84	2	0	88	0	0	0	0	0	1	0	4	0	5	186
07:15 AM	3	143	0	0	146	0	112	4	0	116	0	0	1	1	2	2	0	0	1	3	267
07:30 AM	4	162	0	0	166	1	130	9	1	141	0	0	2	1	3	0	0	6	5	11	321
07:45 AM	8	229	0	0	237	1	157	9	0	167	0	1	4	2	7	0	0	3	6	9	420
Total	15	626	1	0	642	4	483	24	1	512	0	1	7	4	12	3	0	13	12	28	1194
08:00 AM	8	163	0	0	171	1	163	11	0	175	2	1	2	4	9	2	2	4	3	11	366
08:15 AM	3	187	1	0	191	2	148	3	0	153	1	1	1	0	3	1	0	1	3	5	352
08:30 AM	3	178	0	1	182	1	131	1	0	133	1	1	1	0	3	1	0	1	2	4	322
08:45 AM	2	184	2	0	188	1	109	1	0	111	0	1	2	1	4	0	0	0	3	3	306
Total	16	712	3	1	732	5	551	16	0	572	4	4	6	5	19	4	2	6	11	23	1346
Grand Total	31	1338	4	1	1374	9	1034	40	1	1084	4	5	13	9	31	7	2	19	23	51	2540
Apprch %	2.3	97.4	0.3	0.1		0.8	95.4	3.7	0.1		12.9	16.1	41.9	29		13.7	3.9	37.3	45.1		
Total %	1.2	52.7	0.2	0	54.1	0.4	40.7	1.6	0	42.7	0.2	0.2	0.5	0.4	1.2	0.3	0.1	0.7	0.9	2	
Automobiles	31	1337	4	0	1372	9	1034	40	0	1083	4	3	13	0	20	7	1	19	0	27	2502
% Automobiles	100	99.9	100	0	99.9	100	100	100	0	99.9	100	60	100	0	64.5	100	50	100	0	52.9	98.5
Bicycle and Pedestrian	0	1	0	1	2	0	0	0	1	1	0	2	0	9	11	0	1	0	23	24	38
% Bicycle and Pedestrian	0	0.1	0	100	0.1	0	0	0	100	0.1	0	40	0	100	35.5	0	50	0	100	47.1	1.5

Ridgeview Data Collection

Denver, CO
Alameda Lane Reduction
AM Peak
Alameda Ave and Clarkson St

File Name : Alameda and Clarkson AM
Site Code : KHA 623
Start Date : 9/22/2022
Page No : 2

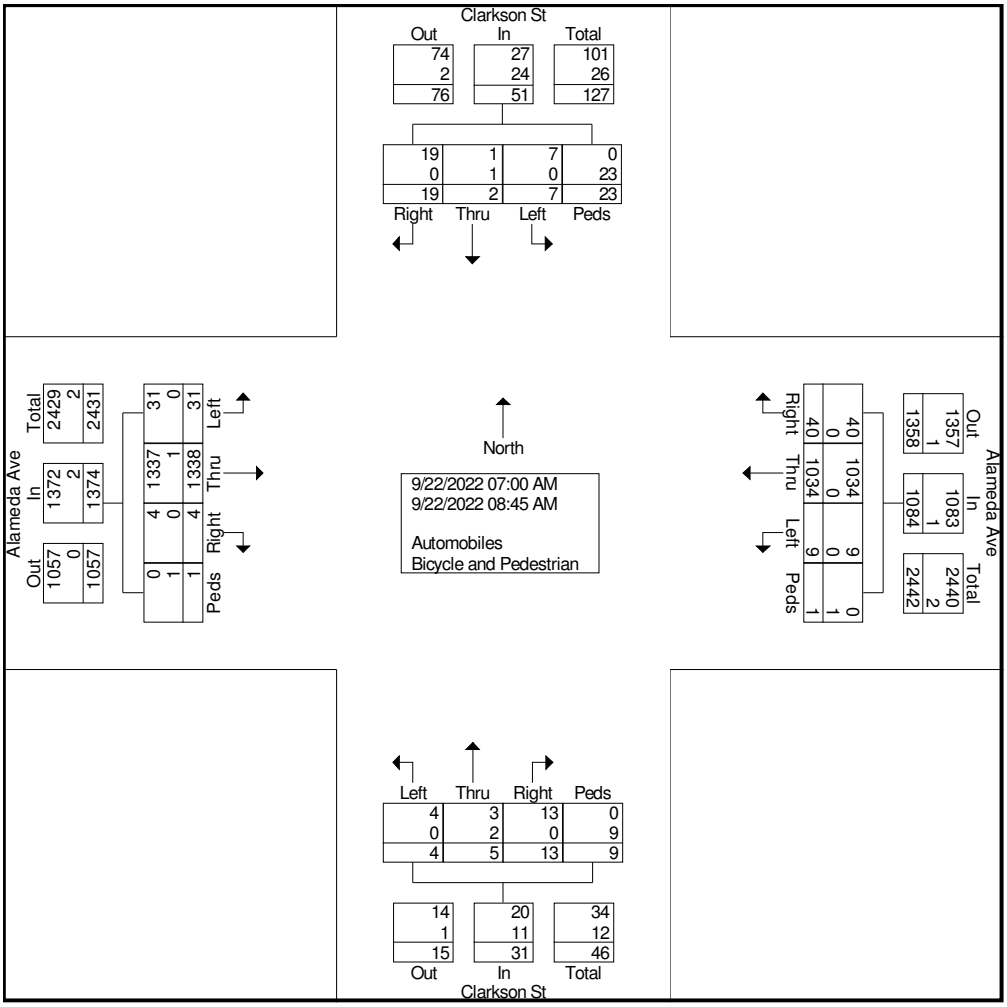

Ridgeview Data Collection

Denver, CO
Alameda Lane Reduction
AM Peak
Alameda Ave and Clarkson St

File Name : Alameda and Clarkson AM
Site Code : KHA 623
Start Date : 9/22/2022
Page No : 3

	Alameda Ave Eastbound					Alameda Ave Westbound					Clarkson St Northbound					Clarkson St Southbound					
Start Time	Left	Thru	Right	Peds	App. Total	Left	Thru	Right	Peds	App. Total	Left	Thru	Right	Peds	App. Total	Left	Thru	Right	Peds	App. Total	Int. Total
Peak Hour Analysis From 07:00 AM to 08:45 AM - Peak 1 of 1																					
Peak Hour for Entire Intersection Begins at 07:45 AM																					
07:45 AM	**8**	**229**	0	0	**237**	1	157	9	0	167	0	**1**	**4**	2	7	0	0	3	**6**	9	**420**
08:00 AM	8	163	0	0	171	1	**163**	**11**	0	**175**	**2**	1	2	**4**	**9**	**2**	**2**	**4**	3	**11**	366
08:15 AM	3	187	**1**	0	191	**2**	148	3	0	153	1	1	1	0	3	1	0	1	3	5	352
08:30 AM	3	178	0	**1**	182	1	131	1	0	133	1	1	1	0	3	1	0	1	2	4	322
Total Volume	22	757	1	1	781	5	599	24	0	628	4	4	8	6	22	4	2	9	14	29	1460
% App. Total	2.8	96.9	0.1	0.1		0.8	95.4	3.8	0		18.2	18.2	36.4	27.3		13.8	6.9	31	48.3		
PHF	.688	.826	.250	.250	.824	.625	.919	.545	.000	.897	.500	1.00	.500	.375	.611	.500	.250	.563	.583	.659	.869

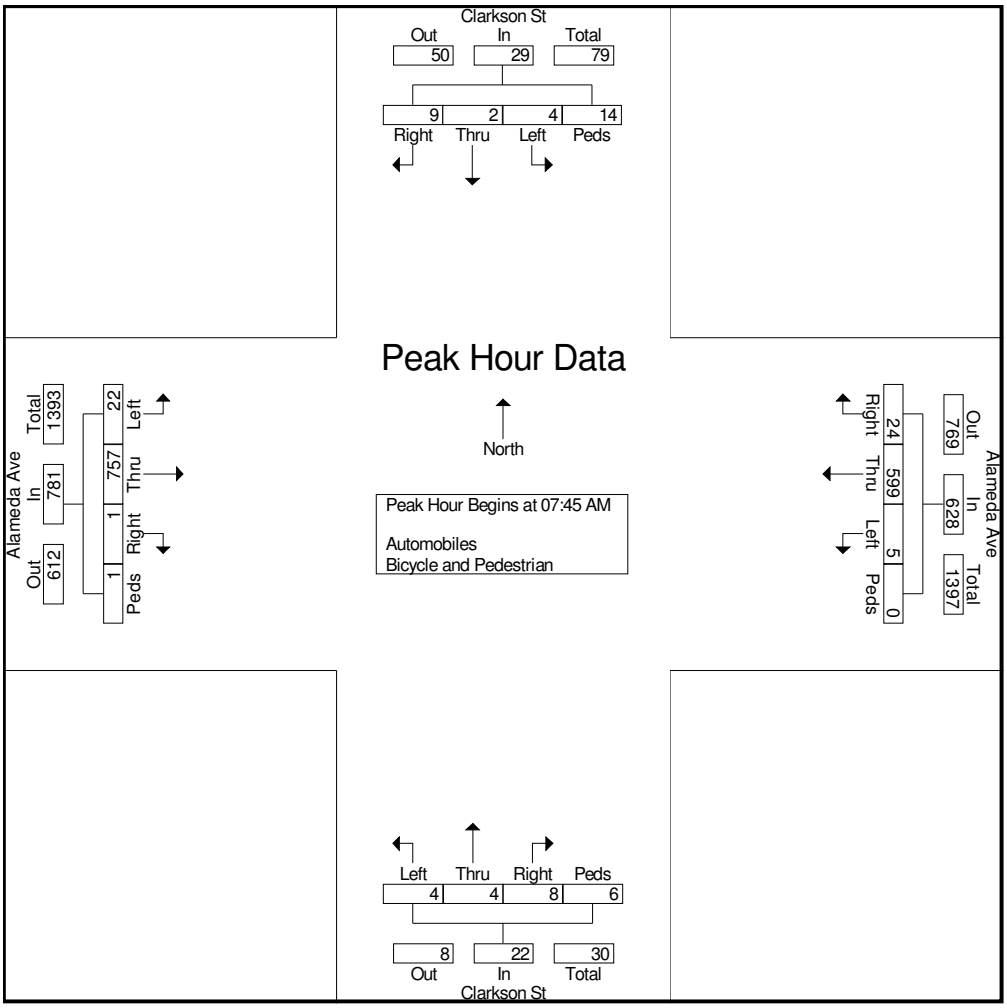

Ridgeview Data Collection

Denver, CO
Alameda Lane Reduction
PM Peak
Alameda Ave and Clarkson St

File Name : Alameda and Clarkson PM
Site Code : KHA 623
Start Date : 9/22/2022
Page No : 1

Groups Printed- Automobiles - Bicycle and Pedestrian

	Alameda Ave Eastbound					Alameda Ave Westbound					Clarkson St Northbound					Clarkson St Southbound					
Start Time	Left	Thru	Right	Peds	App. Total	Left	Thru	Right	Peds	App. Total	Left	Thru	Right	Peds	App. Total	Left	Thru	Right	Peds	App. Total	Int. Total
04:00 PM	4	250	0	1	255	3	207	2	1	213	1	0	3	2	6	1	1	3	1	6	480
04:15 PM	6	181	5	0	192	1	196	4	0	201	3	0	1	0	4	0	0	3	0	3	400
04:30 PM	5	210	0	1	216	1	213	4	0	218	2	1	4	0	7	0	0	3	3	6	447
04:45 PM	2	223	1	0	226	6	222	4	0	232	0	0	1	0	1	1	0	4	1	6	465
Total	17	864	6	2	889	11	838	14	1	864	6	1	9	2	18	2	1	13	5	21	1792
05:00 PM	4	253	1	1	259	2	172	1	1	176	0	1	1	0	2	0	0	5	1	6	443
05:15 PM	11	235	1	2	249	4	226	3	0	233	0	1	2	1	4	0	0	1	2	3	489
05:30 PM	6	200	1	0	207	1	192	2	0	195	0	2	0	0	2	1	0	4	1	6	410
05:45 PM	3	240	1	0	244	6	217	2	0	225	2	1	2	0	5	1	0	2	0	3	477
Total	24	928	4	3	959	13	807	8	1	829	2	5	5	1	13	2	0	12	4	18	1819
Grand Total	41	1792	10	5	1848	24	1645	22	2	1693	8	6	14	3	31	4	1	25	9	39	3611
Apprch %	2.2	97	0.5	0.3		1.4	97.2	1.3	0.1		25.8	19.4	45.2	9.7		10.3	2.6	64.1	23.1		
Total %	1.1	49.6	0.3	0.1	51.2	0.7	45.6	0.6	0.1	46.9	0.2	0.2	0.4	0.1	0.9	0.1	0	0.7	0.2	1.1	
Automobiles	41	1792	10	0	1843	24	1645	22	0	1691	8	4	14	0	26	4	1	25	0	30	3590
% Automobiles	100	100	100	0	99.7	100	100	100	0	99.9	100	66.7	100	0	83.9	100	100	100	0	76.9	99.4
Bicycle and Pedestrian	0	0	0	5	5	0	0	0	2	2	0	2	0	3	5	0	0	0	9	9	21
% Bicycle and Pedestrian	0	0	0	100	0.3	0	0	0	100	0.1	0	33.3	0	100	16.1	0	0	0	100	23.1	0.6

Ridgeview Data Collection

Denver, CO
Alameda Lane Reduction
PM Peak
Alameda Ave and Clarkson St

File Name : Alameda and Clarkson PM
Site Code : KHA 623
Start Date : 9/22/2022
Page No : 2

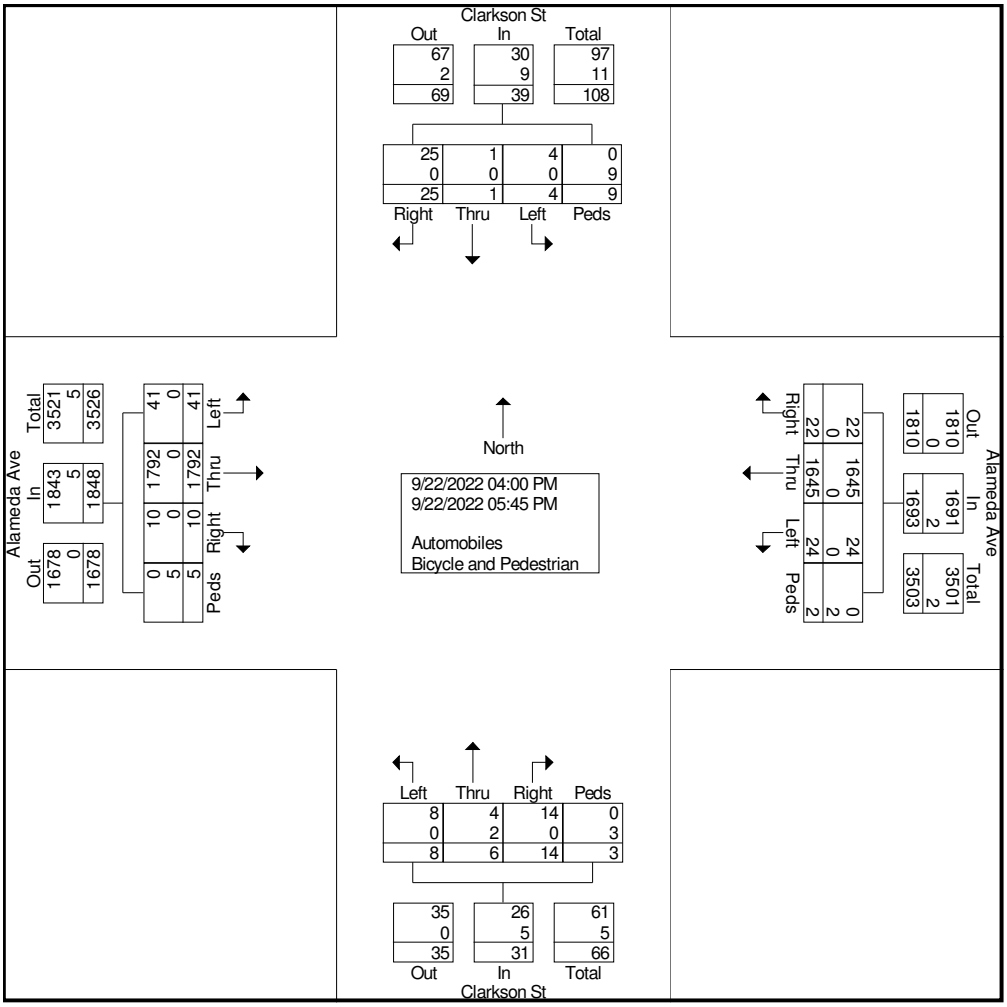

Ridgeview Data Collection

Denver, CO
Alameda Lane Reduction
PM Peak
Alameda Ave and Clarkson St

File Name : Alameda and Clarkson PM
Site Code : KHA 623
Start Date : 9/22/2022
Page No : 3

	Alameda Ave Eastbound					Alameda Ave Westbound					Clarkson St Northbound					Clarkson St Southbound					
Start Time	Left	Thru	Right	Peds	App. Total	Left	Thru	Right	Peds	App. Total	Left	Thru	Right	Peds	App. Total	Left	Thru	Right	Peds	App. Total	Int. Total
Peak Hour Analysis From 04:00 PM to 05:45 PM - Peak 1 of 1																					
Peak Hour for Entire Intersection Begins at 04:30 PM																					
04:30 PM	5	210	0	1	216	1	213	**4**	0	218	**2**	**1**	**4**	0	**7**	0	0	3	**3**	**6**	447
04:45 PM	2	223	**1**	0	226	**6**	222	4	0	232	0	0	1	0	1	**1**	0	4	1	6	465
05:00 PM	4	**253**	1	1	**259**	2	172	1	**1**	176	0	1	1	0	2	0	0	**5**	1	6	443
05:15 PM	**11**	235	1	**2**	249	4	**226**	3	0	**233**	0	1	2	**1**	4	0	0	1	2	3	**489**
Total Volume	22	921	3	4	950	13	833	12	1	859	2	3	8	1	14	1	0	13	7	21	1844
% App. Total	2.3	96.9	0.3	0.4		1.5	97	1.4	0.1		14.3	21.4	57.1	7.1		4.8	0	61.9	33.3		
PHF	.500	.910	.750	.500	.917	.542	.921	.750	.250	.922	.250	.750	.500	.250	.500	.250	.000	.650	.583	.875	.943

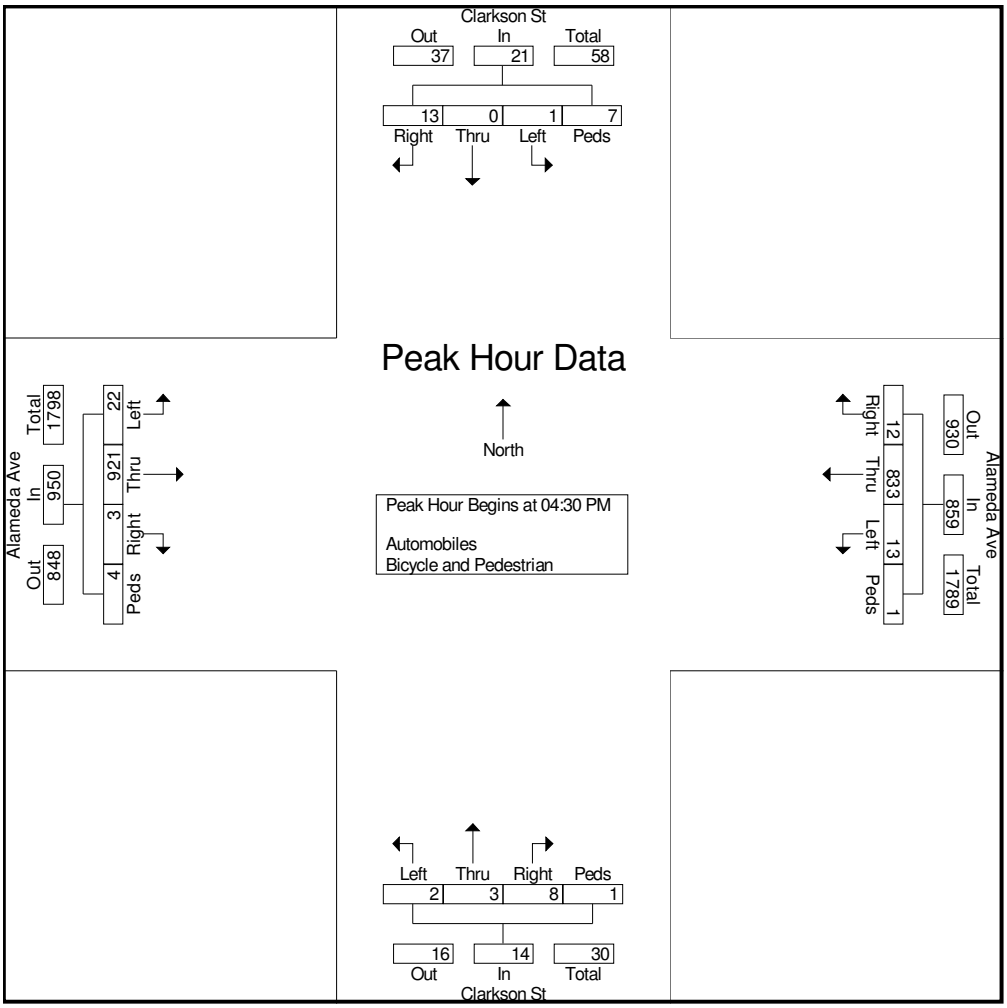

Ridgeview Data Collection

Denver, CO
Alameda Lane Reduction
AM Peak
Alameda Ave and Emerson St

File Name : Alameda and Emerson AM
Site Code : KHA 623
Start Date : 9/20/2022
Page No : 1

Groups Printed- Automobiles - Bicycle and Pedestrian

	Alameda Ave Eastbound					Alameda Ave Westbound					Emerson St Northbound					Emerson St Southbound					
Start Time	Left	Thru	Right	Peds	App. Total	Left	Thru	Right	Peds	App. Total	Left	Thru	Right	Peds	App. Total	Left	Thru	Right	Peds	App. Total	Int. Total
07:00 AM	4	97	0	0	101	0	94	3	1	98	2	10	3	0	15	0	0	0	0	0	214
07:15 AM	6	141	0	4	151	0	93	2	1	96	1	13	6	0	20	0	0	0	2	2	269
07:30 AM	6	175	0	6	187	0	136	18	3	157	6	19	6	0	31	0	0	0	6	6	381
07:45 AM	3	228	0	0	231	0	155	20	5	180	7	44	4	2	57	0	0	0	2	2	470
Total	19	641	0	10	670	0	478	43	10	531	16	86	19	2	123	0	0	0	10	10	1334
08:00 AM	9	185	0	0	194	0	146	10	5	161	9	38	3	1	51	0	0	0	4	4	410
08:15 AM	6	171	0	3	180	0	160	5	3	168	11	27	9	1	48	0	0	0	1	1	397
08:30 AM	6	183	0	2	191	0	119	4	1	124	6	31	5	2	44	0	0	0	0	0	359
08:45 AM	11	177	0	2	190	0	140	3	2	145	0	33	6	0	39	0	0	0	1	1	375
Total	32	716	0	7	755	0	565	22	11	598	26	129	23	4	182	0	0	0	6	6	1541
Grand Total	51	1357	0	17	1425	0	1043	65	21	1129	42	215	42	6	305	0	0	0	16	16	2875
Apprch %	3.6	95.2	0	1.2		0	92.4	5.8	1.9		13.8	70.5	13.8	2		0	0	0	100		
Total %	1.8	47.2	0	0.6	49.6	0	36.3	2.3	0.7	39.3	1.5	7.5	1.5	0.2	10.6	0	0	0	0.6	0.6	
Automobiles	51	1357	0	0	1408	0	1042	65	0	1107	42	194	42	0	278	0	0	0	0	0	2793
% Automobiles	100	100	0	0	98.8	0	99.9	100	0	98.1	100	90.2	100	0	91.1	0	0	0	0	0	97.1
Bicycle and Pedestrian	0	0	0	17	17	0	1	0	21	22	0	21	0	6	27	0	0	0	16	16	82
% Bicycle and Pedestrian	0	0	0	100	1.2	0	0.1	0	100	1.9	0	9.8	0	100	8.9	0	0	0	100	100	2.9

Ridgeview Data Collection

Denver, CO
Alameda Lane Reduction
AM Peak
Alameda Ave and Emerson St

File Name : Alameda and Emerson AM
Site Code : KHA 623
Start Date : 9/20/2022
Page No : 2

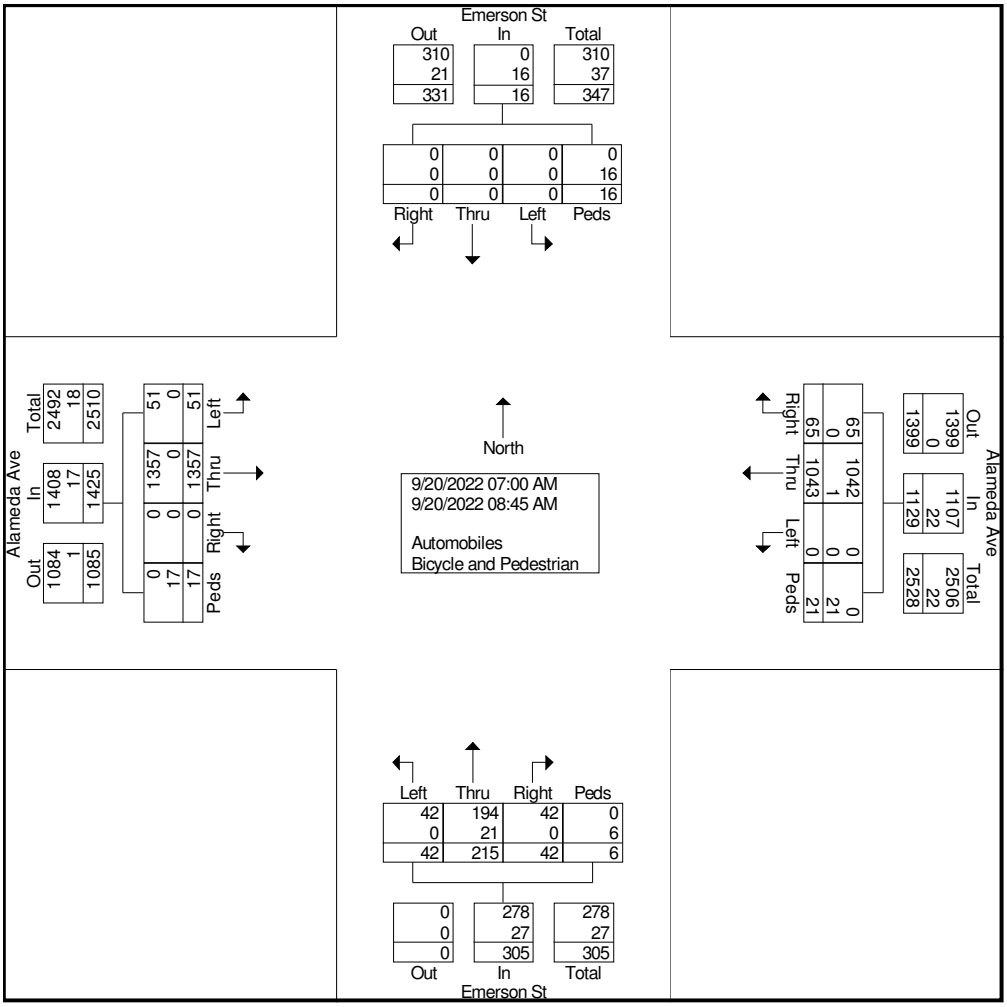

Ridgeview Data Collection

Denver, CO
Alameda Lane Reduction
AM Peak
Alameda Ave and Emerson St

File Name : Alameda and Emerson AM
Site Code : KHA 623
Start Date : 9/20/2022
Page No : 3

	Alameda Ave Eastbound					Alameda Ave Westbound					Emerson St Northbound					Emerson St Southbound					
Start Time	Left	Thru	Right	Peds	App. Total	Left	Thru	Right	Peds	App. Total	Left	Thru	Right	Peds	App. Total	Left	Thru	Right	Peds	App. Total	Int. Total
Peak Hour Analysis From 07:00 AM to 08:45 AM - Peak 1 of 1																					
Peak Hour for Entire Intersection Begins at 07:30 AM																					
07:30 AM	6	175	0	**6**	187	0	136	18	3	157	6	19	6	0	31	0	0	0	**6**	**6**	381
07:45 AM	3	**228**	0	0	**231**	0	155	**20**	**5**	**180**	7	**44**	4	**2**	**57**	0	0	0	2	2	**470**
08:00 AM	**9**	185	0	0	194	0	146	10	5	161	9	38	3	1	51	0	0	0	4	4	410
08:15 AM	6	171	0	3	180	0	**160**	5	3	168	**11**	27	**9**	1	48	0	0	0	1	1	397
Total Volume	24	759	0	9	792	0	597	53	16	666	33	128	22	4	187	0	0	0	13	13	1658
% App. Total	3	95.8	0	1.1		0	89.6	8	2.4		17.6	68.4	11.8	2.1		0	0	0	100		
PHF	.667	.832	.000	.375	.857	.000	.933	.663	.800	.925	.750	.727	.611	.500	.820	.000	.000	.000	.542	.542	.882

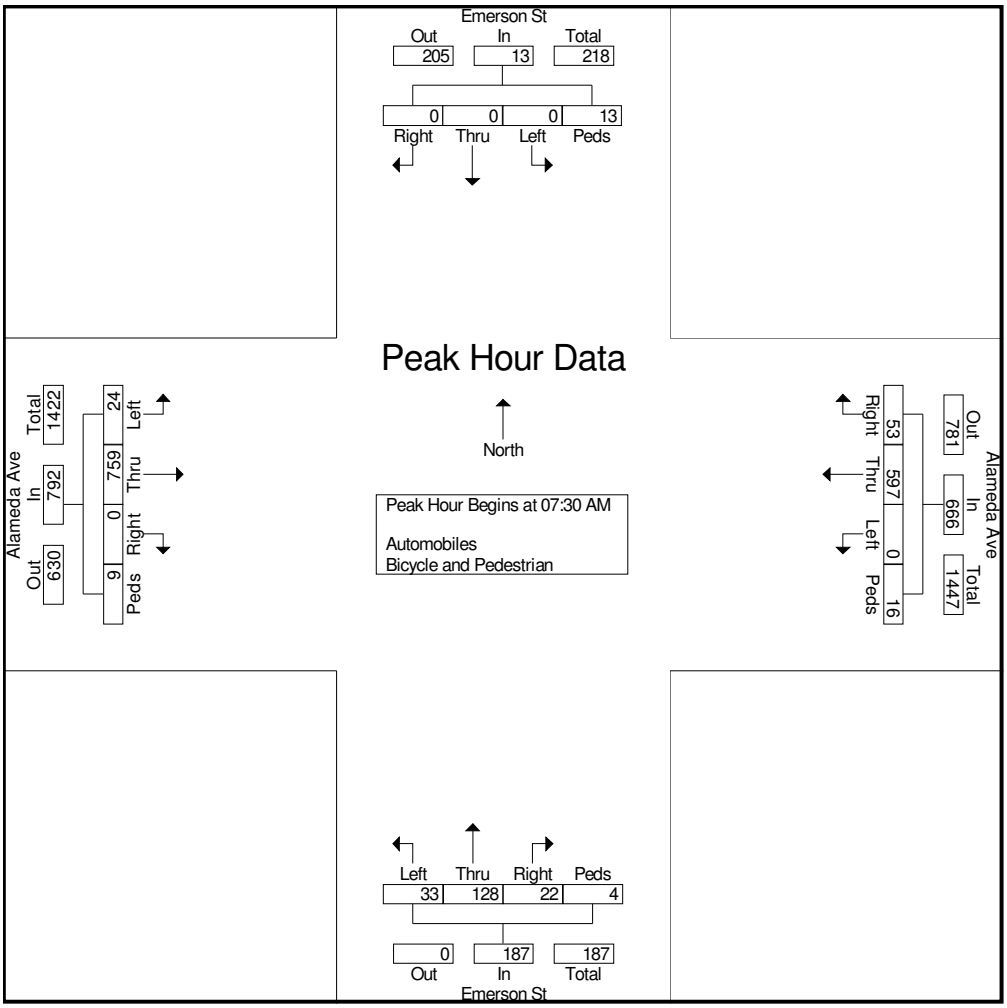

Ridgeview Data Collection

Denver, CO
Alameda Lane Reduction
PM Peak
Alameda Ave and Emerson St

File Name : Alameda and Emerson PM
Site Code : KHA 623
Start Date : 9/20/2022
Page No : 1

Groups Printed- Automobiles - Bicycle and Pedestrian

	Alameda Ave Eastbound					Alameda Ave Westbound					Emerson St Northbound					Emerson St Southbound					
Start Time	Left	Thru	Right	Peds	App. Total	Left	Thru	Right	Peds	App. Total	Left	Thru	Right	Peds	App. Total	Left	Thru	Right	Peds	App. Total	Int. Total
04:00 PM	19	236	0	2	257	0	182	9	1	192	8	38	3	1	50	0	0	0	3	3	502
04:15 PM	14	207	0	0	221	0	207	5	1	213	7	65	5	0	77	0	0	0	2	2	513
04:30 PM	11	228	0	0	239	0	191	7	0	198	8	68	5	0	81	0	0	0	2	2	520
04:45 PM	11	220	0	0	231	0	175	11	0	186	9	175	7	1	192	0	0	0	1	1	610
Total	55	891	0	2	948	0	755	32	2	789	32	346	20	2	400	0	0	0	8	8	2145
05:00 PM	7	212	0	3	222	0	198	11	0	209	9	82	7	0	98	0	0	0	0	0	529
05:15 PM	13	237	0	3	253	0	190	9	0	199	8	75	6	1	90	0	1	0	1	2	544
05:30 PM	12	234	0	1	247	0	197	9	1	207	8	66	14	2	90	0	0	0	0	0	544
05:45 PM	22	243	0	0	265	0	191	7	9	207	13	54	5	0	72	0	0	0	0	0	544
Total	54	926	0	7	987	0	776	36	10	822	38	277	32	3	350	0	1	0	1	2	2161
Grand Total	109	1817	0	9	1935	0	1531	68	12	1611	70	623	52	5	750	0	1	0	9	10	4306
Apprch %	5.6	93.9	0	0.5		0	95	4.2	0.7		9.3	83.1	6.9	0.7		0	10	0	90		
Total %	2.5	42.2	0	0.2	44.9	0	35.6	1.6	0.3	37.4	1.6	14.5	1.2	0.1	17.4	0	0	0	0.2	0.2	
Automobiles	109	1816	0	0	1925	0	1531	68	0	1599	70	608	52	0	730	0	0	0	0	0	4254
% Automobiles	100	99.9	0	0	99.5	0	100	100	0	99.3	100	97.6	100	0	97.3	0	0	0	0	0	98.8
Bicycle and Pedestrian	0	1	0	9	10	0	0	0	12	12	0	15	0	5	20	0	1	0	9	10	52
% Bicycle and Pedestrian	0	0.1	0	100	0.5	0	0	0	100	0.7	0	2.4	0	100	2.7	0	100	0	100	100	1.2

Ridgeview Data Collection

Denver, CO
Alameda Lane Reduction
PM Peak
Alameda Ave and Emerson St

File Name : Alameda and Emerson PM
Site Code : KHA 623
Start Date : 9/20/2022
Page No : 2

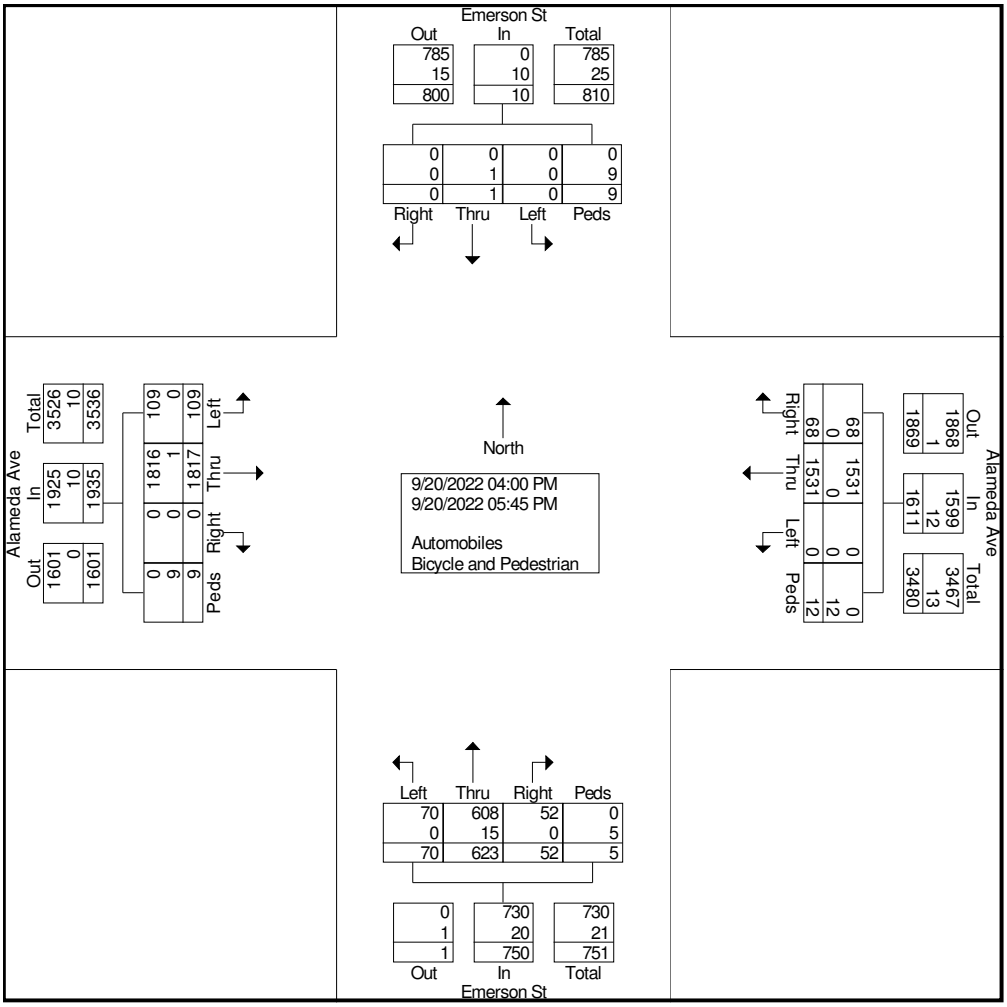

Ridgeview Data Collection

Denver, CO
Alameda Lane Reduction
PM Peak
Alameda Ave and Emerson St

File Name : Alameda and Emerson PM
Site Code : KHA 623
Start Date : 9/20/2022
Page No : 3

	Alameda Ave Eastbound					Alameda Ave Westbound					Emerson St Northbound					Emerson St Southbound					
Start Time	Left	Thru	Right	Peds	App. Total	Left	Thru	Right	Peds	App. Total	Left	Thru	Right	Peds	App. Total	Left	Thru	Right	Peds	App. Total	Int. Total
Peak Hour Analysis From 04:00 PM to 05:45 PM - Peak 1 of 1																					
Peak Hour for Entire Intersection Begins at 04:45 PM																					
04:45 PM	11	220	0	0	231	0	175	**11**	0	186	**9**	**175**	7	1	**192**	0	0	0	**1**	1	**610**
05:00 PM	7	212	0	**3**	222	0	**198**	11	0	**209**	9	82	7	0	98	0	0	0	0	0	529
05:15 PM	**13**	**237**	0	3	**253**	0	190	9	0	199	8	75	6	1	90	0	**1**	0	1	**2**	544
05:30 PM	12	234	0	1	247	0	197	9	**1**	207	8	66	**14**	**2**	90	0	0	0	0	0	544
Total Volume	43	903	0	7	953	0	760	40	1	801	34	398	34	4	470	0	1	0	2	3	2227
% App. Total	4.5	94.8	0	0.7		0	94.9	5	0.1		7.2	84.7	7.2	0.9		0	33.3	0	66.7		
PHF	.827	.953	.000	.583	.942	.000	.960	.909	.250	.958	.944	.569	.607	.500	.612	.000	.250	.000	.500	.375	.913

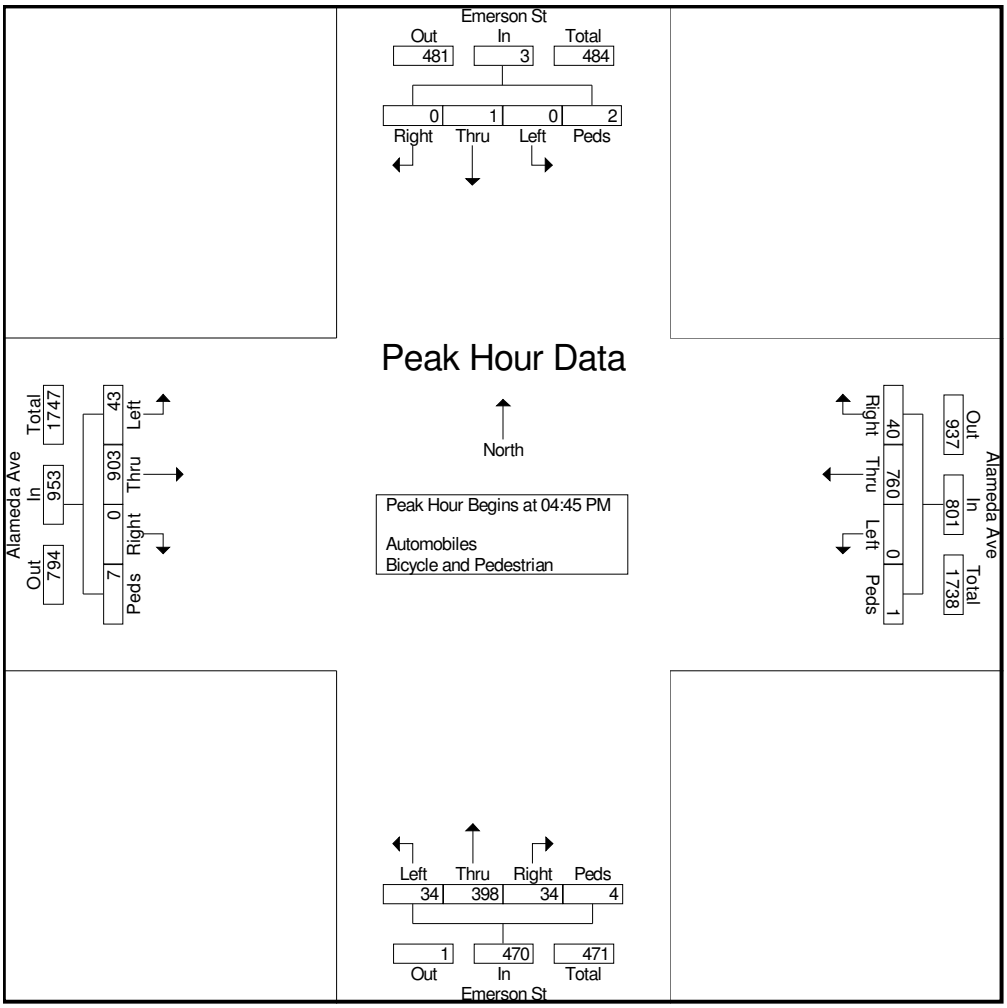

Ridgeview Data Collection

Denver, CO
Alameda Lane Reduction
AM Peak
Alameda Ave and Ogden St

File Name : Alameda and Ogden AM
Site Code : KHA 623
Start Date : 9/22/2022
Page No : 1

Groups Printed- Automobiles - Bicycle and Pedestrian

	Alameda Ave Eastbound					Alameda Ave Westbound					Ogden St Northbound					Ogden St Southbound					
Start Time	Left	Thru	Right	Peds	App. Total	Left	Thru	Right	Peds	App. Total	Left	Thru	Right	Peds	App. Total	Left	Thru	Right	Peds	App. Total	Int. Total
07:00 AM	1	91	1	0	93	1	86	0	1	88	2	0	0	1	3	0	0	4	1	5	189
07:15 AM	1	136	0	1	138	0	104	1	0	105	2	0	0	1	3	0	1	7	0	8	254
07:30 AM	1	157	2	1	161	3	146	0	2	151	1	0	0	1	2	0	0	6	4	10	324
07:45 AM	2	223	0	1	226	5	172	3	0	180	0	0	0	1	1	1	0	4	5	10	417
Total	5	607	3	3	618	9	508	4	3	524	5	0	0	4	9	1	1	21	10	33	1184
08:00 AM	0	169	2	1	172	5	182	1	0	188	0	0	2	3	5	1	0	4	3	8	373
08:15 AM	0	183	1	2	186	3	145	0	0	148	0	1	0	0	1	1	0	4	3	8	343
08:30 AM	1	173	2	0	176	6	102	0	0	108	1	0	1	0	2	1	0	6	4	11	297
08:45 AM	2	189	1	0	192	0	127	2	0	129	0	1	0	2	3	0	1	0	5	6	330
Total	3	714	6	3	726	14	556	3	0	573	1	2	3	5	11	3	1	14	15	33	1343
Grand Total	8	1321	9	6	1344	23	1064	7	3	1097	6	2	3	9	20	4	2	35	25	66	2527
Apprch %	0.6	98.3	0.7	0.4		2.1	97	0.6	0.3		30	10	15	45		6.1	3	53	37.9		
Total %	0.3	52.3	0.4	0.2	53.2	0.9	42.1	0.3	0.1	43.4	0.2	0.1	0.1	0.4	0.8	0.2	0.1	1.4	1	2.6	
Automobiles	8	1321	9	0	1338	23	1064	7	0	1094	6	2	3	0	11	4	1	35	0	40	2483
% Automobiles	100	100	100	0	99.6	100	100	100	0	99.7	100	100	100	0	55	100	50	100	0	60.6	98.3
Bicycle and Pedestrian	0	0	0	6	6	0	0	0	3	3	0	0	0	9	9	0	1	0	25	26	44
% Bicycle and Pedestrian	0	0	0	100	0.4	0	0	0	100	0.3	0	0	0	100	45	0	50	0	100	39.4	1.7

Ridgeview Data Collection

Denver, CO
Alameda Lane Reduction
AM Peak
Alameda Ave and Ogden St

File Name : Alameda and Ogden AM
Site Code : KHA 623
Start Date : 9/22/2022
Page No : 2

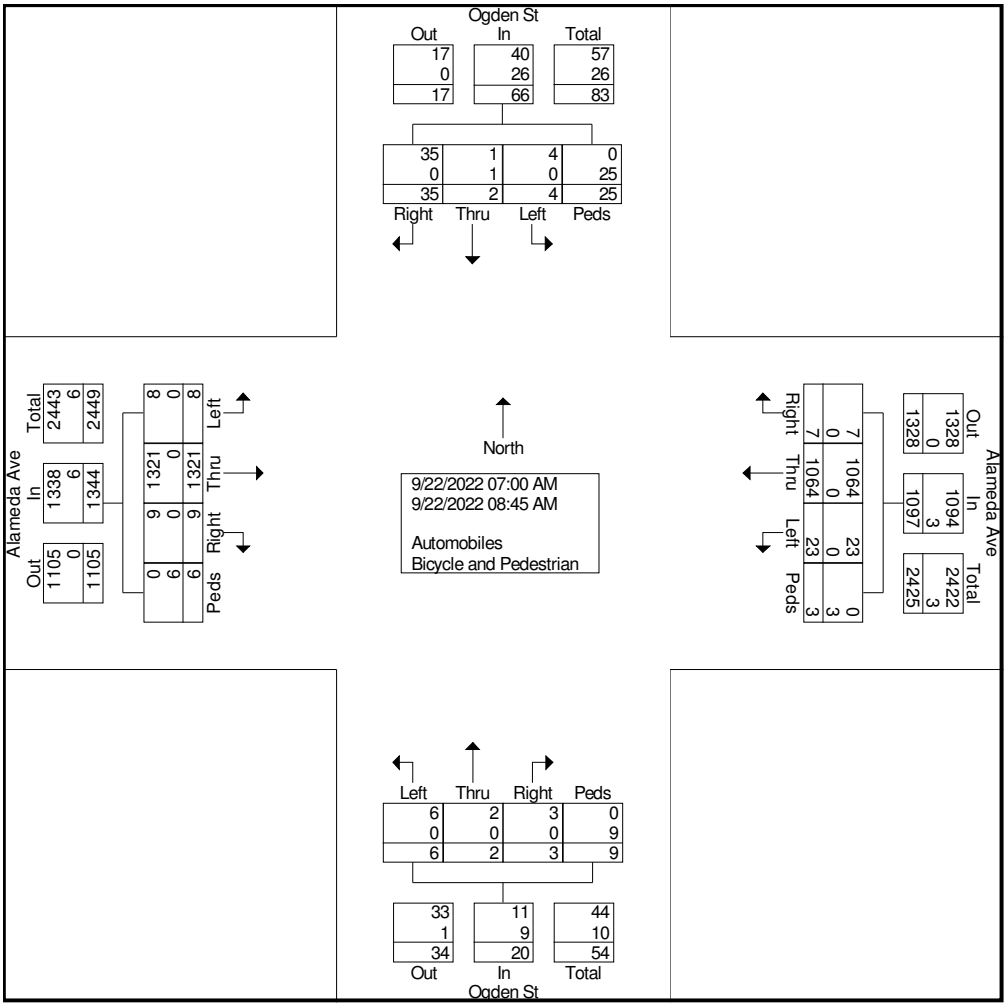

Ridgeview Data Collection

Denver, CO
Alameda Lane Reduction
AM Peak
Alameda Ave and Ogden St

File Name : Alameda and Ogden AM
Site Code : KHA 623
Start Date : 9/22/2022
Page No : 3

	Alameda Ave Eastbound					Alameda Ave Westbound					Ogden St Northbound					Ogden St Southbound					
Start Time	Left	Thru	Right	Peds	App. Total	Left	Thru	Right	Peds	App. Total	Left	Thru	Right	Peds	App. Total	Left	Thru	Right	Peds	App. Total	Int. Total
Peak Hour Analysis From 07:00 AM to 08:45 AM - Peak 1 of 1																					
Peak Hour for Entire Intersection Begins at 07:30 AM																					
07:30 AM	1	157	**2**	1	161	3	146	0	**2**	151	**1**	0	0	1	2	0	0	**6**	4	**10**	324
07:45 AM	**2**	**223**	0	1	**226**	**5**	172	**3**	0	180	0	0	0	1	1	**1**	0	4	**5**	10	**417**
08:00 AM	0	169	2	1	172	5	**182**	1	0	**188**	0	0	**2**	**3**	**5**	1	0	4	3	8	373
08:15 AM	0	183	1	**2**	186	3	145	0	0	148	0	**1**	0	0	1	1	0	4	3	8	343
Total Volume	3	732	5	5	745	16	645	4	2	667	1	1	2	5	9	3	0	18	15	36	1457
% App. Total	0.4	98.3	0.7	0.7		2.4	96.7	0.6	0.3		11.1	11.1	22.2	55.6		8.3	0	50	41.7		
PHF	.375	.821	.625	.625	.824	.800	.886	.333	.250	.887	.250	.250	.250	.417	.450	.750	.000	.750	.750	.900	.874

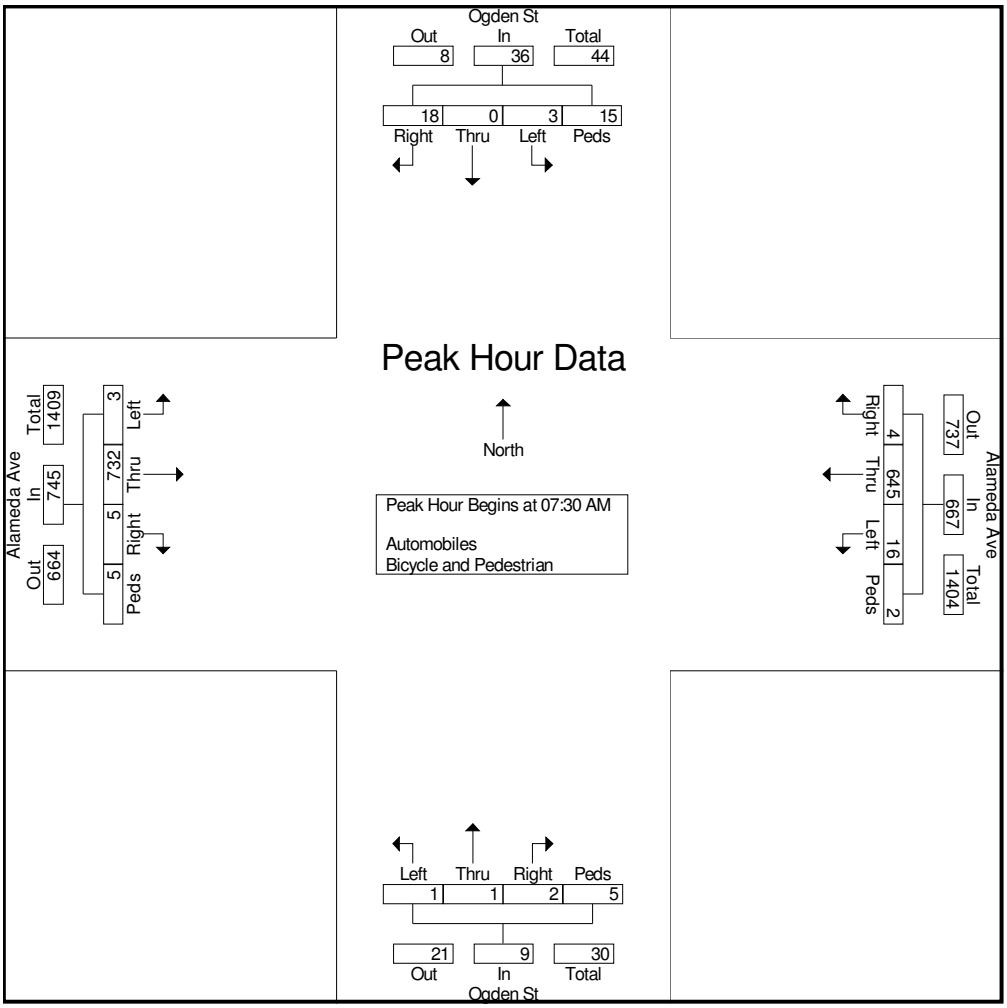

Ridgeview Data Collection

Denver, CO
Alameda Lane Reduction
PM Peak
Alameda Ave and Ogden St

File Name : Alameda and Ogden PM
Site Code : KHA 623
Start Date : 9/22/2022
Page No : 1

Groups Printed- Automobiles - Bicycle and Pedestrian

	Alameda Ave Eastbound					Alameda Ave Westbound					Ogden St Northbound					Ogden St Southbound					
Start Time	Left	Thru	Right	Peds	App. Total	Left	Thru	Right	Peds	App. Total	Left	Thru	Right	Peds	App. Total	Left	Thru	Right	Peds	App. Total	Int. Total
04:00 PM	0	237	2	1	240	3	210	0	0	213	0	2	1	0	3	0	2	2	2	6	462
04:15 PM	2	182	0	0	184	6	211	5	0	222	1	1	2	0	4	2	1	3	2	8	418
04:30 PM	2	193	3	0	198	6	218	1	2	227	0	2	0	1	3	0	4	1	4	9	437
04:45 PM	3	210	2	0	215	3	228	1	0	232	2	1	0	0	3	4	2	3	1	10	460
Total	7	822	7	1	837	18	867	7	2	894	3	6	3	1	13	6	9	9	9	33	1777
05:00 PM	4	241	2	0	247	4	173	1	0	178	1	1	2	1	5	0	2	2	2	6	436
05:15 PM	1	213	5	0	219	7	233	2	0	242	0	1	1	0	2	2	1	3	4	10	473
05:30 PM	5	188	1	0	194	6	188	2	1	197	0	0	3	0	3	0	2	8	1	11	405
05:45 PM	5	227	5	3	240	5	225	3	0	233	1	0	2	0	3	5	1	4	1	11	487
Total	15	869	13	3	900	22	819	8	1	850	2	2	8	1	13	7	6	17	8	38	1801
Grand Total	22	1691	20	4	1737	40	1686	15	3	1744	5	8	11	2	26	13	15	26	17	71	3578
Apprch %	1.3	97.4	1.2	0.2		2.3	96.7	0.9	0.2		19.2	30.8	42.3	7.7		18.3	21.1	36.6	23.9		
Total %	0.6	47.3	0.6	0.1	48.5	1.1	47.1	0.4	0.1	48.7	0.1	0.2	0.3	0.1	0.7	0.4	0.4	0.7	0.5	2	
Automobiles	22	1691	20	0	1733	40	1686	15	0	1741	5	7	11	0	23	13	13	26	0	52	3549
% Automobiles	100	100	100	0	99.8	100	100	100	0	99.8	100	87.5	100	0	88.5	100	86.7	100	0	73.2	99.2
Bicycle and Pedestrian	0	0	0	4	4	0	0	0	3	3	0	1	0	2	3	0	2	0	17	19	29
% Bicycle and Pedestrian	0	0	0	100	0.2	0	0	0	100	0.2	0	12.5	0	100	11.5	0	13.3	0	100	26.8	0.8

Ridgeview Data Collection

Denver, CO
Alameda Lane Reduction
PM Peak
Alameda Ave and Ogden St

File Name : Alameda and Ogden PM
Site Code : KHA 623
Start Date : 9/22/2022
Page No : 2

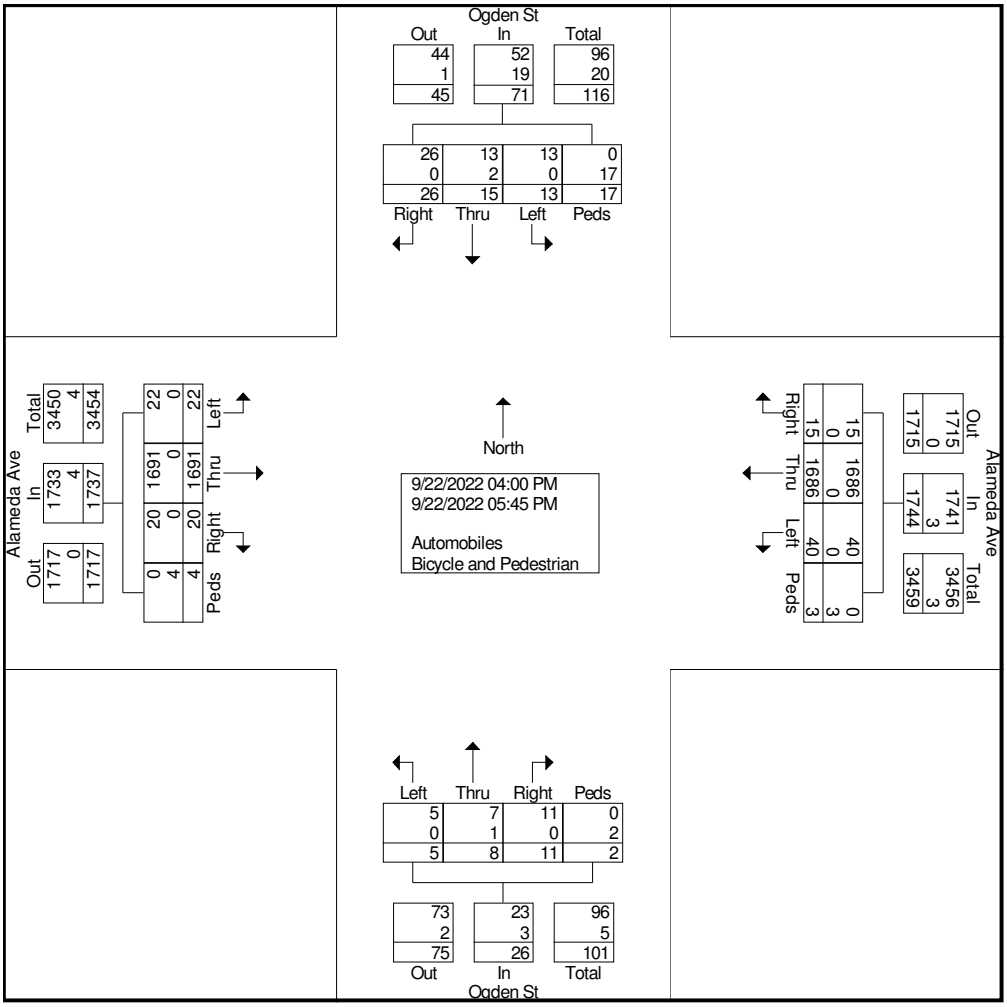

Ridgeview Data Collection

Denver, CO
Alameda Lane Reduction
PM Peak
Alameda Ave and Ogden St

File Name : Alameda and Ogden PM
Site Code : KHA 623
Start Date : 9/22/2022
Page No : 3

	Alameda Ave Eastbound					Alameda Ave Westbound					Ogden St Northbound					Ogden St Southbound					
Start Time	Left	Thru	Right	Peds	App. Total	Left	Thru	Right	Peds	App. Total	Left	Thru	Right	Peds	App. Total	Left	Thru	Right	Peds	App. Total	Int. Total
Peak Hour Analysis From 04:00 PM to 05:45 PM - Peak 1 of 1																					
Peak Hour for Entire Intersection Begins at 04:30 PM																					
04:30 PM	2	193	3	0	198	6	218	1	**2**	227	0	**2**	0	**1**	3	0	**4**	1	**4**	9	437
04:45 PM	3	210	2	0	215	3	228	1	0	232	**2**	1	0	0	3	**4**	2	**3**	1	**10**	460
05:00 PM	**4**	**241**	2	0	**247**	4	173	1	0	178	1	1	**2**	1	**5**	0	2	2	2	6	436
05:15 PM	1	213	**5**	0	219	**7**	**233**	**2**	0	**242**	0	1	1	0	2	2	1	3	4	10	**473**
Total Volume	10	857	12	0	879	20	852	5	2	879	3	5	3	2	13	6	9	9	11	35	1806
% App. Total	1.1	97.5	1.4	0		2.3	96.9	0.6	0.2		23.1	38.5	23.1	15.4		17.1	25.7	25.7	31.4		
PHF	.625	.889	.600	.000	.890	.714	.914	.625	.250	.908	.375	.625	.375	.500	.650	.375	.563	.750	.688	.875	.955

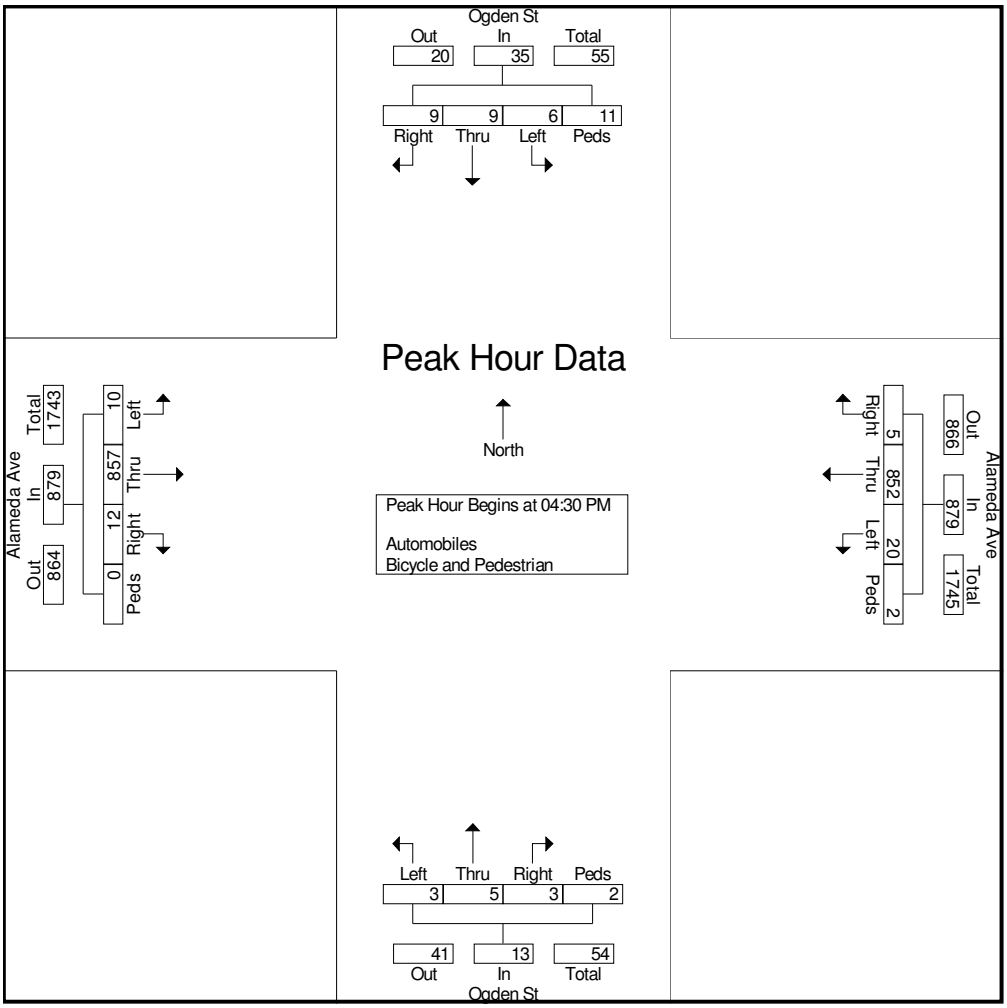

Ridgeview Data Collection

Denver, CO
Alameda Lane Reduction
AM Peak
Alameda Ave and Corona St

File Name : Alameda and Corona AM
Site Code : KHA 623
Start Date : 9/22/2022
Page No : 1

Groups Printed- Automobiles - Bicycle and Pedestrian

	Alameda Ave Eastbound					Alameda Ave Westbound					Corona St Northbound					Corona St Southbound					
Start Time	Left	Thru	Right	Peds	App. Total	Left	Thru	Right	Peds	App. Total	Left	Thru	Right	Peds	App. Total	Left	Thru	Right	Peds	App. Total	Int. Total
07:00 AM	0	94	0	0	94	0	83	0	2	85	0	0	2	3	5	1	0	3	0	4	188
07:15 AM	0	130	0	0	130	0	101	0	0	101	0	0	0	1	1	0	1	2	0	3	235
07:30 AM	0	162	0	2	164	1	144	0	0	145	1	0	0	1	2	0	0	4	4	8	319
07:45 AM	0	214	1	0	215	1	179	0	0	180	0	0	2	3	5	0	0	3	4	7	407
Total	0	600	1	2	603	2	507	0	2	511	1	0	4	8	13	1	1	12	8	22	1149
08:00 AM	0	179	3	1	183	0	178	1	0	179	0	0	0	2	2	0	0	7	5	12	376
08:15 AM	1	182	1	0	184	0	145	0	0	145	0	0	1	1	2	0	0	2	3	5	336
08:30 AM	1	168	1	0	170	1	124	4	0	129	0	1	1	0	2	0	0	2	6	8	309
08:45 AM	1	187	1	0	189	0	109	2	0	111	0	2	1	2	5	0	2	1	3	6	311
Total	3	716	6	1	726	1	556	7	0	564	0	3	3	5	11	0	2	12	17	31	1332
Grand Total	3	1316	7	3	1329	3	1063	7	2	1075	1	3	7	13	24	1	3	24	25	53	2481
Apprch %	0.2	99	0.5	0.2		0.3	98.9	0.7	0.2		4.2	12.5	29.2	54.2		1.9	5.7	45.3	47.2		
Total %	0.1	53	0.3	0.1	53.6	0.1	42.8	0.3	0.1	43.3	0	0.1	0.3	0.5	1	0	0.1	1	1	2.1	
Automobiles	3	1315	7	0	1325	3	1063	7	0	1073	1	1	7	0	9	1	1	24	0	26	2433
% Automobiles	100	99.9	100	0	99.7	100	100	100	0	99.8	100	33.3	100	0	37.5	100	33.3	100	0	49.1	98.1
Bicycle and Pedestrian	0	1	0	3	4	0	0	0	2	2	0	2	0	13	15	0	2	0	25	27	48
% Bicycle and Pedestrian	0	0.1	0	100	0.3	0	0	0	100	0.2	0	66.7	0	100	62.5	0	66.7	0	100	50.9	1.9

Ridgeview Data Collection

Denver, CO
Alameda Lane Reduction
AM Peak
Alameda Ave and Corona St

File Name : Alameda and Corona AM
Site Code : KHA 623
Start Date : 9/22/2022
Page No : 2

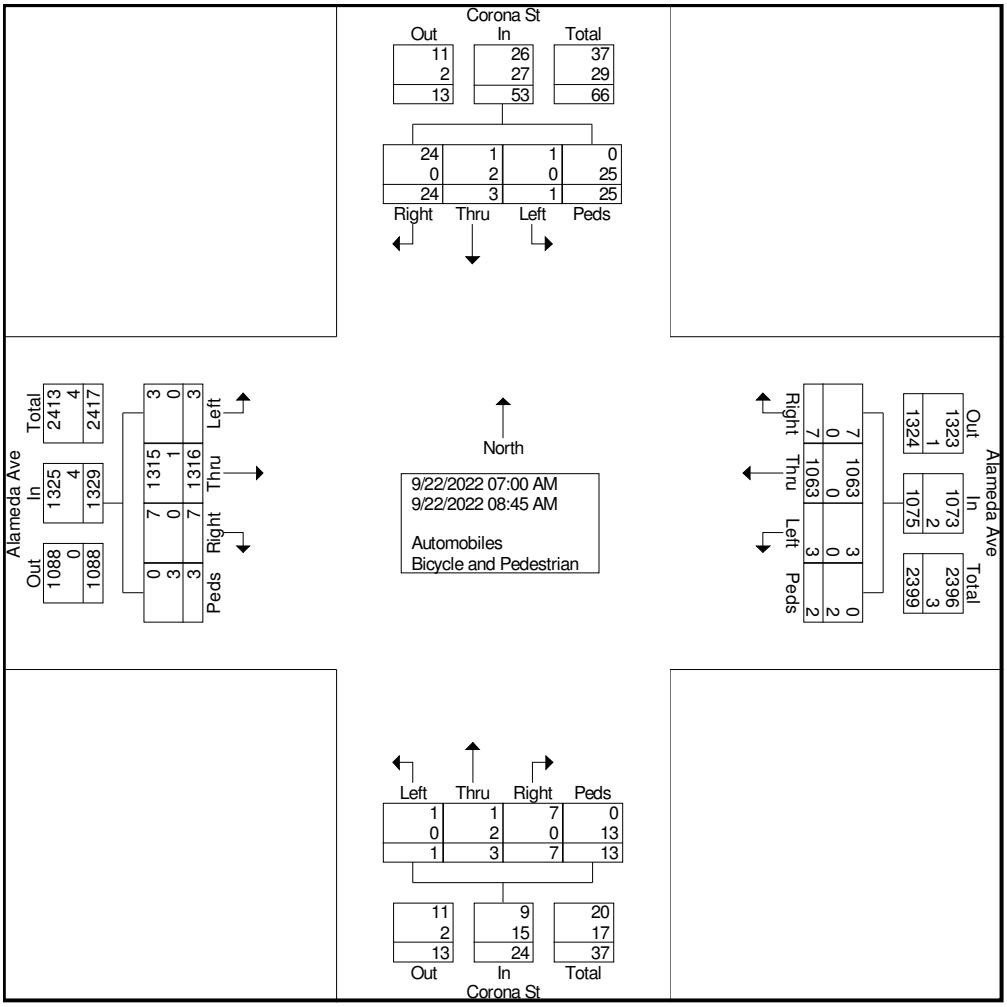

Ridgeview Data Collection

Denver, CO
Alameda Lane Reduction
AM Peak
Alameda Ave and Corona St

File Name : Alameda and Corona AM
Site Code : KHA 623
Start Date : 9/22/2022
Page No : 3

	Alameda Ave Eastbound					Alameda Ave Westbound					Corona St Northbound					Corona St Southbound					
Start Time	Left	Thru	Right	Peds	App. Total	Left	Thru	Right	Peds	App. Total	Left	Thru	Right	Peds	App. Total	Left	Thru	Right	Peds	App. Total	Int. Total
Peak Hour Analysis From 07:00 AM to 08:45 AM - Peak 1 of 1																					
Peak Hour for Entire Intersection Begins at 07:30 AM																					
07:30 AM	0	162	0	**2**	164	**1**	144	0	0	145	**1**	0	0	1	2	0	0	4	4	8	319
07:45 AM	0	**214**	1	0	**215**	1	**179**	0	0	**180**	0	0	**2**	**3**	**5**	0	0	3	4	7	**407**
08:00 AM	0	179	**3**	1	183	0	178	**1**	0	179	0	0	0	2	2	0	0	**7**	**5**	**12**	376
08:15 AM	**1**	182	1	0	184	0	145	0	0	145	0	0	1	1	2	0	0	2	3	5	336
Total Volume	1	737	5	3	746	2	646	1	0	649	1	0	3	7	11	0	0	16	16	32	1438
% App. Total	0.1	98.8	0.7	0.4		0.3	99.5	0.2	0		9.1	0	27.3	63.6		0	0	50	50		
PHF	.250	.861	.417	.375	.867	.500	.902	.250	.000	.901	.250	.000	.375	.583	.550	.000	.000	.571	.800	.667	.883

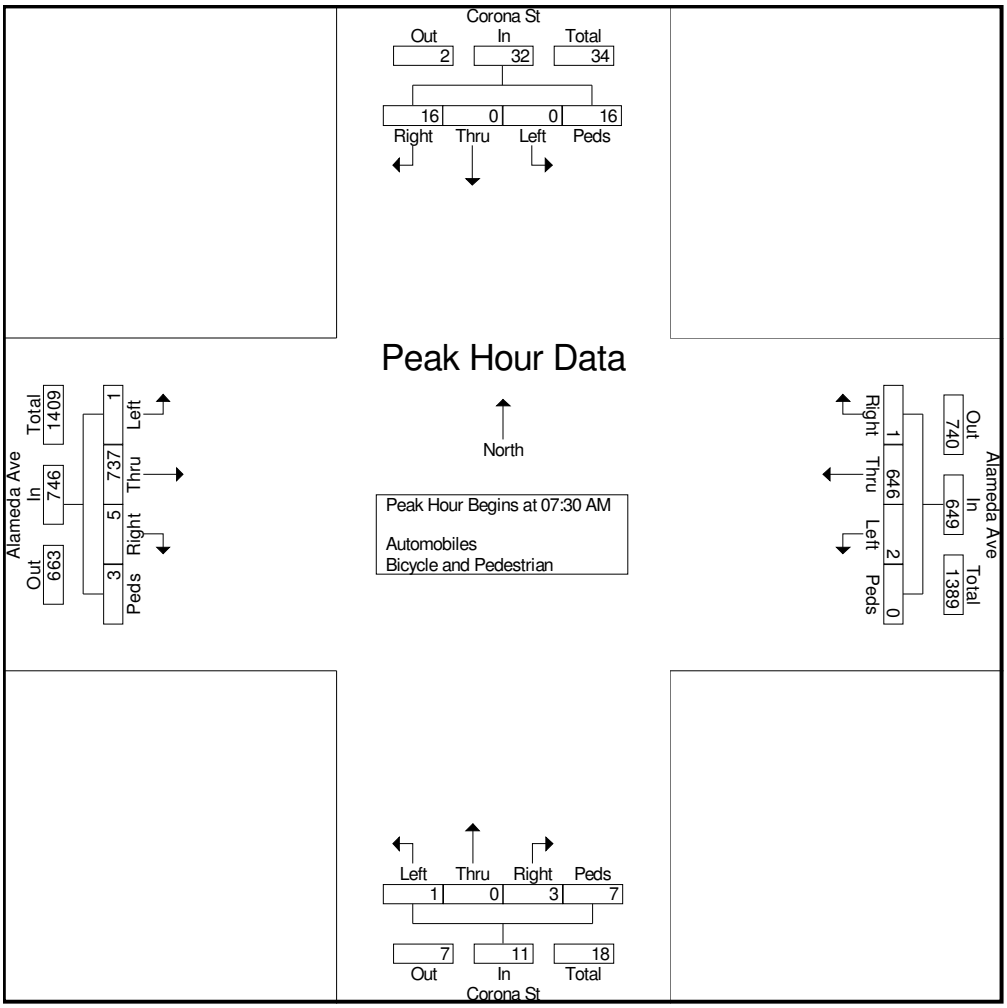

Ridgeview Data Collection

Denver, CO
Alameda Lane Reduction
PM Peak
Alameda Ave and Corona St

File Name : Alameda and Corona PM
Site Code : KHA 623
Start Date : 9/22/2022
Page No : 1

Groups Printed- Automobiles - Bicycle and Pedestrian

	Alameda Ave Eastbound					Alameda Ave Westbound					Corona St Northbound					Corona St Southbound					
Start Time	Left	Thru	Right	Peds	App. Total	Left	Thru	Right	Peds	App. Total	Left	Thru	Right	Peds	App. Total	Left	Thru	Right	Peds	App. Total	Int. Total
04:00 PM	2	229	4	0	235	0	201	1	1	203	0	2	2	0	4	0	0	5	1	6	448
04:15 PM	1	183	0	2	186	1	215	2	0	218	1	0	5	0	6	1	0	4	3	8	418
04:30 PM	0	193	1	2	196	0	216	2	0	218	1	1	5	0	7	0	1	5	3	9	430
04:45 PM	1	209	2	1	213	0	221	3	0	224	1	0	3	0	4	0	0	4	2	6	447
Total	4	814	7	5	830	1	853	8	1	863	3	3	15	0	21	1	1	18	9	29	1743
05:00 PM	1	241	2	1	245	0	177	5	2	184	0	2	4	4	10	0	1	3	8	12	451
05:15 PM	1	217	1	1	220	4	238	2	1	245	1	1	1	2	5	0	1	3	3	7	477
05:30 PM	1	189	0	2	192	0	188	3	0	191	0	1	1	1	3	0	0	6	0	6	392
05:45 PM	1	224	1	0	226	0	234	6	1	241	0	0	2	0	2	0	0	4	1	5	474
Total	4	871	4	4	883	4	837	16	4	861	1	4	8	7	20	0	2	16	12	30	1794
Grand Total	8	1685	11	9	1713	5	1690	24	5	1724	4	7	23	7	41	1	3	34	21	59	3537
Apprch %	0.5	98.4	0.6	0.5		0.3	98	1.4	0.3		9.8	17.1	56.1	17.1		1.7	5.1	57.6	35.6		
Total %	0.2	47.6	0.3	0.3	48.4	0.1	47.8	0.7	0.1	48.7	0.1	0.2	0.7	0.2	1.2	0	0.1	1	0.6	1.7	
Automobiles	8	1685	11	0	1704	5	1690	24	0	1719	4	6	23	0	33	1	3	34	0	38	3494
% Automobiles	100	100	100	0	99.5	100	100	100	0	99.7	100	85.7	100	0	80.5	100	100	100	0	64.4	98.8
Bicycle and Pedestrian	0	0	0	9	9	0	0	0	5	5	0	1	0	7	8	0	0	0	21	21	43
% Bicycle and Pedestrian	0	0	0	100	0.5	0	0	0	100	0.3	0	14.3	0	100	19.5	0	0	0	100	35.6	1.2

Ridgeview Data Collection

Denver, CO
Alameda Lane Reduction
PM Peak
Alameda Ave and Corona St

File Name : Alameda and Corona PM
Site Code : KHA 623
Start Date : 9/22/2022
Page No : 2

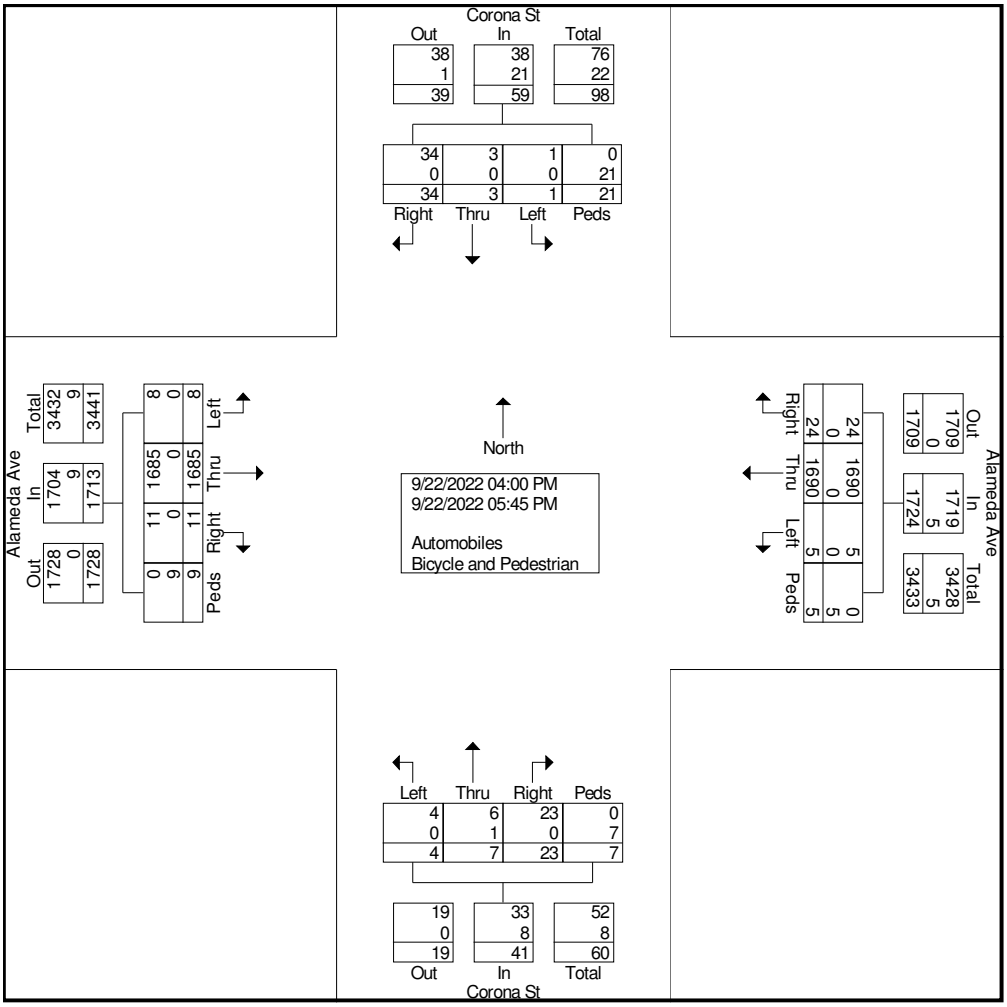

Ridgeview Data Collection

Denver, CO
Alameda Lane Reduction
PM Peak
Alameda Ave and Corona St

File Name : Alameda and Corona PM
Site Code : KHA 623
Start Date : 9/22/2022
Page No : 3

	Alameda Ave Eastbound					Alameda Ave Westbound					Corona St Northbound					Corona St Southbound					
Start Time	Left	Thru	Right	Peds	App. Total	Left	Thru	Right	Peds	App. Total	Left	Thru	Right	Peds	App. Total	Left	Thru	Right	Peds	App. Total	Int. Total
Peak Hour Analysis From 04:00 PM to 05:45 PM - Peak 1 of 1																					
Peak Hour for Entire Intersection Begins at 04:30 PM																					
04:30 PM	0	193	1	**2**	196	0	216	2	0	218	**1**	1	**5**	0	7	0	**1**	**5**	3	9	430
04:45 PM	**1**	209	**2**	1	213	0	221	3	0	224	1	0	3	0	4	0	0	4	2	6	447
05:00 PM	1	**241**	2	1	**245**	0	177	**5**	**2**	184	0	**2**	4	**4**	**10**	0	1	3	**8**	**12**	451
05:15 PM	1	217	1	1	220	**4**	**238**	2	1	**245**	1	1	1	2	5	0	1	3	3	7	**477**
Total Volume	3	860	6	5	874	4	852	12	3	871	3	4	13	6	26	0	3	15	16	34	1805
% App. Total	0.3	98.4	0.7	0.6		0.5	97.8	1.4	0.3		11.5	15.4	50	23.1		0	8.8	44.1	47.1		
PHF	.750	.892	.750	.625	.892	.250	.895	.600	.375	.889	.750	.500	.650	.375	.650	.000	.750	.750	.500	.708	.946

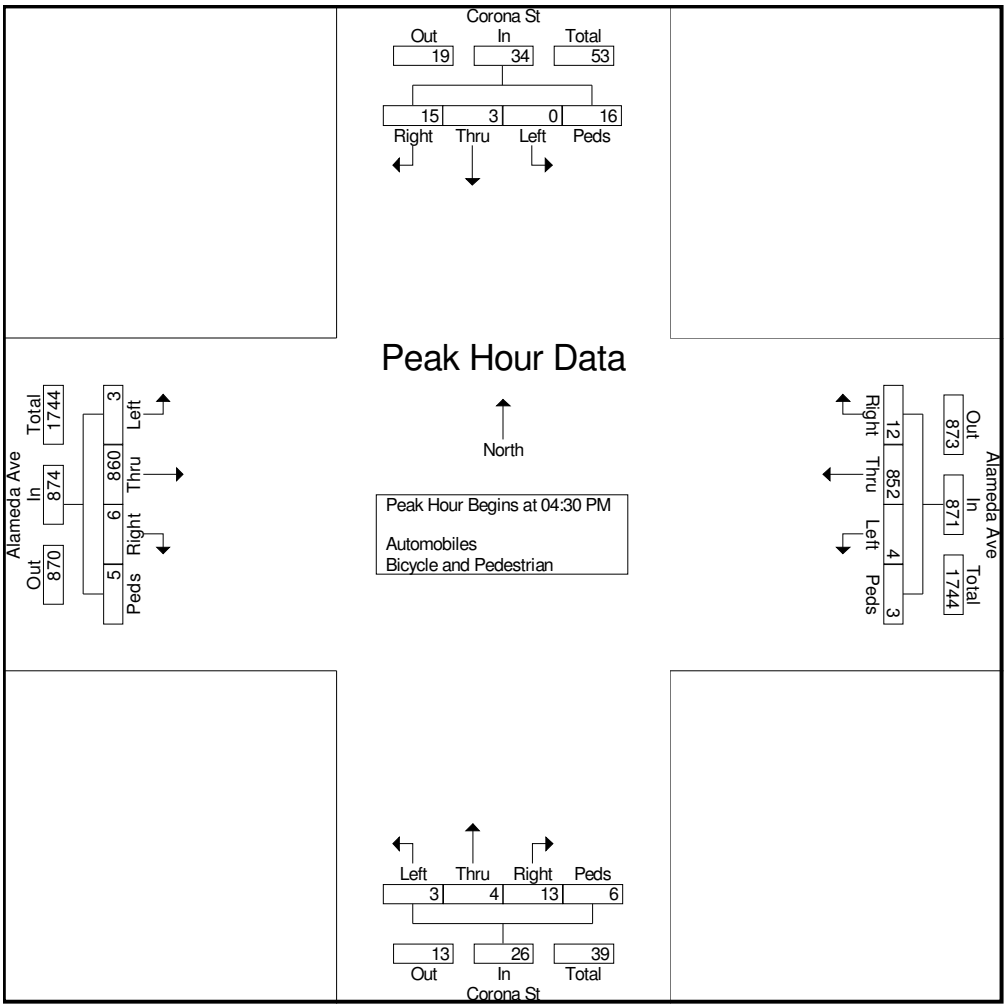

Ridgeview Data Collection

Denver, CO
Alameda Lane Reduction
AM Peak
Alameda Ave and Downing St

File Name : Alameda and Downing AM
Site Code : KHA 623
Start Date : 9/20/2022
Page No : 1

Groups Printed- Automobiles - Bicycle and Pedestrian

	Alameda Ave Eastbound					Alameda Ave Westbound					Downing St Northbound					Downing St Southbound					
Start Time	Left	Thru	Right	Peds	App. Total	Left	Thru	Right	Peds	App. Total	Left	Thru	Right	Peds	App. Total	Left	Thru	Right	Peds	App. Total	Int. Total
07:00 AM	0	82	10	0	92	1	80	7	2	90	5	93	6	2	106	11	102	8	4	125	413
07:15 AM	0	132	13	3	148	0	84	4	0	88	4	99	3	3	109	16	154	3	2	175	520
07:30 AM	0	154	11	5	170	0	134	11	1	146	6	125	11	3	145	14	139	10	5	168	629
07:45 AM	0	197	12	8	217	0	159	11	2	172	13	156	7	9	185	21	124	7	6	158	732
Total	0	565	46	16	627	1	457	33	5	496	28	473	27	17	545	62	519	28	17	626	2294
08:00 AM	0	181	15	6	202	0	128	11	5	144	19	155	12	8	194	18	163	13	8	202	742
08:15 AM	0	192	17	1	210	0	122	14	2	138	16	126	13	0	155	14	145	14	2	175	678
08:30 AM	0	186	15	1	202	0	99	16	3	118	12	139	12	2	165	14	116	12	2	144	629
08:45 AM	0	178	9	4	191	0	109	10	3	122	13	113	16	1	143	20	125	8	3	156	612
Total	0	737	56	12	805	0	458	51	13	522	60	533	53	11	657	66	549	47	15	677	2661
Grand Total	0	1302	102	28	1432	1	915	84	18	1018	88	1006	80	28	1202	128	1068	75	32	1303	4955
Apprch %	0	90.9	7.1	2		0.1	89.9	8.3	1.8		7.3	83.7	6.7	2.3		9.8	82	5.8	2.5		
Total %	0	26.3	2.1	0.6	28.9	0	18.5	1.7	0.4	20.5	1.8	20.3	1.6	0.6	24.3	2.6	21.6	1.5	0.6	26.3	
Automobiles	0	1302	102	0	1404	1	914	84	0	999	88	1004	80	0	1172	128	1067	75	0	1270	4845
% Automobiles	0	100	100	0	98	100	99.9	100	0	98.1	100	99.8	100	0	97.5	100	99.9	100	0	97.5	97.8
Bicycle and Pedestrian	0	0	0	28	28	0	1	0	18	19	0	2	0	28	30	0	1	0	32	33	110
% Bicycle and Pedestrian	0	0	0	100	2	0	0.1	0	100	1.9	0	0.2	0	100	2.5	0	0.1	0	100	2.5	2.2

Ridgeview Data Collection

Denver, CO
Alameda Lane Reduction
AM Peak
Alameda Ave and Downing St

File Name : Alameda and Downing AM
Site Code : KHA 623
Start Date : 9/20/2022
Page No : 2

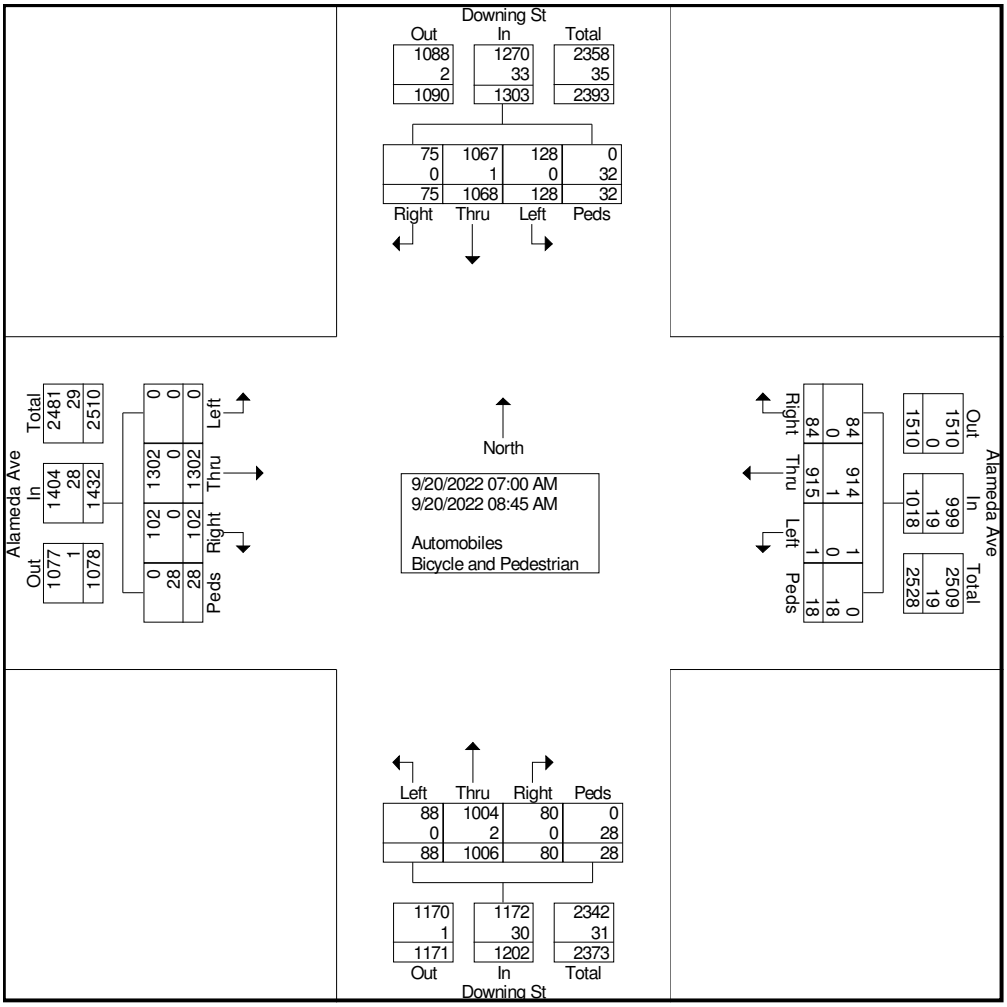

Ridgeview Data Collection

Denver, CO
Alameda Lane Reduction
AM Peak
Alameda Ave and Downing St

File Name : Alameda and Downing AM
Site Code : KHA 623
Start Date : 9/20/2022
Page No : 3

	Alameda Ave Eastbound					Alameda Ave Westbound					Downing St Northbound					Downing St Southbound					
Start Time	Left	Thru	Right	Peds	App. Total	Left	Thru	Right	Peds	App. Total	Left	Thru	Right	Peds	App. Total	Left	Thru	Right	Peds	App. Total	Int. Total
Peak Hour Analysis From 07:00 AM to 08:45 AM - Peak 1 of 1																					
Peak Hour for Entire Intersection Begins at 07:30 AM																					
07:30 AM	0	154	11	5	170	0	134	11	1	146	6	125	11	3	145	14	139	10	5	168	629
07:45 AM	0	**197**	12	**8**	**217**	0	**159**	11	2	**172**	13	**156**	7	**9**	185	**21**	124	7	6	158	732
08:00 AM	0	181	15	6	202	0	128	11	**5**	144	**19**	155	12	8	**194**	18	**163**	13	**8**	**202**	**742**
08:15 AM	0	192	**17**	1	210	0	122	**14**	2	138	16	126	**13**	0	155	14	145	**14**	2	175	678
Total Volume	0	724	55	20	799	0	543	47	10	600	54	562	43	20	679	67	571	44	21	703	2781
% App. Total	0	90.6	6.9	2.5		0	90.5	7.8	1.7		8	82.8	6.3	2.9		9.5	81.2	6.3	3		
PHF	.000	.919	.809	.625	.921	.000	.854	.839	.500	.872	.711	.901	.827	.556	.875	.798	.876	.786	.656	.870	.937

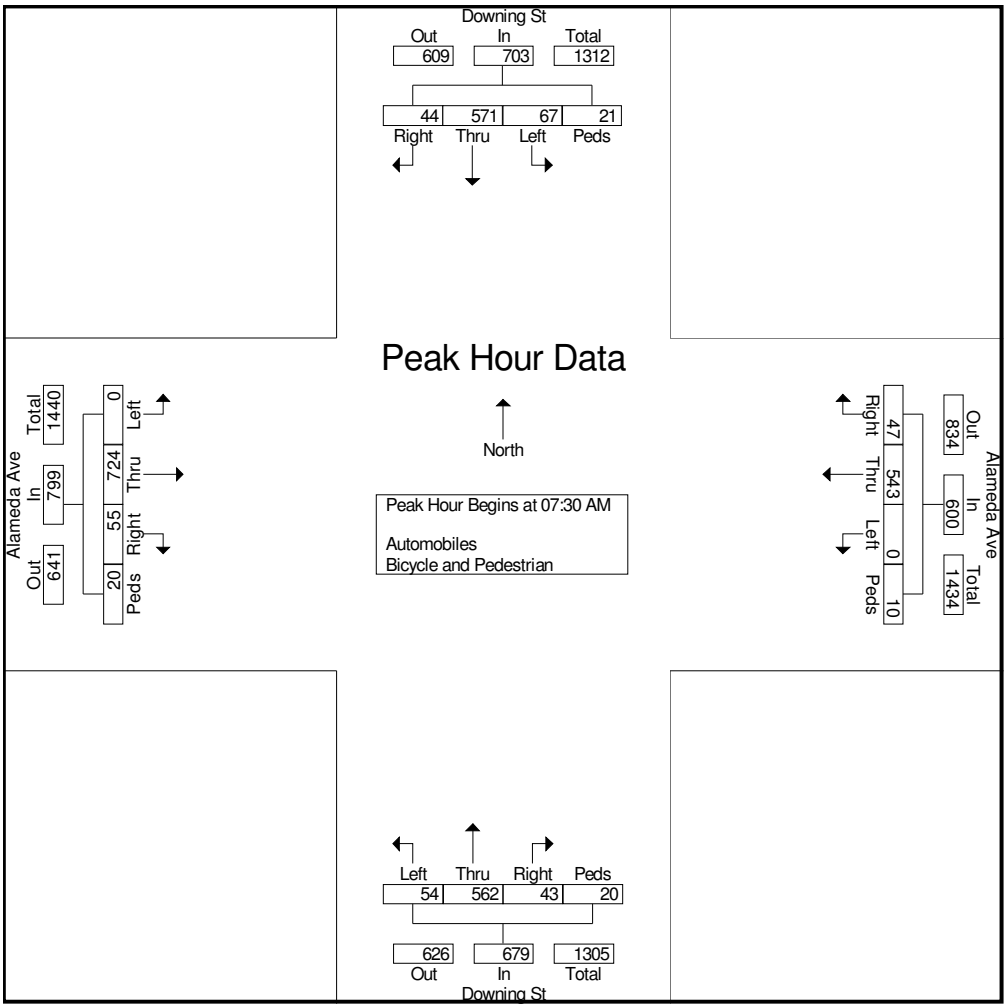

Ridgeview Data Collection

Denver, CO
Alameda Lane Reduction
PM Peak
Alameda Ave and Downing St

File Name : Alameda and Downing PM
Site Code : KHA 623
Start Date : 9/20/2022
Page No : 1

Groups Printed- Automobiles - Bicycle and Pedestrian

	Alameda Ave Eastbound					Alameda Ave Westbound					Downing St Northbound					Downing St Southbound					
Start Time	Left	Thru	Right	Peds	App. Total	Left	Thru	Right	Peds	App. Total	Left	Thru	Right	Peds	App. Total	Left	Thru	Right	Peds	App. Total	Int. Total
04:00 PM	0	214	19	0	233	0	169	11	1	181	14	162	5	2	183	16	160	11	5	192	789
04:15 PM	1	197	12	1	211	0	197	9	3	209	12	159	8	2	181	15	150	9	4	178	779
04:30 PM	0	209	22	2	233	0	181	14	1	196	15	135	8	2	160	17	140	8	0	165	754
04:45 PM	0	217	16	4	237	0	174	9	1	184	8	134	7	3	152	21	176	8	5	210	783
Total	1	837	69	7	914	0	721	43	6	770	49	590	28	9	676	69	626	36	14	745	3105
05:00 PM	0	179	15	2	196	0	186	20	0	206	14	147	6	1	168	23	172	12	0	207	777
05:15 PM	0	213	22	2	237	0	180	18	2	200	14	140	11	1	166	16	144	10	3	173	776
05:30 PM	2	223	21	5	251	0	187	19	1	207	16	155	15	5	191	22	149	4	2	177	826
05:45 PM	0	215	21	8	244	0	176	13	3	192	6	143	6	5	160	23	159	7	5	194	790
Total	2	830	79	17	928	0	729	70	6	805	50	585	38	12	685	84	624	33	10	751	3169
Grand Total	3	1667	148	24	1842	0	1450	113	12	1575	99	1175	66	21	1361	153	1250	69	24	1496	6274
Apprch %	0.2	90.5	8	1.3		0	92.1	7.2	0.8		7.3	86.3	4.8	1.5		10.2	83.6	4.6	1.6		
Total %	0	26.6	2.4	0.4	29.4	0	23.1	1.8	0.2	25.1	1.6	18.7	1.1	0.3	21.7	2.4	19.9	1.1	0.4	23.8	
Automobiles	3	1667	148	0	1818	0	1450	113	0	1563	99	1174	66	0	1339	153	1249	69	0	1471	6191
% Automobiles	100	100	100	0	98.7	0	100	100	0	99.2	100	99.9	100	0	98.4	100	99.9	100	0	98.3	98.7
Bicycle and Pedestrian	0	0	0	24	24	0	0	0	12	12	0	1	0	21	22	0	1	0	24	25	83
% Bicycle and Pedestrian	0	0	0	100	1.3	0	0	0	100	0.8	0	0.1	0	100	1.6	0	0.1	0	100	1.7	1.3

Ridgeview Data Collection

Denver, CO
Alameda Lane Reduction
PM Peak
Alameda Ave and Downing St

File Name : Alameda and Downing PM
Site Code : KHA 623
Start Date : 9/20/2022
Page No : 2

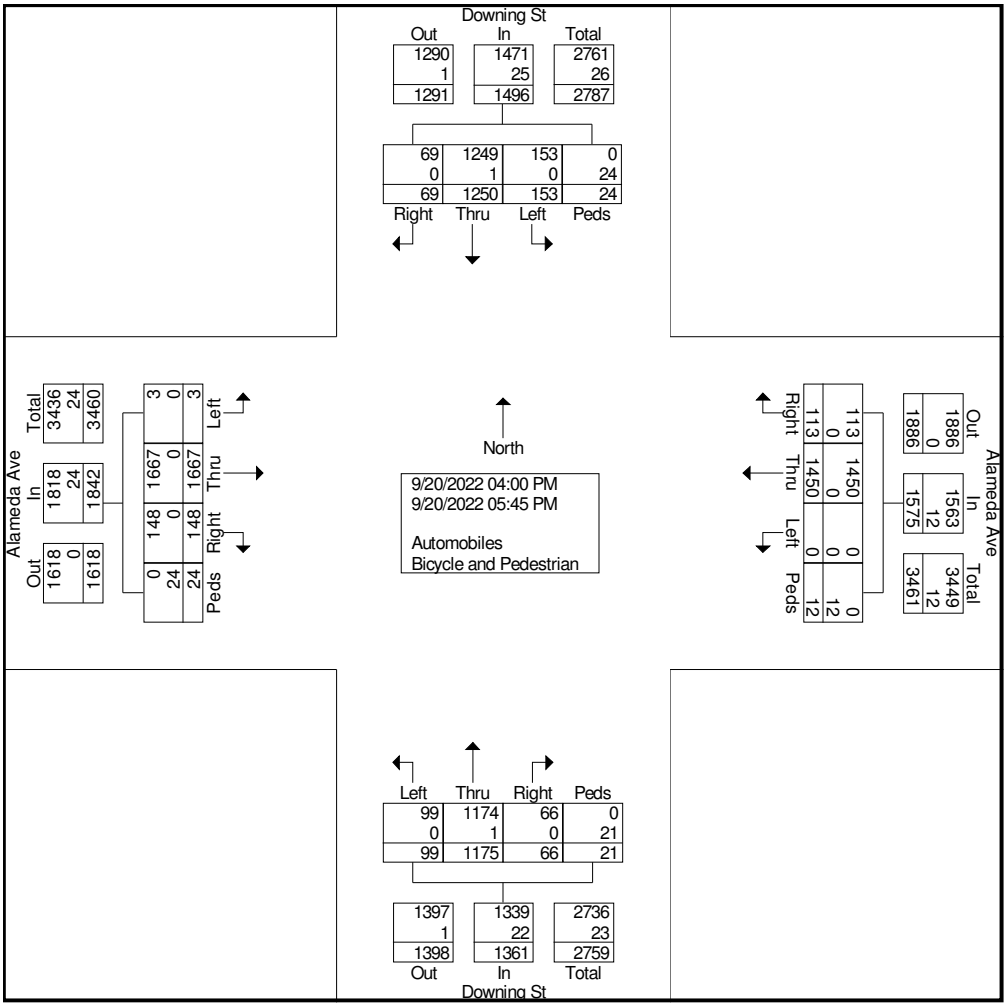

Ridgeview Data Collection

Denver, CO
Alameda Lane Reduction
PM Peak
Alameda Ave and Downing St

File Name : Alameda and Downing PM
Site Code : KHA 623
Start Date : 9/20/2022
Page No : 3

	Alameda Ave Eastbound					Alameda Ave Westbound					Downing St Northbound					Downing St Southbound					
Start Time	Left	Thru	Right	Peds	App. Total	Left	Thru	Right	Peds	App. Total	Left	Thru	Right	Peds	App. Total	Left	Thru	Right	Peds	App. Total	Int. Total
Peak Hour Analysis From 04:00 PM to 05:45 PM - Peak 1 of 1																					
Peak Hour for Entire Intersection Begins at 05:00 PM																					
05:00 PM	0	179	15	2	196	0	186	**20**	0	206	14	147	6	1	168	**23**	**172**	**12**	0	**207**	777
05:15 PM	0	213	**22**	2	237	0	180	18	2	200	14	140	11	1	166	16	144	10	3	173	776
05:30 PM	**2**	**223**	21	5	**251**	0	**187**	19	1	**207**	**16**	**155**	**15**	**5**	**191**	22	149	4	2	177	**826**
05:45 PM	0	215	21	**8**	244	0	176	13	**3**	192	6	143	6	5	160	23	159	7	**5**	194	790
Total Volume	2	830	79	17	928	0	729	70	6	805	50	585	38	12	685	84	624	33	10	751	3169
% App. Total	0.2	89.4	8.5	1.8		0	90.6	8.7	0.7		7.3	85.4	5.5	1.8		11.2	83.1	4.4	1.3		
PHF	.250	.930	.898	.531	.924	.000	.975	.875	.500	.972	.781	.944	.633	.600	.897	.913	.907	.688	.500	.907	.959

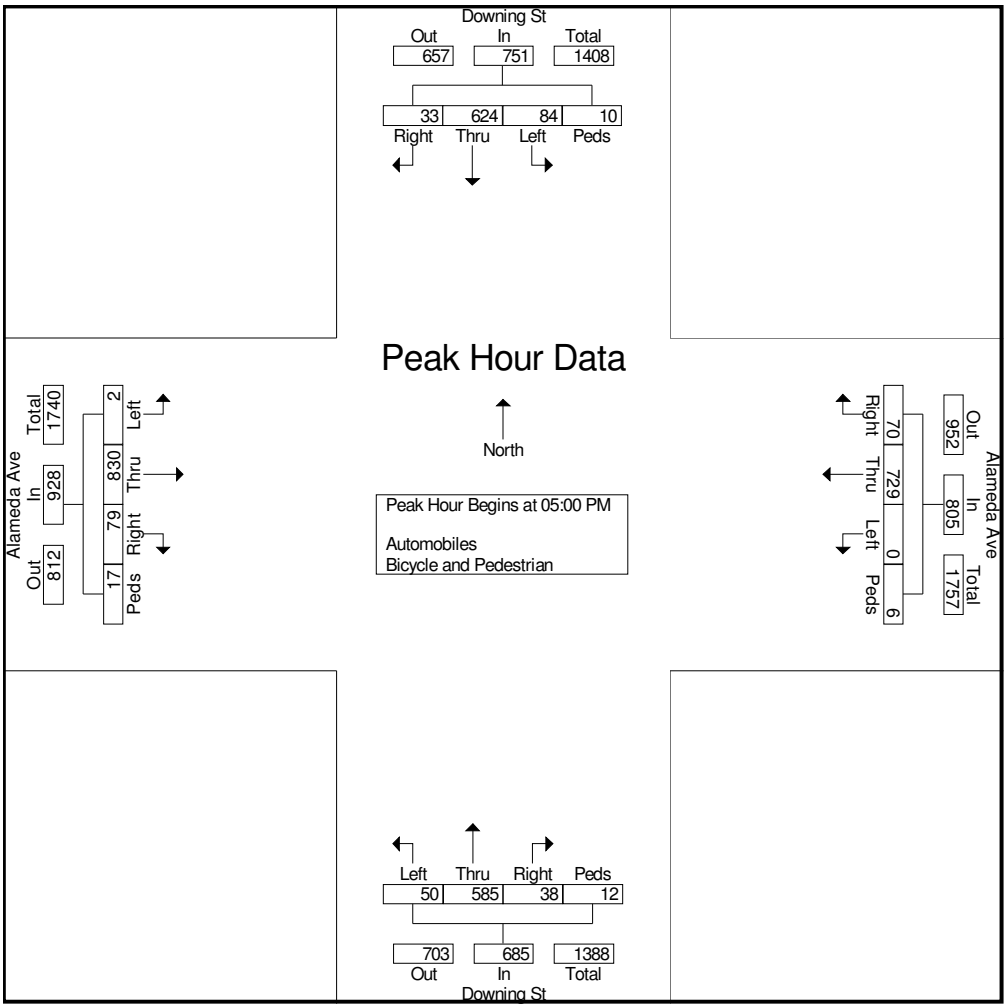

Ridgeview Data Collection

Denver, CO
Alameda Lane Reduction
AM Peak
Alameda Ave and Marion Pkwy

File Name : Alameda and Marion AM
Site Code : KHA 623
Start Date : 9/20/2022
Page No : 1

Groups Printed- Automobiles - Bicycle and Pedestrian

	Alameda Ave Eastbound					Alameda Ave Westbound					Marion Pkwy Northbound					Marion Pkwy Southbound					
Start Time	Left	Thru	Right	Peds	App. Total	Left	Thru	Right	Peds	App. Total	Left	Thru	Right	Peds	App. Total	Left	Thru	Right	Peds	App. Total	Int. Total
07:00 AM	0	102	1	21	124	0	85	2	8	95	0	16	1	4	21	0	8	2	5	15	255
07:15 AM	0	145	3	34	182	0	95	3	5	103	0	12	3	2	17	1	12	0	2	15	317
07:30 AM	0	179	1	22	202	0	144	0	3	147	1	18	3	8	30	1	17	6	5	29	408
07:45 AM	1	215	15	33	264	0	155	8	14	177	1	52	13	4	70	1	49	5	10	65	576
Total	1	641	20	110	772	0	479	13	30	522	2	98	20	18	138	3	86	13	22	124	1556
08:00 AM	0	203	10	36	249	0	130	3	39	172	5	58	34	35	132	0	32	13	6	51	604
08:15 AM	0	216	6	27	249	0	135	3	7	145	0	21	5	3	29	0	18	3	5	26	449
08:30 AM	0	209	3	24	236	0	114	1	1	116	0	25	1	1	27	0	10	1	3	14	393
08:45 AM	0	215	4	14	233	0	114	6	6	126	0	18	2	3	23	0	13	1	3	17	399
Total	0	843	23	101	967	0	493	13	53	559	5	122	42	42	211	0	73	18	17	108	1845
Grand Total	1	1484	43	211	1739	0	972	26	83	1081	7	220	62	60	349	3	159	31	39	232	3401
Apprch %	0.1	85.3	2.5	12.1		0	89.9	2.4	7.7		2	63	17.8	17.2		1.3	68.5	13.4	16.8		
Total %	0	43.6	1.3	6.2	51.1	0	28.6	0.8	2.4	31.8	0.2	6.5	1.8	1.8	10.3	0.1	4.7	0.9	1.1	6.8	
Automobiles	1	1484	43	0	1528	0	972	26	0	998	6	106	62	0	174	1	58	31	0	90	2790
% Automobiles	100	100	100	0	87.9	0	100	100	0	92.3	85.7	48.2	100	0	49.9	33.3	36.5	100	0	38.8	82
Bicycle and Pedestrian	0	0	0	211	211	0	0	0	83	83	1	114	0	60	175	2	101	0	39	142	611
% Bicycle and Pedestrian	0	0	0	100	12.1	0	0	0	100	7.7	14.3	51.8	0	100	50.1	66.7	63.5	0	100	61.2	18

Ridgeview Data Collection

Denver, CO
Alameda Lane Reduction
AM Peak
Alameda Ave and Marion Pkwy

File Name : Alameda and Marion AM
Site Code : KHA 623
Start Date : 9/20/2022
Page No : 2

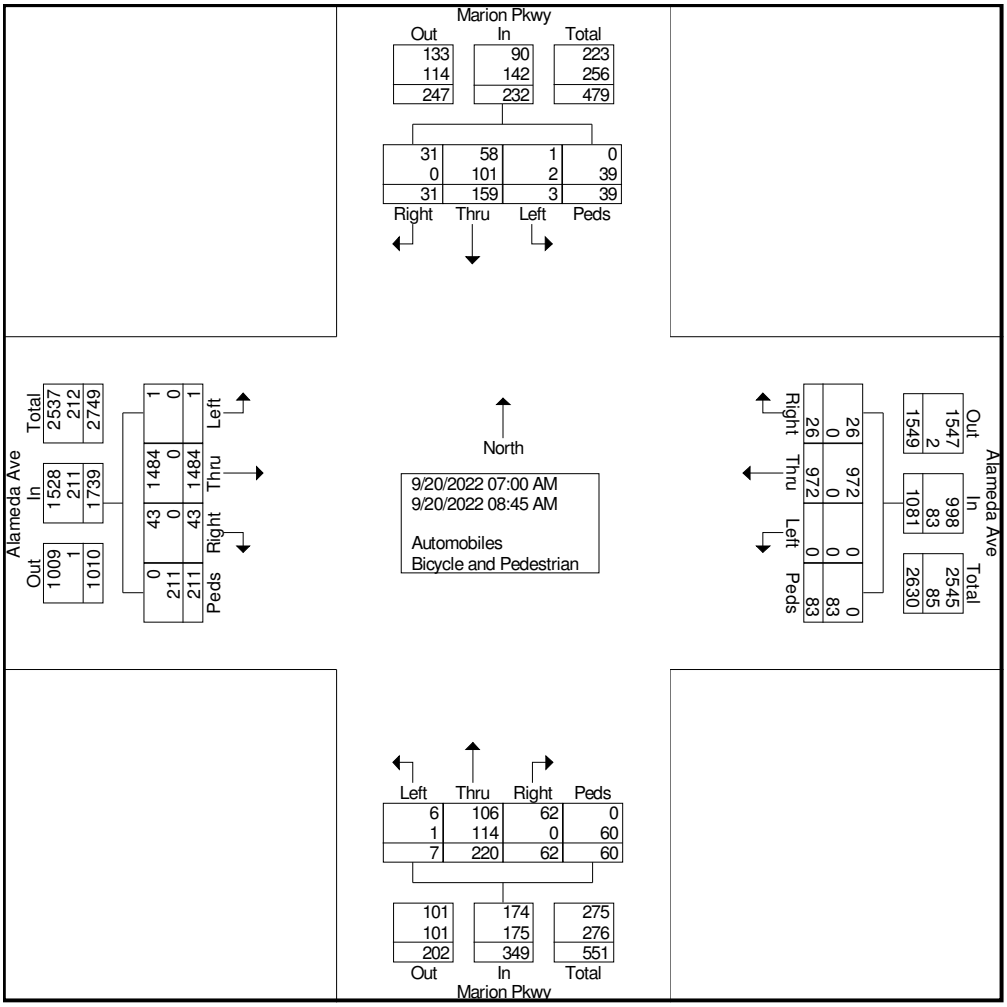

Ridgeview Data Collection

Denver, CO
Alameda Lane Reduction
AM Peak
Alameda Ave and Marion Pkwy

File Name : Alameda and Marion AM
Site Code : KHA 623
Start Date : 9/20/2022
Page No : 3

	Alameda Ave Eastbound					Alameda Ave Westbound					Marion Pkwy Northbound					Marion Pkwy Southbound					
Start Time	Left	Thru	Right	Peds	App. Total	Left	Thru	Right	Peds	App. Total	Left	Thru	Right	Peds	App. Total	Left	Thru	Right	Peds	App. Total	Int. Total
Peak Hour Analysis From 07:00 AM to 08:45 AM - Peak 1 of 1																					
Peak Hour for Entire Intersection Begins at 07:30 AM																					
07:30 AM	0	179	1	22	202	0	144	0	3	147	1	18	3	8	30	**1**	17	6	5	29	408
07:45 AM	**1**	215	**15**	33	**264**	0	**155**	**8**	14	**177**	1	52	13	4	70	1	**49**	5	**10**	**65**	576
08:00 AM	0	203	10	**36**	249	0	130	3	**39**	172	**5**	**58**	**34**	**35**	**132**	0	32	**13**	6	51	**604**
08:15 AM	0	**216**	6	27	249	0	135	3	7	145	0	21	5	3	29	0	18	3	5	26	449
Total Volume	1	813	32	118	964	0	564	14	63	641	7	149	55	50	261	2	116	27	26	171	2037
% App. Total	0.1	84.3	3.3	12.2		0	88	2.2	9.8		2.7	57.1	21.1	19.2		1.2	67.8	15.8	15.2		
PHF	.250	.941	.533	.819	.913	.000	.910	.438	.404	.905	.350	.642	.404	.357	.494	.500	.592	.519	.650	.658	.843

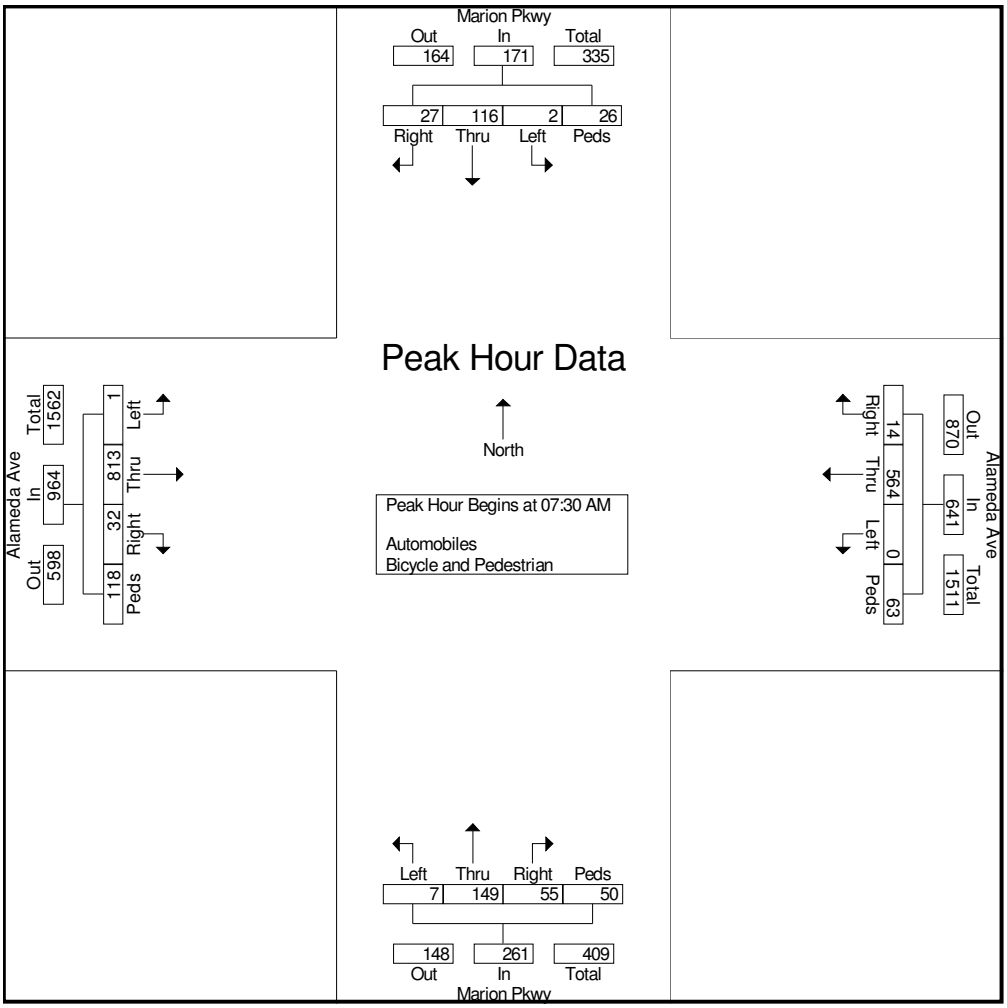

Ridgeview Data Collection

Denver, CO
Alameda Lane Reduction
PM Peak
Alameda Ave and Marion Pkwy

File Name : Alameda and Marion PM
Site Code : KHA 623
Start Date : 9/20/2022
Page No : 1

Groups Printed- Automobiles - Bicycle and Pedestrian

	Alameda Ave Eastbound					Alameda Ave Westbound					Marion Pkwy Northbound					Marion Pkwy Southbound					
Start Time	Left	Thru	Right	Peds	App. Total	Left	Thru	Right	Peds	App. Total	Left	Thru	Right	Peds	App. Total	Left	Thru	Right	Peds	App. Total	Int. Total
04:00 PM	0	237	6	16	259	0	187	2	7	196	0	32	3	3	38	0	41	5	0	46	539
04:15 PM	0	220	3	16	239	0	191	1	10	202	0	28	9	5	42	0	37	5	5	47	530
04:30 PM	1	231	0	17	249	0	189	0	11	200	2	24	5	3	34	0	26	1	1	28	511
04:45 PM	0	247	1	14	262	0	179	1	7	187	0	37	2	3	42	2	34	3	0	39	530
Total	1	935	10	63	1009	0	746	4	35	785	2	121	19	14	156	2	138	14	6	160	2110
05:00 PM	0	204	2	17	223	0	200	4	7	211	0	12	2	1	15	0	59	3	1	63	512
05:15 PM	0	238	5	19	262	0	196	4	3	203	1	28	0	6	35	0	33	5	0	38	538
05:30 PM	0	268	1	23	292	0	198	3	1	202	1	31	0	3	35	0	64	1	2	67	596
05:45 PM	0	238	5	24	267	0	183	0	10	193	1	20	1	4	26	1	48	4	1	54	540
Total	0	948	13	83	1044	0	777	11	21	809	3	91	3	14	111	1	204	13	4	222	2186
Grand Total	1	1883	23	146	2053	0	1523	15	56	1594	5	212	22	28	267	3	342	27	10	382	4296
Apprch %	0	91.7	1.1	7.1		0	95.5	0.9	3.5		1.9	79.4	8.2	10.5		0.8	89.5	7.1	2.6		
Total %	0	43.8	0.5	3.4	47.8	0	35.5	0.3	1.3	37.1	0.1	4.9	0.5	0.7	6.2	0.1	8	0.6	0.2	8.9	
Automobiles	1	1883	23	0	1907	0	1523	15	0	1538	5	93	22	0	120	2	181	27	0	210	3775
% Automobiles	100	100	100	0	92.9	0	100	100	0	96.5	100	43.9	100	0	44.9	66.7	52.9	100	0	55	87.9
Bicycle and Pedestrian	0	0	0	146	146	0	0	0	56	56	0	119	0	28	147	1	161	0	10	172	521
% Bicycle and Pedestrian	0	0	0	100	7.1	0	0	0	100	3.5	0	56.1	0	100	55.1	33.3	47.1	0	100	45	12.1

Ridgeview Data Collection

Denver, CO
Alameda Lane Reduction
PM Peak
Alameda Ave and Marion Pkwy

File Name : Alameda and Marion PM
Site Code : KHA 623
Start Date : 9/20/2022
Page No : 2

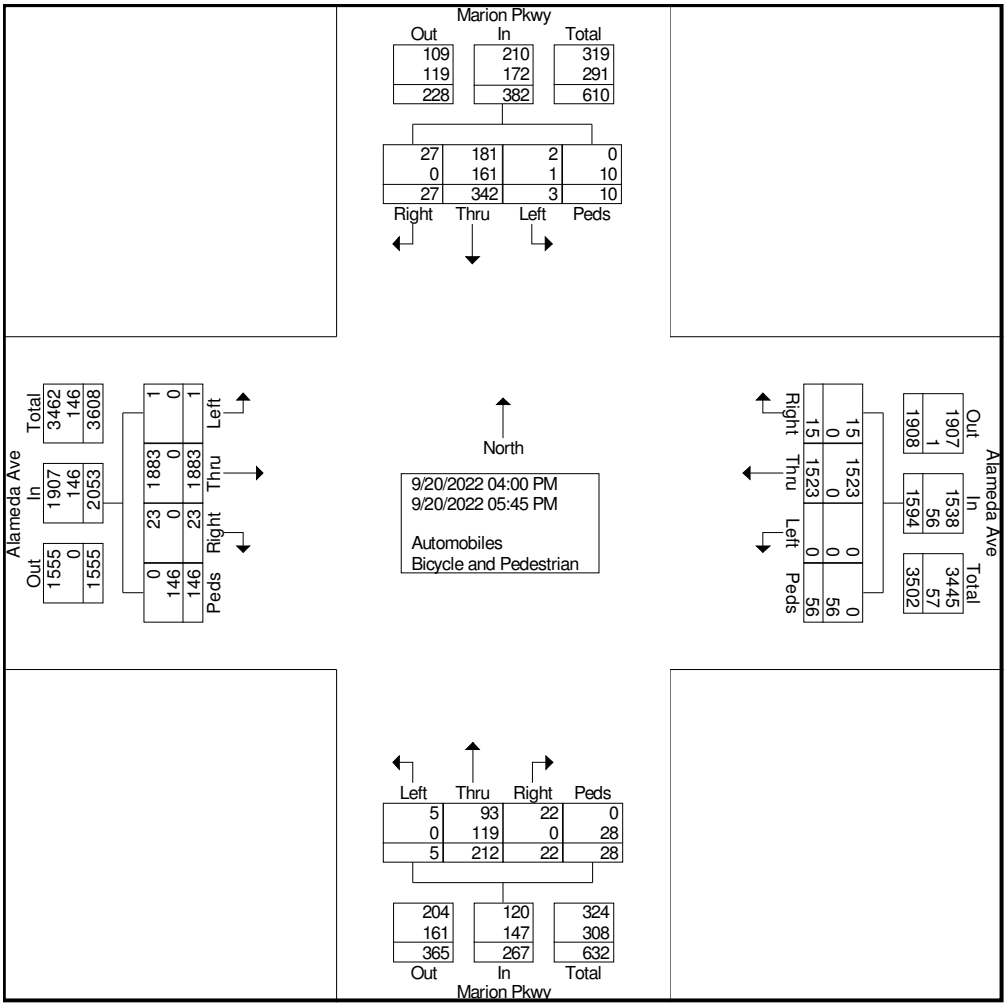

Ridgeview Data Collection

Denver, CO
Alameda Lane Reduction
PM Peak
Alameda Ave and Marion Pkwy

File Name : Alameda and Marion PM
Site Code : KHA 623
Start Date : 9/20/2022
Page No : 3

	Alameda Ave Eastbound					Alameda Ave Westbound					Marion Pkwy Northbound					Marion Pkwy Southbound					
Start Time	Left	Thru	Right	Peds	App. Total	Left	Thru	Right	Peds	App. Total	Left	Thru	Right	Peds	App. Total	Left	Thru	Right	Peds	App. Total	Int. Total
Peak Hour Analysis From 04:00 PM to 05:45 PM - Peak 1 of 1																					
Peak Hour for Entire Intersection Begins at 05:00 PM																					
05:00 PM	0	204	2	17	223	0	**200**	**4**	7	**211**	0	12	**2**	1	15	0	59	3	1	63	512
05:15 PM	0	238	**5**	19	262	0	196	4	3	203	**1**	28	0	**6**	**35**	0	33	**5**	0	38	538
05:30 PM	0	**268**	1	23	**292**	0	198	3	1	202	1	**31**	0	3	35	0	**64**	1	**2**	**67**	**596**
05:45 PM	0	238	5	**24**	267	0	183	0	**10**	193	1	20	1	4	26	**1**	48	4	1	54	540
Total Volume	0	948	13	83	1044	0	777	11	21	809	3	91	3	14	111	1	204	13	4	222	2186
% App. Total	0	90.8	1.2	8		0	96	1.4	2.6		2.7	82	2.7	12.6		0.5	91.9	5.9	1.8		
PHF	.000	.884	.650	.865	.894	.000	.971	.688	.525	.959	.750	.734	.375	.583	.793	.250	.797	.650	.500	.828	.917

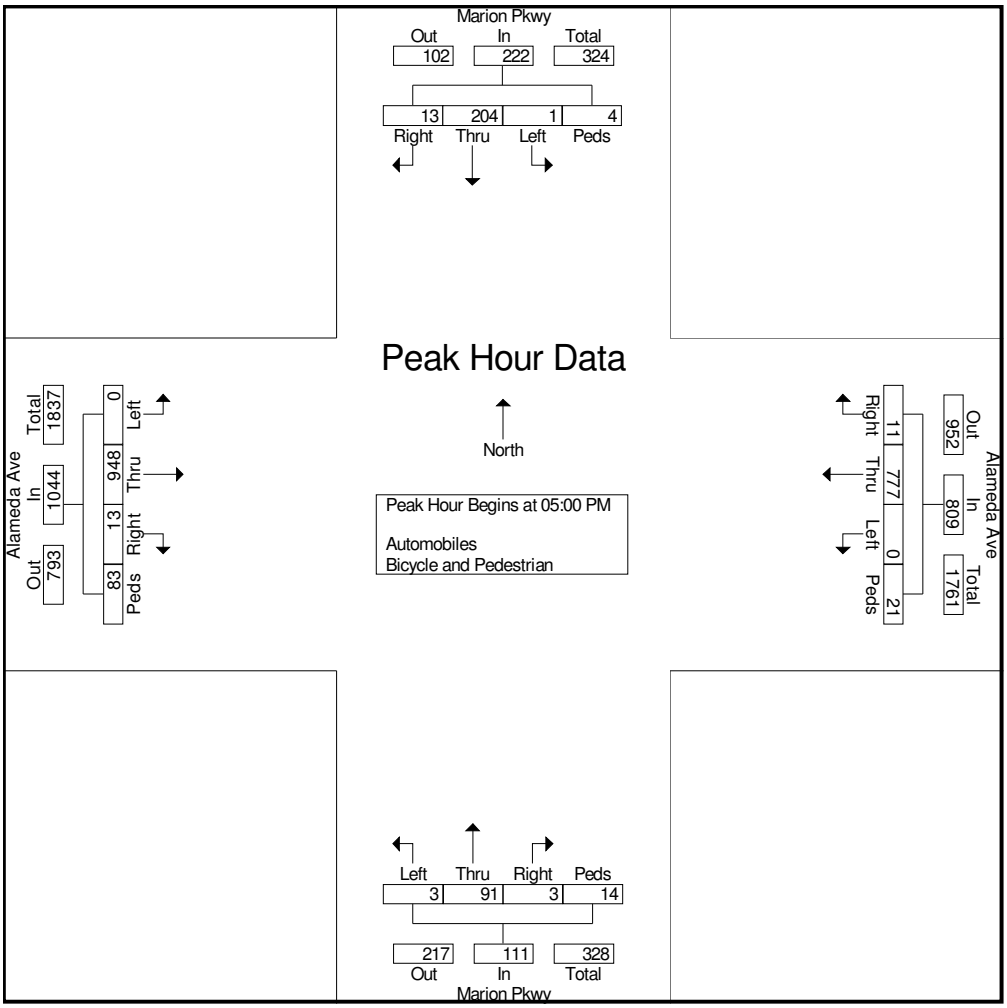

Ridgeview Data Collection

Denver, CO
Alameda Lane Reduction
AM Peak
Alameda Ave and Lafayette St

File Name : Alameda and Lafayette AM
Site Code : KHA 623
Start Date : 9/22/2022
Page No : 1

Groups Printed- Automobiles - Bicycle and Pedestrian

	Alameda Ave Eastbound					Alameda Ave Westbound					Lafayette St Northbound					Lafayette St Southbound					
Start Time	Left	Thru	Right	Peds	App. Total	Left	Thru	Right	Peds	App. Total	Left	Thru	Right	Peds	App. Total	Left	Thru	Right	Peds	App. Total	Int. Total
07:00 AM	2	91	3	1	97	3	78	0	0	81	2	0	1	1	4	0	0	1	1	2	184
07:15 AM	2	117	10	0	129	11	90	0	0	101	3	0	2	0	5	1	0	1	1	3	238
07:30 AM	1	164	9	0	174	5	126	1	0	132	2	0	3	2	7	3	0	1	3	7	320
07:45 AM	1	201	14	0	216	7	171	2	0	180	3	1	9	2	15	3	1	0	2	6	417
Total	6	573	36	1	616	26	465	3	0	494	10	1	15	5	31	7	1	3	7	18	1159
08:00 AM	2	226	11	0	239	11	143	1	1	156	7	1	18	5	31	0	0	0	2	2	428
08:15 AM	2	204	2	1	209	2	142	0	0	144	2	0	3	1	6	0	0	1	2	3	362
08:30 AM	0	166	4	0	170	5	106	1	0	112	1	3	3	4	11	0	1	2	0	3	296
08:45 AM	3	189	3	0	195	2	91	1	0	94	2	0	2	2	6	1	2	1	0	4	299
Total	7	785	20	1	813	20	482	3	1	506	12	4	26	12	54	1	3	4	4	12	1385
Grand Total	13	1358	56	2	1429	46	947	6	1	1000	22	5	41	17	85	8	4	7	11	30	2544
Apprch %	0.9	95	3.9	0.1		4.6	94.7	0.6	0.1		25.9	5.9	48.2	20		26.7	13.3	23.3	36.7		
Total %	0.5	53.4	2.2	0.1	56.2	1.8	37.2	0.2	0	39.3	0.9	0.2	1.6	0.7	3.3	0.3	0.2	0.3	0.4	1.2	
Automobiles	13	1358	54	0	1425	46	947	6	0	999	22	4	41	0	67	8	4	7	0	19	2510
% Automobiles	100	100	96.4	0	99.7	100	100	100	0	99.9	100	80	100	0	78.8	100	100	100	0	63.3	98.7
Bicycle and Pedestrian	0	0	2	2	4	0	0	0	1	1	0	1	0	17	18	0	0	0	11	11	34
% Bicycle and Pedestrian	0	0	3.6	100	0.3	0	0	0	100	0.1	0	20	0	100	21.2	0	0	0	100	36.7	1.3

Ridgeview Data Collection

Denver, CO
Alameda Lane Reduction
AM Peak
Alameda Ave and Lafayette St

File Name : Alameda and Lafayette AM
Site Code : KHA 623
Start Date : 9/22/2022
Page No : 2

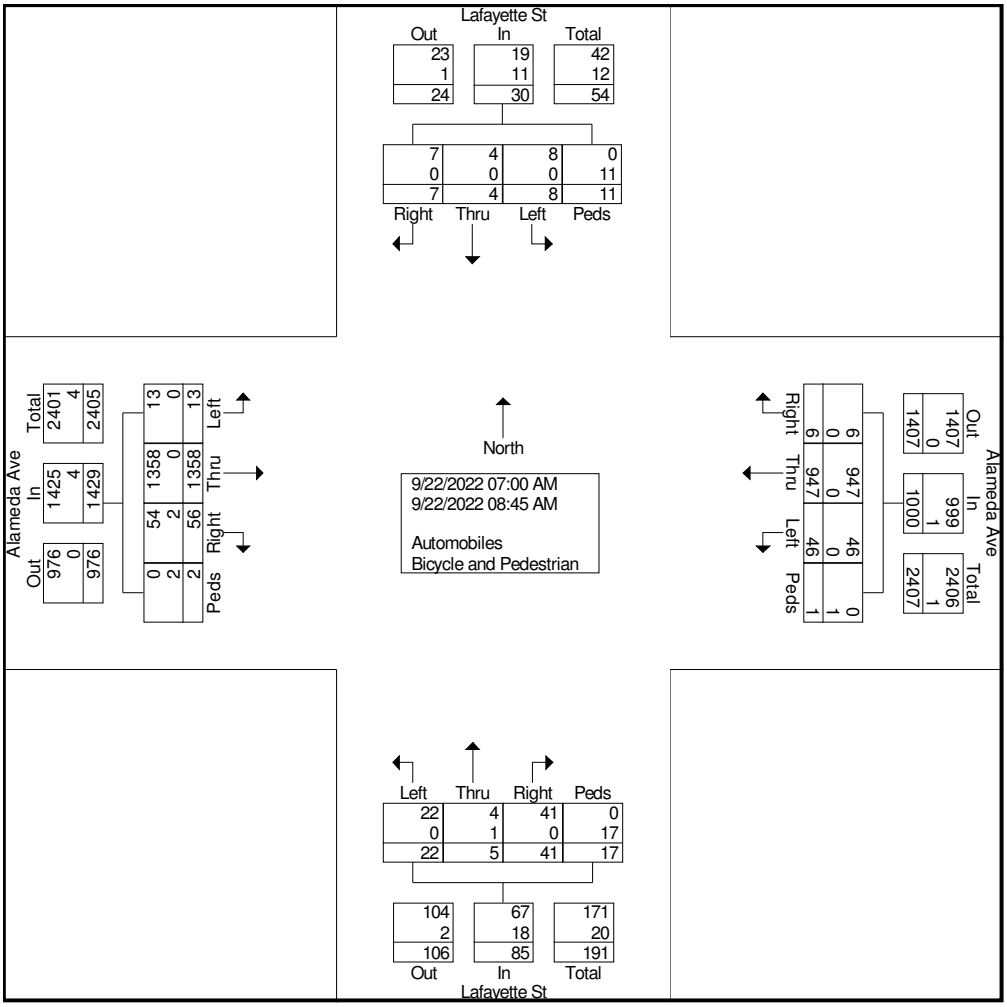

Ridgeview Data Collection

Denver, CO
Alameda Lane Reduction
AM Peak
Alameda Ave and Lafayette St

File Name : Alameda and Lafayette AM
Site Code : KHA 623
Start Date : 9/22/2022
Page No : 3

	Alameda Ave Eastbound					Alameda Ave Westbound					Lafayette St Northbound					Lafayette St Southbound					
Start Time	Left	Thru	Right	Peds	App. Total	Left	Thru	Right	Peds	App. Total	Left	Thru	Right	Peds	App. Total	Left	Thru	Right	Peds	App. Total	Int. Total
Peak Hour Analysis From 07:00 AM to 08:45 AM - Peak 1 of 1																					
Peak Hour for Entire Intersection Begins at 07:30 AM																					
07:30 AM	1	164	9	0	174	5	126	1	0	132	2	0	3	2	7	**3**	0	**1**	**3**	**7**	320
07:45 AM	1	201	**14**	0	216	7	**171**	**2**	0	**180**	3	**1**	9	2	15	3	**1**	0	2	6	417
08:00 AM	**2**	**226**	11	0	**239**	**11**	143	1	**1**	156	**7**	1	**18**	**5**	**31**	0	0	0	2	2	**428**
08:15 AM	2	204	2	**1**	209	2	142	0	0	144	2	0	3	1	6	0	0	1	2	3	362
Total Volume	6	795	36	1	838	25	582	4	1	612	14	2	33	10	59	6	1	2	9	18	1527
% App. Total	0.7	94.9	4.3	0.1		4.1	95.1	0.7	0.2		23.7	3.4	55.9	16.9		33.3	5.6	11.1	50		
PHF	.750	.879	.643	.250	.877	.568	.851	.500	.250	.850	.500	.500	.458	.500	.476	.500	.250	.500	.750	.643	.892

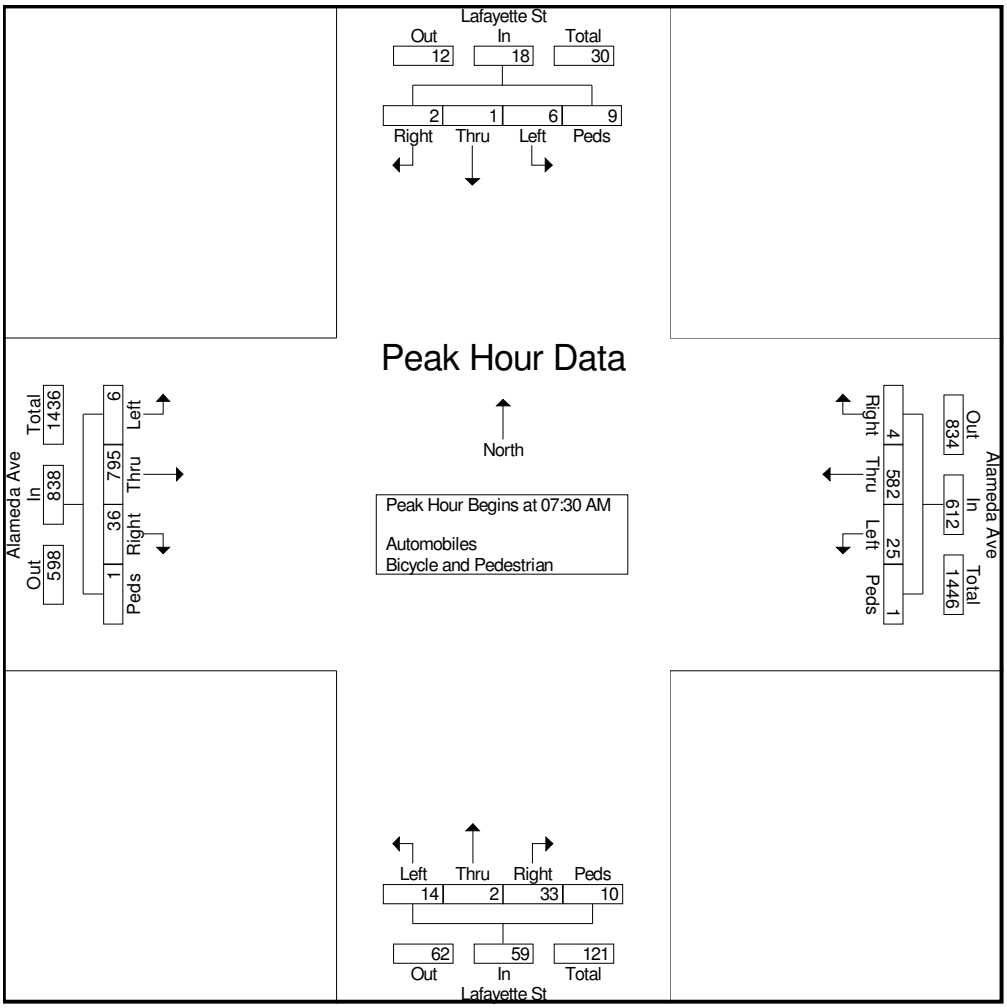

Ridgeview Data Collection

Denver, CO
Alameda Lane Reduction
PM Peak
Alameda Ave and Lafayette St

File Name : Alameda and Lafayette PM
Site Code : KHA 623
Start Date : 9/22/2022
Page No : 1

Groups Printed- Automobiles - Bicycle and Pedestrian

	Alameda Ave Eastbound					Alameda Ave Westbound					Lafayette St Northbound					Lafayette St Southbound					
Start Time	Left	Thru	Right	Peds	App. Total	Left	Thru	Right	Peds	App. Total	Left	Thru	Right	Peds	App. Total	Left	Thru	Right	Peds	App. Total	Int. Total
04:00 PM	3	228	7	0	238	5	207	1	0	213	1	0	2	2	5	0	0	1	4	5	461
04:15 PM	3	223	2	2	230	3	195	0	1	199	2	0	6	0	8	1	2	1	4	8	445
04:30 PM	3	185	3	0	191	7	211	1	0	219	3	0	3	0	6	1	0	3	2	6	422
04:45 PM	2	203	5	1	211	4	194	0	0	198	1	2	3	0	6	2	0	1	2	5	420
Total	11	839	17	3	870	19	807	2	1	829	7	2	14	2	25	4	2	6	12	24	1748
05:00 PM	4	232	4	0	240	2	186	1	0	189	6	0	4	2	12	1	0	0	0	1	442
05:15 PM	1	239	6	0	246	5	214	0	0	219	1	1	4	2	8	1	0	5	0	6	479
05:30 PM	5	194	4	1	204	5	180	0	0	185	1	0	0	0	1	0	1	0	3	4	394
05:45 PM	4	225	2	0	231	5	206	3	0	214	0	0	3	0	3	6	0	4	0	10	458
Total	14	890	16	1	921	17	786	4	0	807	8	1	11	4	24	8	1	9	3	21	1773
Grand Total	25	1729	33	4	1791	36	1593	6	1	1636	15	3	25	6	49	12	3	15	15	45	3521
Apprch %	1.4	96.5	1.8	0.2		2.2	97.4	0.4	0.1		30.6	6.1	51	12.2		26.7	6.7	33.3	33.3		
Total %	0.7	49.1	0.9	0.1	50.9	1	45.2	0.2	0	46.5	0.4	0.1	0.7	0.2	1.4	0.3	0.1	0.4	0.4	1.3	
Automobiles	24	1729	33	0	1786	36	1593	6	0	1635	15	3	25	0	43	12	2	15	0	29	3493
% Automobiles	96	100	100	0	99.7	100	100	100	0	99.9	100	100	100	0	87.8	100	66.7	100	0	64.4	99.2
Bicycle and Pedestrian	1	0	0	4	5	0	0	0	1	1	0	0	0	6	6	0	1	0	15	16	28
% Bicycle and Pedestrian	4	0	0	100	0.3	0	0	0	100	0.1	0	0	0	100	12.2	0	33.3	0	100	35.6	0.8

Ridgeview Data Collection

Denver, CO
Alameda Lane Reduction
PM Peak
Alameda Ave and Lafayette St

File Name : Alameda and Lafayette PM
Site Code : KHA 623
Start Date : 9/22/2022
Page No : 2

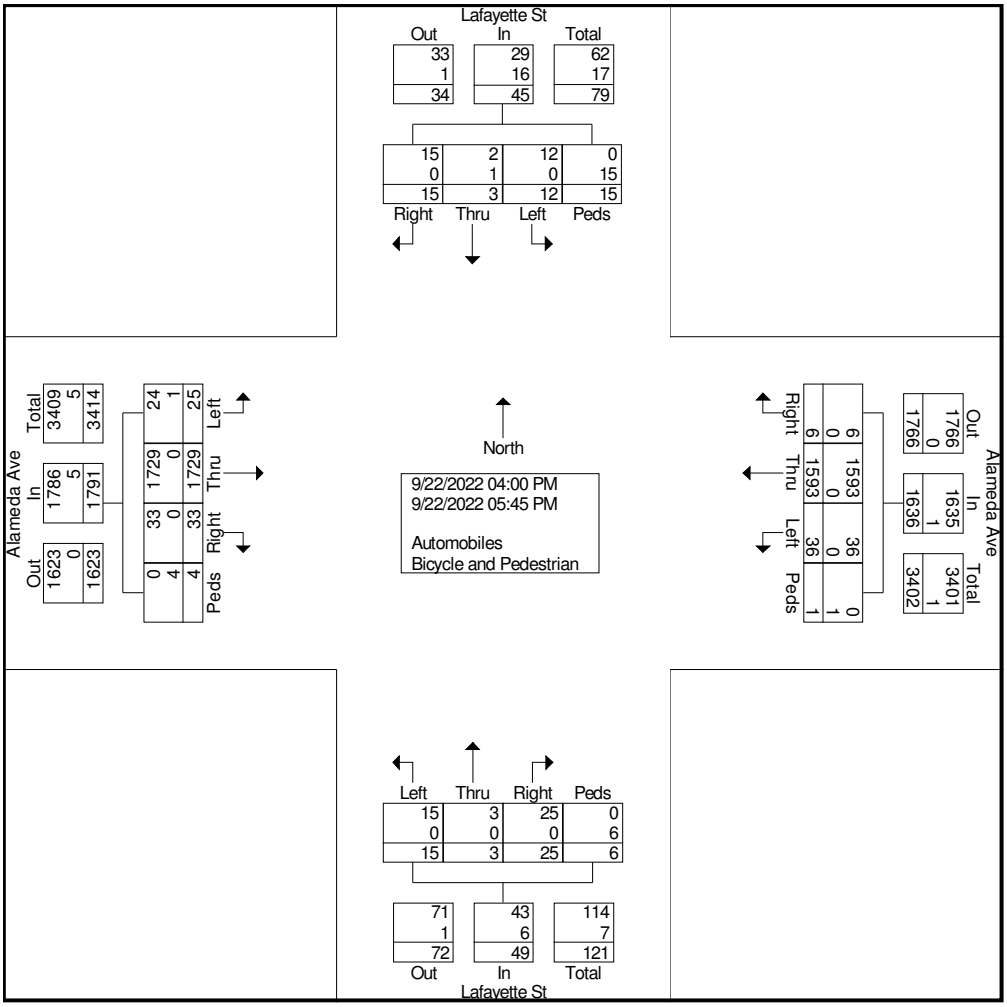

Ridgeview Data Collection

Denver, CO
Alameda Lane Reduction
PM Peak
Alameda Ave and Lafayette St

File Name : Alameda and Lafayette PM
Site Code : KHA 623
Start Date : 9/22/2022
Page No : 3

	Alameda Ave Eastbound					Alameda Ave Westbound					Lafayette St Northbound					Lafayette St Southbound					
Start Time	Left	Thru	Right	Peds	App. Total	Left	Thru	Right	Peds	App. Total	Left	Thru	Right	Peds	App. Total	Left	Thru	Right	Peds	App. Total	Int. Total
Peak Hour Analysis From 04:00 PM to 05:45 PM - Peak 1 of 1																					
Peak Hour for Entire Intersection Begins at 05:00 PM																					
05:00 PM	4	232	4	0	240	2	186	1	0	189	**6**	0	**4**	**2**	**12**	1	0	0	0	1	442
05:15 PM	1	**239**	**6**	0	**246**	**5**	**214**	0	0	**219**	1	**1**	4	2	8	1	0	**5**	0	6	**479**
05:30 PM	**5**	194	4	**1**	204	5	180	0	0	185	1	0	0	0	1	0	**1**	0	**3**	4	394
05:45 PM	4	225	2	0	231	5	206	**3**	0	214	0	0	3	0	3	**6**	0	4	0	**10**	458
Total Volume	14	890	16	1	921	17	786	4	0	807	8	1	11	4	24	8	1	9	3	21	1773
% App. Total	1.5	96.6	1.7	0.1		2.1	97.4	0.5	0		33.3	4.2	45.8	16.7		38.1	4.8	42.9	14.3		
PHF	.700	.931	.667	.250	.936	.850	.918	.333	.000	.921	.333	.250	.688	.500	.500	.333	.250	.450	.250	.525	.925

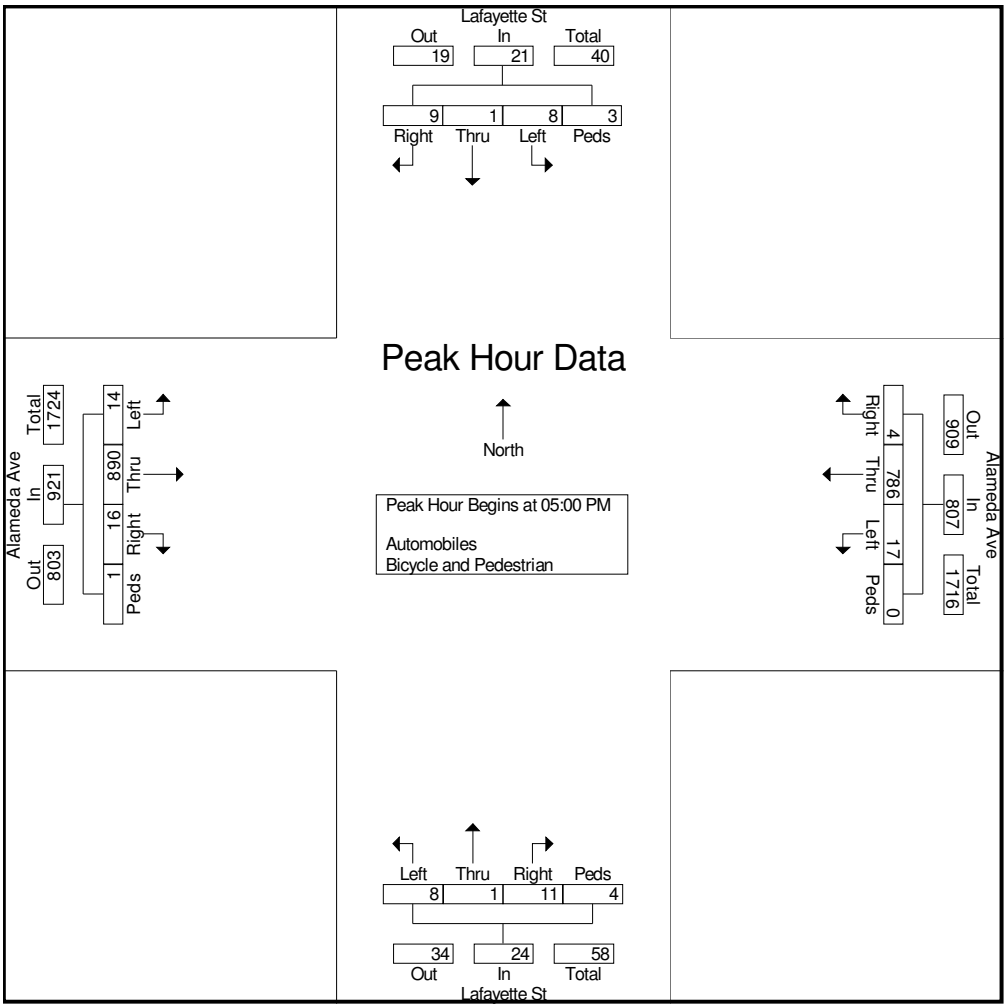

Ridgeview Data Collection

Denver, CO
Alameda Lane Reduction
AM Peak
Alameda Ave and Humboldt St

File Name : Alameda and Humboldt AM
Site Code : KHA 623
Start Date : 9/22/2022
Page No : 1

Groups Printed- Automobiles - Bicycle and Pedestrian

	Alameda Ave Eastbound					Alameda Ave Westbound					Humboldt St Northbound					Humboldt St Southbound					
Start Time	Left	Thru	Right	Peds	App. Total	Left	Thru	Right	Peds	App. Total	Left	Thru	Right	Peds	App. Total	Left	Thru	Right	Peds	App. Total	Int. Total
07:00 AM	1	90	1	1	93	0	83	1	0	84	1	0	1	1	3	1	0	0	1	2	182
07:15 AM	0	120	0	0	120	0	99	0	1	100	0	0	2	0	2	0	0	2	1	3	225
07:30 AM	2	165	1	0	168	3	127	1	0	131	0	0	1	0	1	1	0	1	1	3	303
07:45 AM	0	204	2	0	206	1	176	1	1	179	2	0	1	0	3	1	0	2	1	4	392
Total	3	579	4	1	587	4	485	3	2	494	3	0	5	1	9	3	0	5	4	12	1102
08:00 AM	2	240	6	0	248	3	146	1	1	151	4	2	5	5	16	1	0	6	1	8	423
08:15 AM	0	202	3	0	205	3	141	1	0	145	0	0	3	0	3	3	0	2	1	6	359
08:30 AM	2	164	1	0	167	2	109	2	0	113	2	0	0	2	4	1	0	0	0	1	285
08:45 AM	0	189	4	0	193	4	89	2	2	97	0	0	1	0	1	2	0	1	0	3	294
Total	4	795	14	0	813	12	485	6	3	506	6	2	9	7	24	7	0	9	2	18	1361
Grand Total	7	1374	18	1	1400	16	970	9	5	1000	9	2	14	8	33	10	0	14	6	30	2463
Apprch %	0.5	98.1	1.3	0.1		1.6	97	0.9	0.5		27.3	6.1	42.4	24.2		33.3	0	46.7	20		
Total %	0.3	55.8	0.7	0	56.8	0.6	39.4	0.4	0.2	40.6	0.4	0.1	0.6	0.3	1.3	0.4	0	0.6	0.2	1.2	
Automobiles	7	1374	18	0	1399	16	970	9	0	995	9	2	14	0	25	10	0	14	0	24	2443
% Automobiles	100	100	100	0	99.9	100	100	100	0	99.5	100	100	100	0	75.8	100	0	100	0	80	99.2
Bicycle and Pedestrian	0	0	0	1	1	0	0	0	5	5	0	0	0	8	8	0	0	0	6	6	20
% Bicycle and Pedestrian	0	0	0	100	0.1	0	0	0	100	0.5	0	0	0	100	24.2	0	0	0	100	20	0.8

Ridgeview Data Collection

Denver, CO
Alameda Lane Reduction
AM Peak
Alameda Ave and Humboldt St

File Name : Alameda and Humboldt AM
Site Code : KHA 623
Start Date : 9/22/2022
Page No : 2

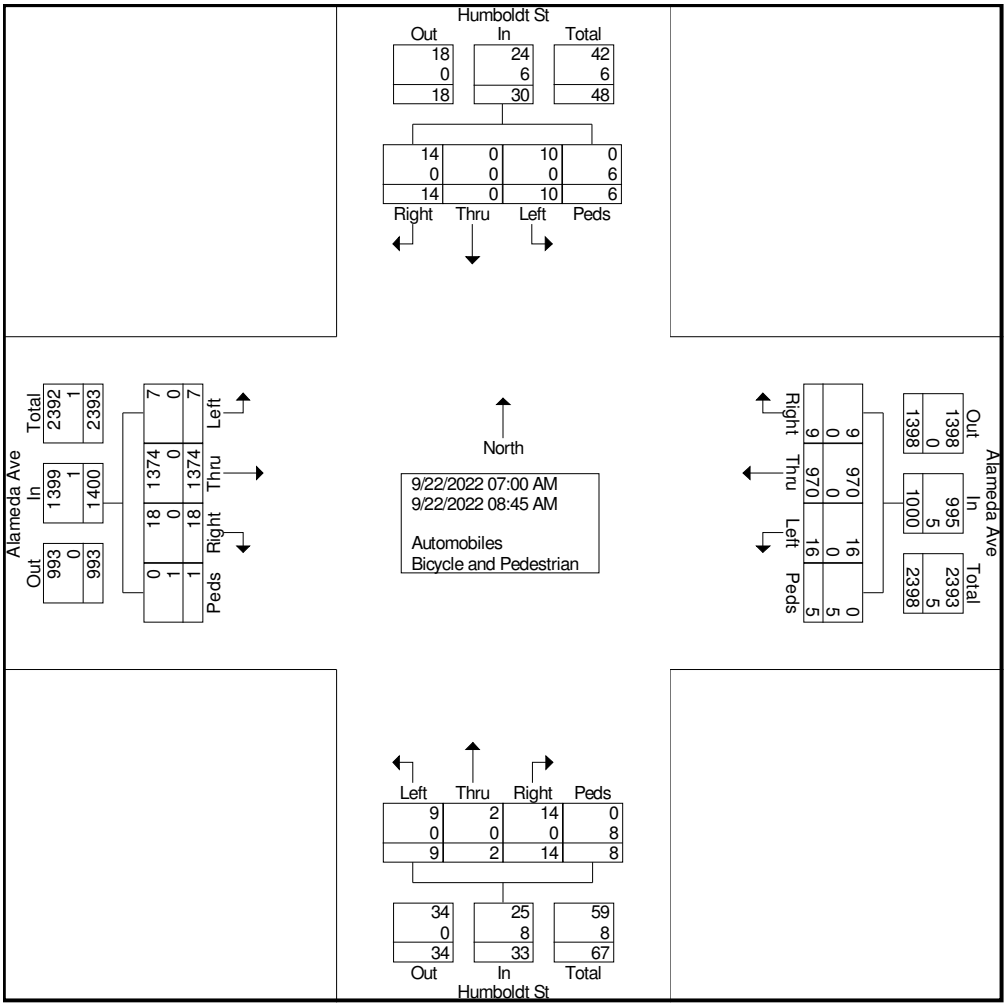

Ridgeview Data Collection

Denver, CO
Alameda Lane Reduction
AM Peak
Alameda Ave and Humboldt St

File Name : Alameda and Humboldt AM
Site Code : KHA 623
Start Date : 9/22/2022
Page No : 3

	Alameda Ave Eastbound					Alameda Ave Westbound					Humboldt St Northbound					Humboldt St Southbound					
Start Time	Left	Thru	Right	Peds	App. Total	Left	Thru	Right	Peds	App. Total	Left	Thru	Right	Peds	App. Total	Left	Thru	Right	Peds	App. Total	Int. Total
Peak Hour Analysis From 07:00 AM to 08:45 AM - Peak 1 of 1																					
Peak Hour for Entire Intersection Begins at 07:30 AM																					
07:30 AM	**2**	165	1	0	168	**3**	127	**1**	0	131	0	0	1	0	1	1	0	1	**1**	3	303
07:45 AM	0	204	2	0	206	1	**176**	1	**1**	**179**	2	0	1	0	3	1	0	2	1	4	392
08:00 AM	2	**240**	**6**	0	**248**	3	146	1	1	151	**4**	**2**	**5**	**5**	**16**	1	0	**6**	1	**8**	**423**
08:15 AM	0	202	3	0	205	3	141	1	0	145	0	0	3	0	3	**3**	0	2	1	6	359
Total Volume	4	811	12	0	827	10	590	4	2	606	6	2	10	5	23	6	0	11	4	21	1477
% App. Total	0.5	98.1	1.5	0		1.7	97.4	0.7	0.3		26.1	8.7	43.5	21.7		28.6	0	52.4	19		
PHF	.500	.845	.500	.000	.834	.833	.838	1.00	.500	.846	.375	.250	.500	.250	.359	.500	.000	.458	1.00	.656	.873

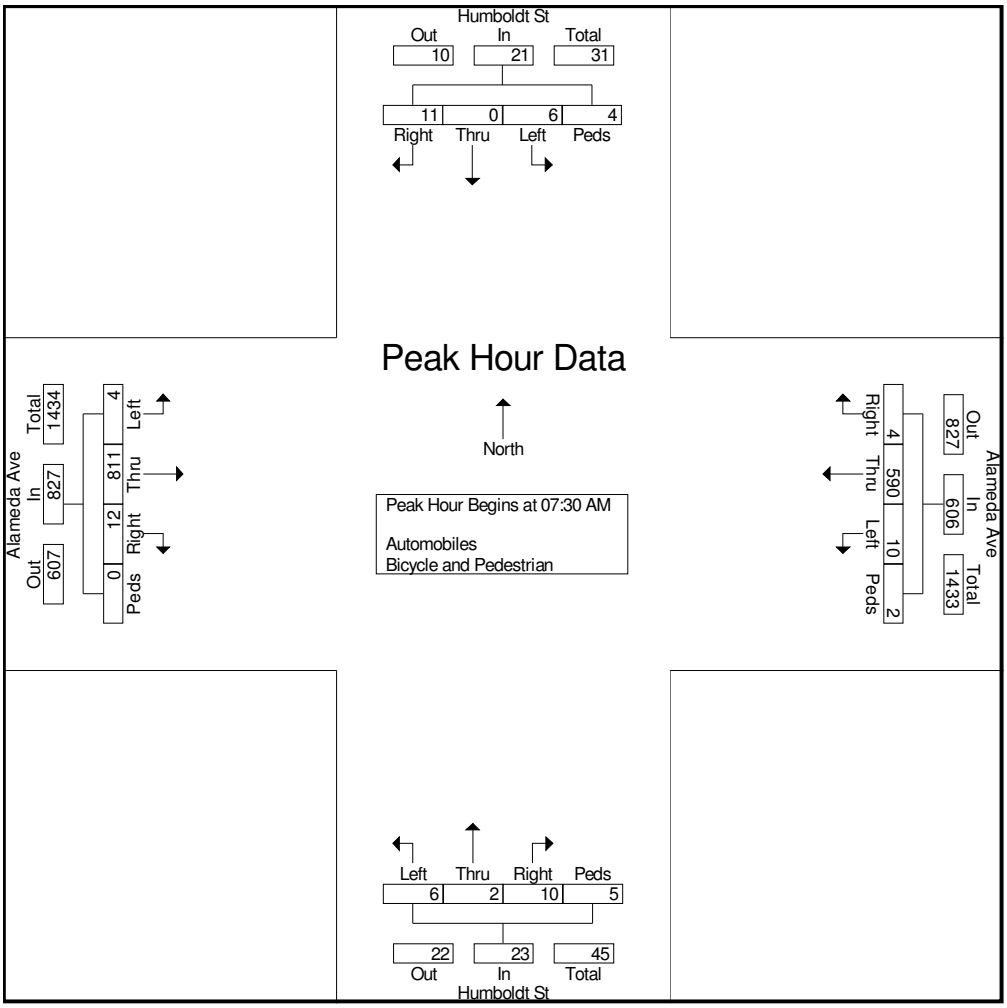

Ridgeview Data Collection

Denver, CO
Alameda Lane Reduction
PM Peak
Alameda Ave and Humboldt St

File Name : Alameda and Humboldt PM
Site Code : KHA 623
Start Date : 9/22/2022
Page No : 1

Groups Printed- Automobiles - Bicycle and Pedestrian

	Alameda Ave Eastbound					Alameda Ave Westbound					Humboldt St Northbound					Humboldt St Southbound					
Start Time	Left	Thru	Right	Peds	App. Total	Left	Thru	Right	Peds	App. Total	Left	Thru	Right	Peds	App. Total	Left	Thru	Right	Peds	App. Total	Int. Total
04:00 PM	1	227	2	2	232	2	206	2	1	211	2	0	2	1	5	1	0	2	3	6	454
04:15 PM	2	224	4	0	230	2	193	2	0	197	0	0	2	0	2	0	1	1	2	4	433
04:30 PM	2	184	2	0	188	1	215	2	2	220	1	0	2	0	3	2	1	3	1	7	418
04:45 PM	0	209	1	0	210	2	194	0	0	196	1	1	0	0	2	0	1	1	2	4	412
Total	5	844	9	2	860	7	808	6	3	824	4	1	6	1	12	3	3	7	8	21	1717
05:00 PM	2	232	1	0	235	1	186	0	0	187	3	1	3	2	9	1	0	0	0	1	432
05:15 PM	2	238	2	0	242	0	214	0	0	214	0	0	0	2	2	1	1	1	0	3	461
05:30 PM	2	190	0	0	192	2	187	2	0	191	1	0	0	0	1	1	0	0	1	2	386
05:45 PM	2	229	3	0	234	0	210	1	0	211	0	0	1	0	1	5	0	1	0	6	452
Total	8	889	6	0	903	3	797	3	0	803	4	1	4	4	13	8	1	2	1	12	1731
Grand Total	13	1733	15	2	1763	10	1605	9	3	1627	8	2	10	5	25	11	4	9	9	33	3448
Apprch %	0.7	98.3	0.9	0.1		0.6	98.6	0.6	0.2		32	8	40	20		33.3	12.1	27.3	27.3		
Total %	0.4	50.3	0.4	0.1	51.1	0.3	46.5	0.3	0.1	47.2	0.2	0.1	0.3	0.1	0.7	0.3	0.1	0.3	0.3	1	
Automobiles	13	1733	15	0	1761	10	1605	9	0	1624	8	1	10	0	19	11	4	9	0	24	3428
% Automobiles	100	100	100	0	99.9	100	100	100	0	99.8	100	50	100	0	76	100	100	100	0	72.7	99.4
Bicycle and Pedestrian	0	0	0	2	2	0	0	0	3	3	0	1	0	5	6	0	0	0	9	9	20
% Bicycle and Pedestrian	0	0	0	100	0.1	0	0	0	100	0.2	0	50	0	100	24	0	0	0	100	27.3	0.6

Ridgeview Data Collection

Denver, CO
Alameda Lane Reduction
PM Peak
Alameda Ave and Humboldt St

File Name : Alameda and Humboldt PM
Site Code : KHA 623
Start Date : 9/22/2022
Page No : 2

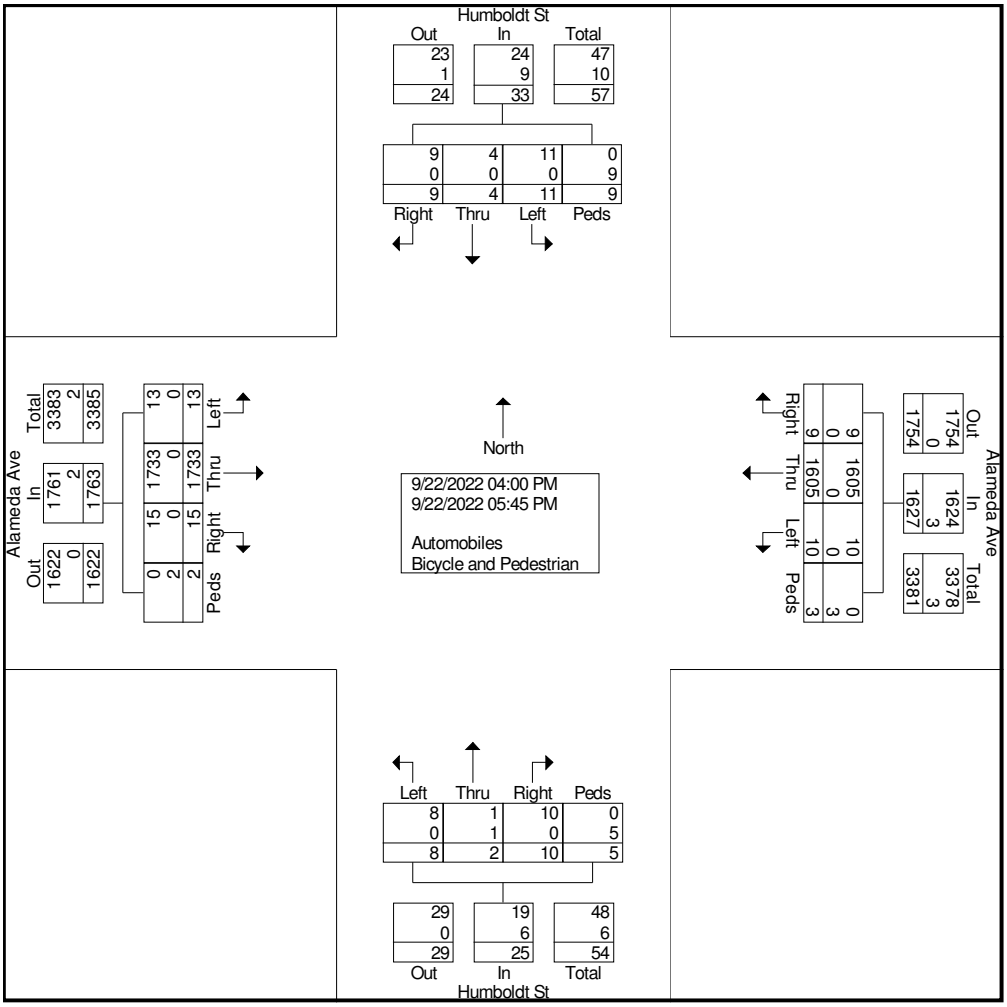

Ridgeview Data Collection

Denver, CO
Alameda Lane Reduction
PM Peak
Alameda Ave and Humboldt St

File Name : Alameda and Humboldt PM
Site Code : KHA 623
Start Date : 9/22/2022
Page No : 3

	Alameda Ave Eastbound					Alameda Ave Westbound					Humboldt St Northbound					Humboldt St Southbound					
Start Time	Left	Thru	Right	Peds	App. Total	Left	Thru	Right	Peds	App. Total	Left	Thru	Right	Peds	App. Total	Left	Thru	Right	Peds	App. Total	Int. Total
Peak Hour Analysis From 04:00 PM to 05:45 PM - Peak 1 of 1																					
Peak Hour for Entire Intersection Begins at 05:00 PM																					
05:00 PM	**2**	232	1	0	235	1	186	0	0	187	**3**	**1**	**3**	**2**	**9**	1	0	0	0	1	432
05:15 PM	2	**238**	2	0	**242**	0	**214**	0	0	**214**	0	0	0	2	2	1	**1**	**1**	0	3	**461**
05:30 PM	2	190	0	0	192	**2**	187	**2**	0	191	1	0	0	0	1	1	0	0	**1**	2	386
05:45 PM	2	229	**3**	0	234	0	210	1	0	211	0	0	1	0	1	**5**	0	1	0	**6**	452
Total Volume	8	889	6	0	903	3	797	3	0	803	4	1	4	4	13	8	1	2	1	12	1731
% App. Total	0.9	98.4	0.7	0		0.4	99.3	0.4	0		30.8	7.7	30.8	30.8		66.7	8.3	16.7	8.3		
PHF	1.00	.934	.500	.000	.933	.375	.931	.375	.000	.938	.333	.250	.333	.500	.361	.400	.250	.500	.250	.500	.939

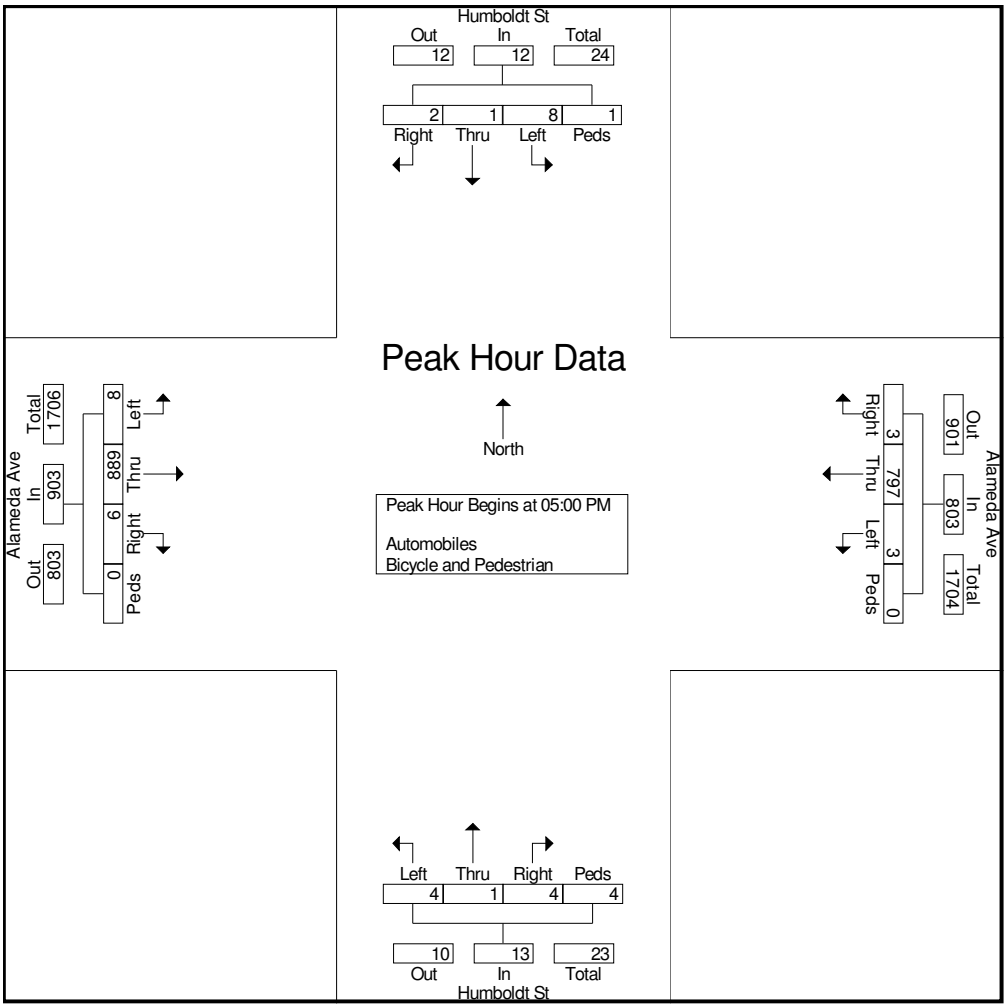

Ridgeview Data Collection

Denver, CO
Alameda Lane Reduction
AM Peak
Alameda Ave and Franklin St

File Name : Alameda and Franklin AM
Site Code : KHA 623
Start Date : 9/22/2022
Page No : 1

Groups Printed- Automobiles - Bicycle and Pedestrian

	Alameda Ave Eastbound					Alameda Ave Westbound					Franklin St Northbound					Franklin St Southbound					
Start Time	Left	Thru	Right	Peds	App. Total	Left	Thru	Right	Peds	App. Total	Left	Thru	Right	Peds	App. Total	Left	Thru	Right	Peds	App. Total	Int. Total
07:00 AM	0	90	3	2	95	0	83	0	1	84	3	0	3	3	9	0	0	0	0	0	188
07:15 AM	0	114	7	0	121	4	95	0	0	99	2	0	2	0	4	2	0	0	0	2	226
07:30 AM	0	163	7	0	170	2	133	0	0	135	1	0	2	0	3	1	0	1	1	3	311
07:45 AM	0	189	15	2	206	4	167	0	0	171	8	0	5	1	14	0	1	0	1	2	393
Total	0	556	32	4	592	10	478	0	1	489	14	0	12	4	30	3	1	1	2	7	1118
08:00 AM	1	220	29	0	250	2	134	2	0	138	15	1	4	0	20	4	1	1	1	7	415
08:15 AM	0	198	13	1	212	4	135	0	0	139	10	5	2	0	17	1	1	2	1	5	373
08:30 AM	1	152	12	0	165	1	105	0	0	106	7	1	0	2	10	1	0	3	0	4	285
08:45 AM	2	178	11	0	191	3	91	1	0	95	3	0	2	0	5	1	0	0	0	1	292
Total	4	748	65	1	818	10	465	3	0	478	35	7	8	2	52	7	2	6	2	17	1365
Grand Total	4	1304	97	5	1410	20	943	3	1	967	49	7	20	6	82	10	3	7	4	24	2483
Apprch %	0.3	92.5	6.9	0.4		2.1	97.5	0.3	0.1		59.8	8.5	24.4	7.3		41.7	12.5	29.2	16.7		
Total %	0.2	52.5	3.9	0.2	56.8	0.8	38	0.1	0	38.9	2	0.3	0.8	0.2	3.3	0.4	0.1	0.3	0.2	1	
Automobiles	4	1304	97	0	1405	20	943	3	0	966	49	7	20	0	76	10	3	7	0	20	2467
% Automobiles	100	100	100	0	99.6	100	100	100	0	99.9	100	100	100	0	92.7	100	100	100	0	83.3	99.4
Bicycle and Pedestrian	0	0	0	5	5	0	0	0	1	1	0	0	0	6	6	0	0	0	4	4	16
% Bicycle and Pedestrian	0	0	0	100	0.4	0	0	0	100	0.1	0	0	0	100	7.3	0	0	0	100	16.7	0.6

Ridgeview Data Collection

Denver, CO
Alameda Lane Reduction
AM Peak
Alameda Ave and Franklin St

File Name : Alameda and Franklin AM
Site Code : KHA 623
Start Date : 9/22/2022
Page No : 2

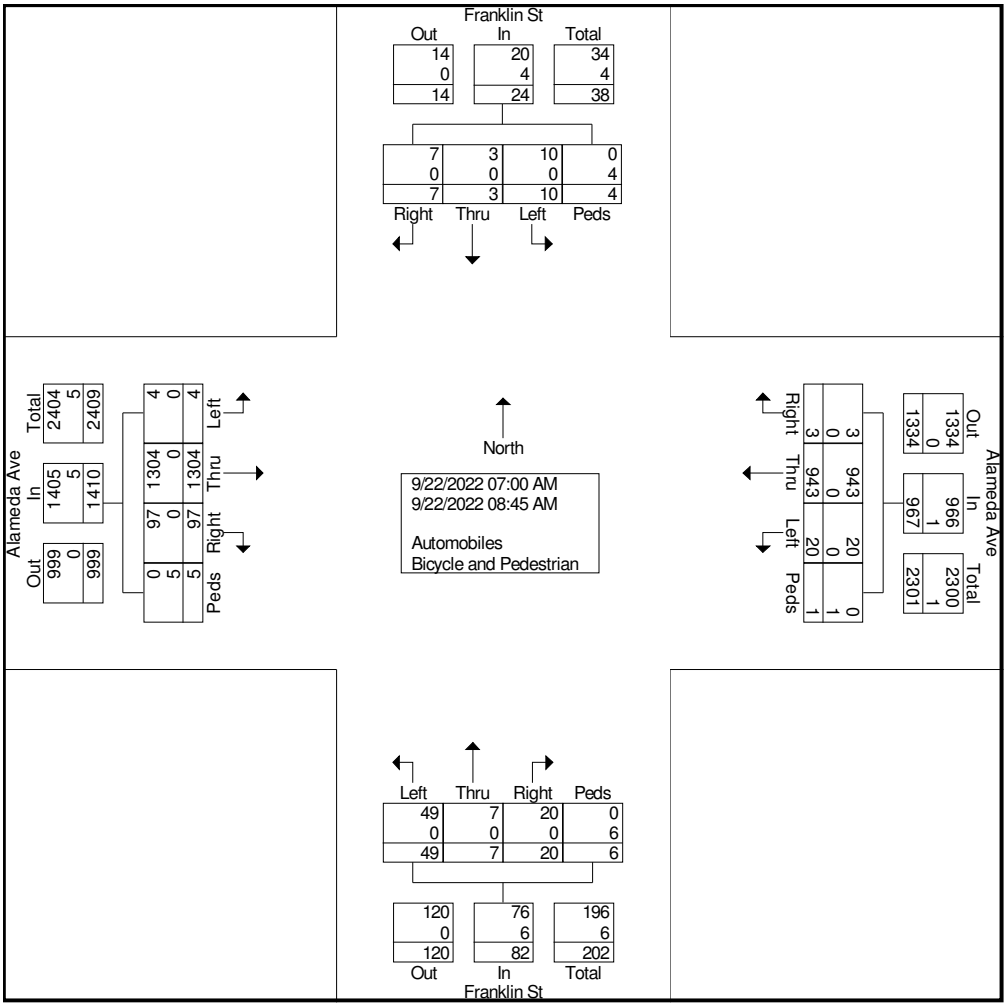

Ridgeview Data Collection

Denver, CO
Alameda Lane Reduction
AM Peak
Alameda Ave and Franklin St

File Name : Alameda and Franklin AM
Site Code : KHA 623
Start Date : 9/22/2022
Page No : 3

	Alameda Ave Eastbound					Alameda Ave Westbound					Franklin St Northbound					Franklin St Southbound					
Start Time	Left	Thru	Right	Peds	App. Total	Left	Thru	Right	Peds	App. Total	Left	Thru	Right	Peds	App. Total	Left	Thru	Right	Peds	App. Total	Int. Total
Peak Hour Analysis From 07:00 AM to 08:45 AM - Peak 1 of 1																					
Peak Hour for Entire Intersection Begins at 07:30 AM																					
07:30 AM	0	163	7	0	170	2	133	0	0	135	1	0	2	0	3	1	0	1	**1**	3	311
07:45 AM	0	189	15	**2**	206	**4**	**167**	0	0	**171**	8	0	**5**	**1**	14	0	**1**	0	1	2	393
08:00 AM	**1**	**220**	**29**	0	**250**	2	134	**2**	0	138	**15**	1	4	0	**20**	**4**	1	1	1	**7**	**415**
08:15 AM	0	198	13	1	212	4	135	0	0	139	10	**5**	2	0	17	1	1	**2**	1	5	373
Total Volume	1	770	64	3	838	12	569	2	0	583	34	6	13	1	54	6	3	4	4	17	1492
% App. Total	0.1	91.9	7.6	0.4		2.1	97.6	0.3	0		63	11.1	24.1	1.9		35.3	17.6	23.5	23.5		
PHF	.250	.875	.552	.375	.838	.750	.852	.250	.000	.852	.567	.300	.650	.250	.675	.375	.750	.500	1.00	.607	.899

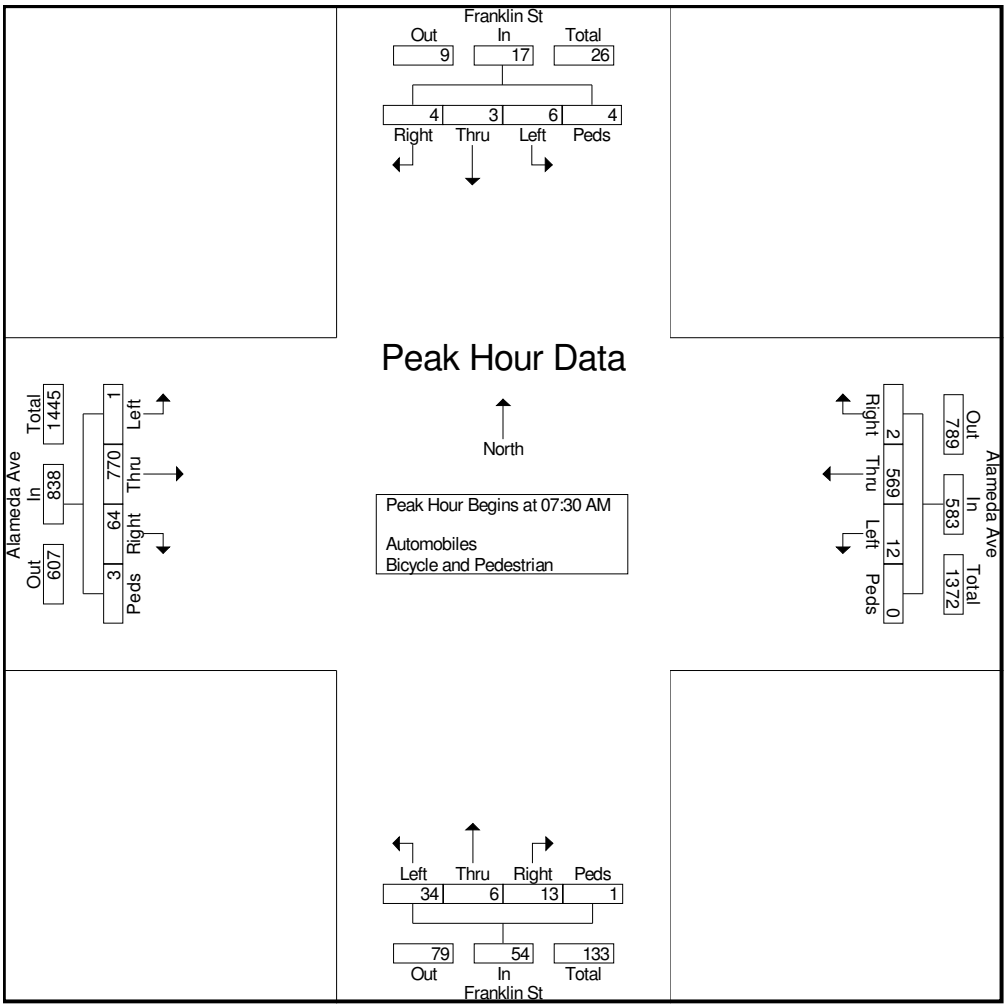

Ridgeview Data Collection

Denver, CO
Alameda Lane Reduction
PM Peak
Alameda Ave and Franklin St

File Name : Alameda and Franklin PM
Site Code : KHA 623
Start Date : 9/22/2022
Page No : 1

Groups Printed- Automobiles - Bicycle and Pedestrian

	Alameda Ave Eastbound					Alameda Ave Westbound					Franklin St Northbound					Franklin St Southbound					
Start Time	Left	Thru	Right	Peds	App. Total	Left	Thru	Right	Peds	App. Total	Left	Thru	Right	Peds	App. Total	Left	Thru	Right	Peds	App. Total	Int. Total
04:00 PM	0	217	16	0	233	3	206	1	1	211	6	0	1	1	8	0	0	3	3	6	458
04:15 PM	2	201	24	2	229	6	186	0	1	193	10	0	3	0	13	0	1	1	7	9	444
04:30 PM	3	164	20	1	188	4	210	2	0	216	11	1	5	0	17	0	5	1	1	7	428
04:45 PM	0	188	21	0	209	5	189	1	0	195	7	0	6	0	13	2	2	0	2	6	423
Total	5	770	81	3	859	18	791	4	2	815	34	1	15	1	51	2	8	5	13	28	1753
05:00 PM	2	221	18	0	241	3	176	0	0	179	11	4	3	0	18	1	1	0	1	3	441
05:15 PM	0	218	20	0	238	5	205	1	2	213	10	2	2	1	15	0	0	3	1	4	470
05:30 PM	1	167	25	0	193	4	178	0	0	182	14	4	3	0	21	0	3	2	1	6	402
05:45 PM	0	203	34	0	237	3	200	1	0	204	12	1	4	0	17	0	1	0	1	2	460
Total	3	809	97	0	909	15	759	2	2	778	47	11	12	1	71	1	5	5	4	15	1773
Grand Total	8	1579	178	3	1768	33	1550	6	4	1593	81	12	27	2	122	3	13	10	17	43	3526
Apprch %	0.5	89.3	10.1	0.2		2.1	97.3	0.4	0.3		66.4	9.8	22.1	1.6		7	30.2	23.3	39.5		
Total %	0.2	44.8	5	0.1	50.1	0.9	44	0.2	0.1	45.2	2.3	0.3	0.8	0.1	3.5	0.1	0.4	0.3	0.5	1.2	
Automobiles	8	1579	178	0	1765	33	1550	6	0	1589	81	12	27	0	120	3	13	10	0	26	3500
% Automobiles	100	100	100	0	99.8	100	100	100	0	99.7	100	100	100	0	98.4	100	100	100	0	60.5	99.3
Bicycle and Pedestrian	0	0	0	3	3	0	0	0	4	4	0	0	0	2	2	0	0	0	17	17	26
% Bicycle and Pedestrian	0	0	0	100	0.2	0	0	0	100	0.3	0	0	0	100	1.6	0	0	0	100	39.5	0.7

Ridgeview Data Collection

Denver, CO
Alameda Lane Reduction
PM Peak
Alameda Ave and Franklin St

File Name : Alameda and Franklin PM
Site Code : KHA 623
Start Date : 9/22/2022
Page No : 2

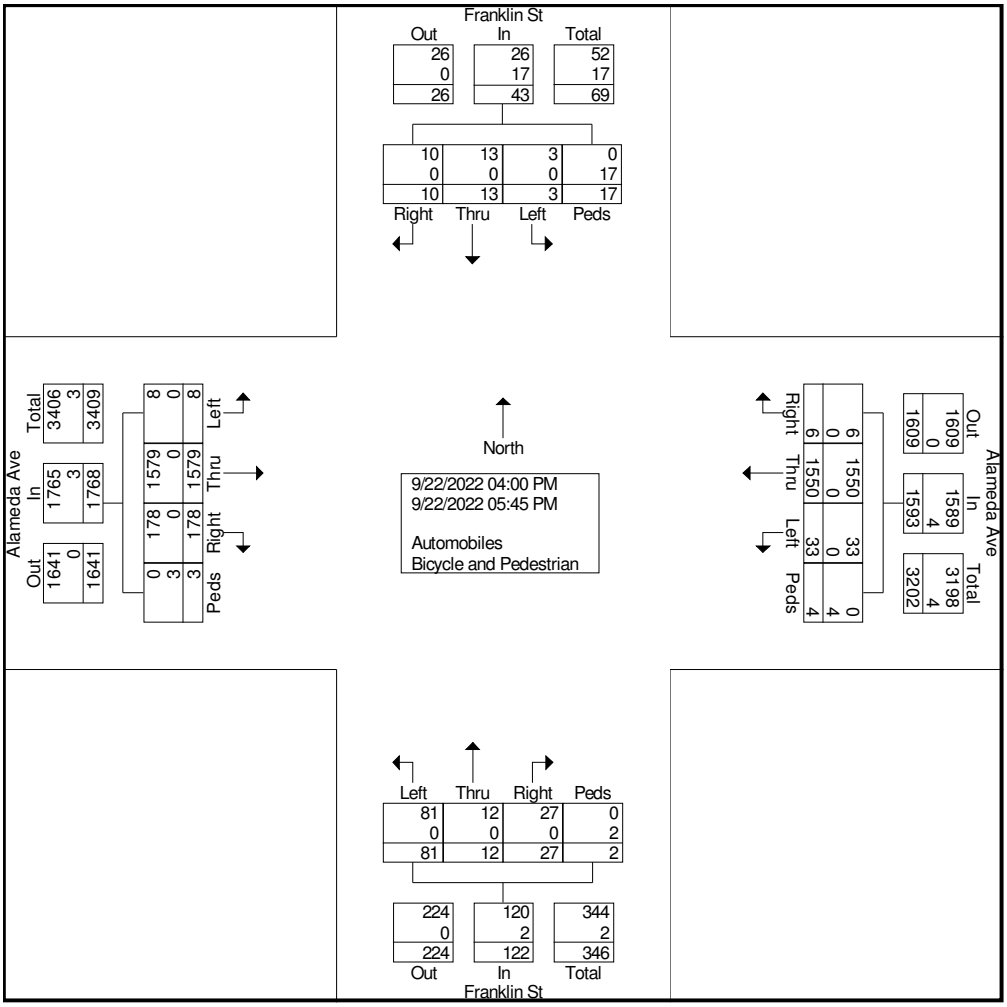

Ridgeview Data Collection

Denver, CO
Alameda Lane Reduction
PM Peak
Alameda Ave and Franklin St

File Name : Alameda and Franklin PM
Site Code : KHA 623
Start Date : 9/22/2022
Page No : 3

	Alameda Ave Eastbound					Alameda Ave Westbound					Franklin St Northbound					Franklin St Southbound					
Start Time	Left	Thru	Right	Peds	App. Total	Left	Thru	Right	Peds	App. Total	Left	Thru	Right	Peds	App. Total	Left	Thru	Right	Peds	App. Total	Int. Total
Peak Hour Analysis From 04:00 PM to 05:45 PM - Peak 1 of 1																					
Peak Hour for Entire Intersection Begins at 05:00 PM																					
05:00 PM	**2**	**221**	18	0	**241**	3	176	0	0	179	11	**4**	3	0	18	**1**	1	0	**1**	3	441
05:15 PM	0	218	20	0	238	**5**	**205**	**1**	**2**	**213**	10	2	2	**1**	15	0	0	**3**	1	4	**470**
05:30 PM	1	167	25	0	193	4	178	0	0	182	**14**	4	3	0	**21**	0	**3**	2	1	**6**	402
05:45 PM	0	203	**34**	0	237	3	200	1	0	204	12	1	**4**	0	17	0	1	0	1	2	460
Total Volume	3	809	97	0	909	15	759	2	2	778	47	11	12	1	71	1	5	5	4	15	1773
% App. Total	0.3	89	10.7	0		1.9	97.6	0.3	0.3		66.2	15.5	16.9	1.4		6.7	33.3	33.3	26.7		
PHF	.375	.915	.713	.000	.943	.750	.926	.500	.250	.913	.839	.688	.750	.250	.845	.250	.417	.417	1.00	.625	.943

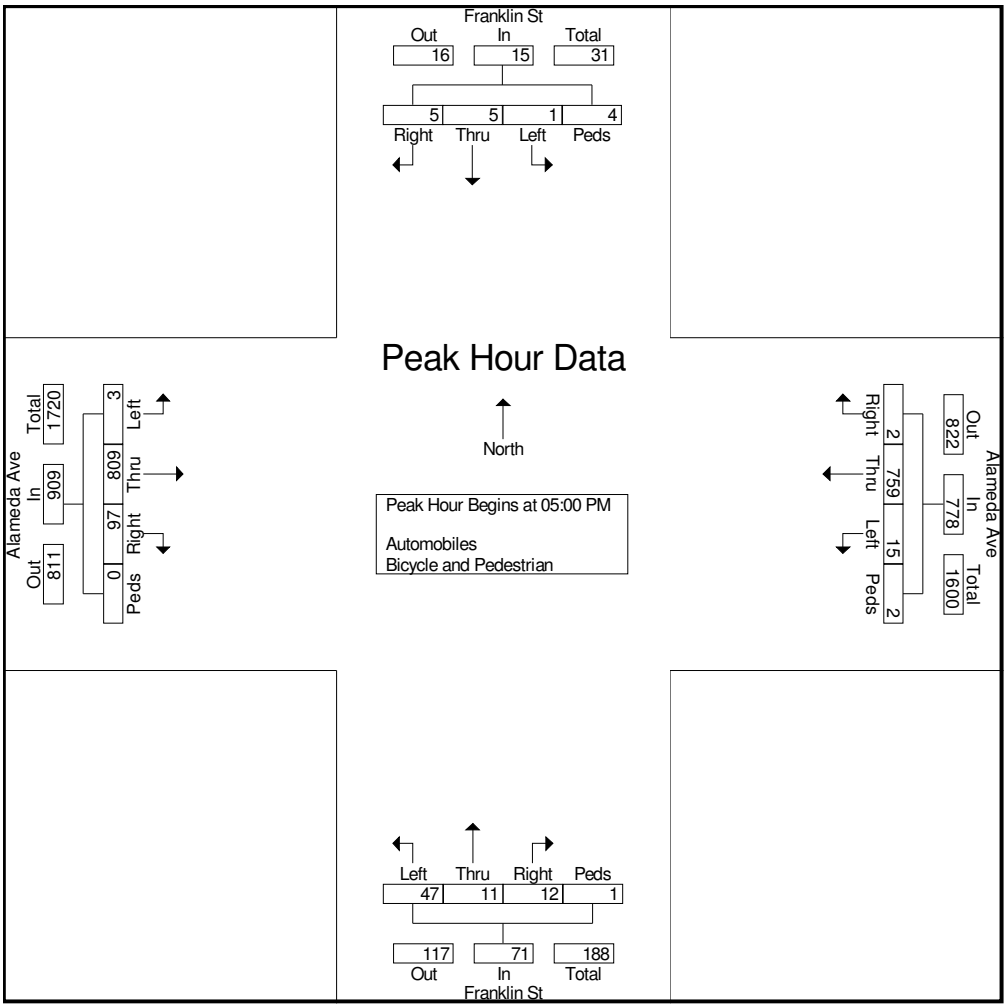

Ridgeview Data Collection

Denver, CO
Alameda Lane Reduction
ADT
Alameda Ave btwn Lincoln & Logan

File Name : Alameda btwn Lincoln and Logan ADT
Site Code : KHA 623
Start Date : 10/25/2022
Page No : 1

Groups Printed- Automobiles

	Alameda Ave Eastbound		Alameda Ave Westbound		
Start Time	Thru	App. Total	Thru	App. Total	Int. Total
12:00 AM	18	18	18	18	36
12:15 AM	11	11	12	12	23
12:30 AM	16	16	12	12	28
12:45 AM	10	10	7	7	17
Total	55	55	49	49	104
01:00 AM	19	19	9	9	28
01:15 AM	10	10	6	6	16
01:30 AM	11	11	4	4	15
01:45 AM	7	7	6	6	13
Total	47	47	25	25	72
02:00 AM	10	10	1	1	11
02:15 AM	7	7	8	8	15
02:30 AM	6	6	3	3	9
02:45 AM	8	8	3	3	11
Total	31	31	15	15	46
03:00 AM	6	6	7	7	13
03:15 AM	3	3	5	5	8
03:30 AM	13	13	7	7	20
03:45 AM	8	8	11	11	19
Total	30	30	30	30	60
04:00 AM	8	8	7	7	15
04:15 AM	4	4	8	8	12
04:30 AM	11	11	10	10	21
04:45 AM	13	13	12	12	25
Total	36	36	37	37	73

Ridgeview Data Collection

Denver, CO
Alameda Lane Reduction
ADT
Alameda Ave btwn Lincoln & Logan

File Name : Alameda btwn Lincoln and Logan ADT
Site Code : KHA 623
Start Date : 10/25/2022
Page No : 2

Groups Printed- Automobiles

	Alameda Ave Eastbound		Alameda Ave Westbound		
Start Time	Thru	App. Total	Thru	App. Total	Int. Total
05:00 AM	13	13	18	18	31
05:15 AM	21	21	15	15	36
05:30 AM	26	26	34	34	60
05:45 AM	45	45	34	34	79
Total	105	105	101	101	206
06:00 AM	47	47	34	34	81
06:15 AM	58	58	55	55	113
06:30 AM	70	70	72	72	142
06:45 AM	76	76	87	87	163
Total	251	251	248	248	499
07:00 AM	98	98	88	88	186
07:15 AM	166	166	113	113	279
07:30 AM	182	182	123	123	305
07:45 AM	224	224	170	170	394
Total	670	670	494	494	1164
08:00 AM	217	217	162	162	379
08:15 AM	191	191	172	172	363
08:30 AM	169	169	154	154	323
08:45 AM	189	189	172	172	361
Total	766	766	660	660	1426
09:00 AM	155	155	118	118	273
09:15 AM	157	157	123	123	280
09:30 AM	160	160	115	115	275
09:45 AM	165	165	144	144	309
Total	637	637	500	500	1137
10:00 AM	163	163	119	119	282
10:15 AM	146	146	123	123	269

Ridgeview Data Collection

Denver, CO
Alameda Lane Reduction
ADT
Alameda Ave btwn Lincoln & Logan

File Name : Alameda btwn Lincoln and Logan ADT
Site Code : KHA 623
Start Date : 10/25/2022
Page No : 3

Groups Printed- Automobiles

	Alameda Ave Eastbound		Alameda Ave Westbound		
Start Time	Thru	App. Total	Thru	App. Total	Int. Total
10:30 AM	120	120	102	102	222
10:45 AM	161	161	144	144	305
Total	590	590	488	488	1078
11:00 AM	174	174	134	134	308
11:15 AM	153	153	130	130	283
11:30 AM	173	173	132	132	305
11:45 AM	170	170	121	121	291
Total	670	670	517	517	1187
12:00 PM	169	169	152	152	321
12:15 PM	200	200	135	135	335
12:30 PM	160	160	139	139	299
12:45 PM	196	196	130	130	326
Total	725	725	556	556	1281
01:00 PM	170	170	158	158	328
01:15 PM	182	182	132	132	314
01:30 PM	199	199	150	150	349
01:45 PM	173	173	141	141	314
Total	724	724	581	581	1305
02:00 PM	166	166	143	143	309
02:15 PM	150	150	140	140	290
02:30 PM	176	176	163	163	339
02:45 PM	194	194	158	158	352
Total	686	686	604	604	1290
03:00 PM	169	169	142	142	311
03:15 PM	184	184	186	186	370
03:30 PM	189	189	184	184	373
03:45 PM	208	208	222	222	430
Total	750	750	734	734	1484

Ridgeview Data Collection

Denver, CO
Alameda Lane Reduction
ADT
Alameda Ave btwn Lincoln & Logan

File Name : Alameda btwn Lincoln and Logan ADT
Site Code : KHA 623
Start Date : 10/25/2022
Page No : 4

Groups Printed- Automobiles

	Alameda Ave Eastbound		Alameda Ave Westbound		
Start Time	Thru	App. Total	Thru	App. Total	Int. Total
04:00 PM	203	203	200	200	403
04:15 PM	217	217	187	187	404
04:30 PM	220	220	172	172	392
04:45 PM	273	273	183	183	456
Total	913	913	742	742	1655
05:00 PM	209	209	169	169	378
05:15 PM	227	227	218	218	445
05:30 PM	236	236	200	200	436
05:45 PM	210	210	171	171	381
Total	882	882	758	758	1640
06:00 PM	239	239	151	151	390
06:15 PM	177	177	151	151	328
06:30 PM	181	181	171	171	352
06:45 PM	179	179	116	116	295
Total	776	776	589	589	1365
07:00 PM	169	169	122	122	291
07:15 PM	137	137	123	123	260
07:30 PM	135	135	100	100	235
07:45 PM	104	104	82	82	186
Total	545	545	427	427	972
08:00 PM	109	109	88	88	197
08:15 PM	91	91	92	92	183
08:30 PM	78	78	83	83	161
08:45 PM	97	97	56	56	153
Total	375	375	319	319	694
09:00 PM	85	85	67	67	152
09:15 PM	75	75	75	75	150

Ridgeview Data Collection

Denver, CO
Alameda Lane Reduction
ADT
Alameda Ave btwn Lincoln & Logan

File Name : Alameda btwn Lincoln and Logan ADT
Site Code : KHA 623
Start Date : 10/25/2022
Page No : 5

Groups Printed- Automobiles

	Alameda Ave Eastbound		Alameda Ave Westbound		
Start Time	Thru	App. Total	Thru	App. Total	Int. Total
09:30 PM	57	57	59	59	116
09:45 PM	64	64	62	62	126
Total	281	281	263	263	544
10:00 PM	68	68	38	38	106
10:15 PM	44	44	36	36	80
10:30 PM	38	38	31	31	69
10:45 PM	38	38	25	25	63
Total	188	188	130	130	318
11:00 PM	32	32	25	25	57
11:15 PM	29	29	28	28	57
11:30 PM	16	16	21	21	37
11:45 PM	18	18	14	14	32
Total	95	95	88	88	183
Grand Total	10828	10828	8955	8955	19783
Apprch %	100		100		
Total %	54.7	54.7	45.3	45.3	

Ridgeview Data Collection

Denver, CO
Alameda Lane Reduction
ADT
Alameda Ave btwn Lincoln & Logan

File Name : Alameda btwn Lincoln and Logan ADT
Site Code : KHA 623
Start Date : 10/25/2022
Page No : 6

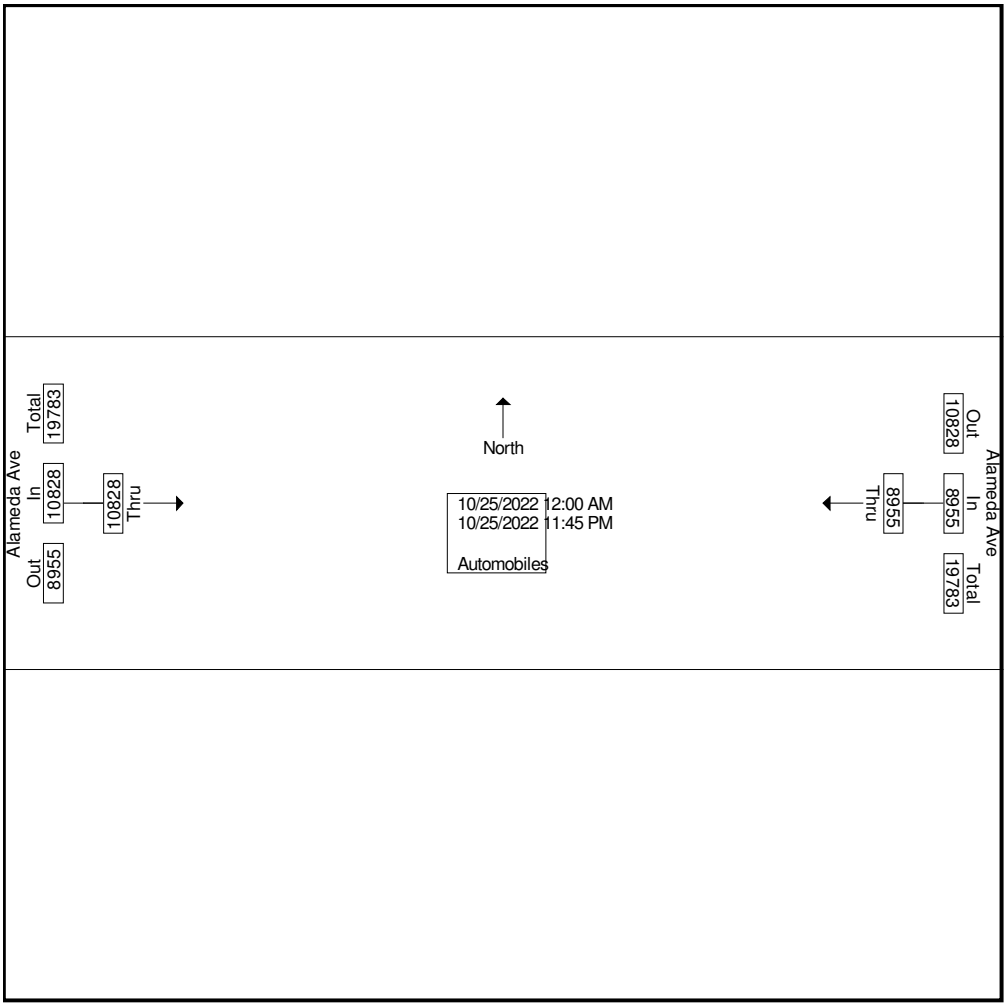

Ridgeview Data Collection

Denver, CO
Alameda Lane Reduction
ADT
Alameda Ave btwn Lincoln & Logan

File Name : Alameda btwn Lincoln and Logan ADT
Site Code : KHA 623
Start Date : 10/25/2022
Page No : 7

	Alameda Ave Eastbound		Alameda Ave Westbound		
Start Time	Thru	App. Total	Thru	App. Total	Int. Total
Peak Hour Analysis From 12:00 AM to 11:45 AM - Peak 1 of 1					
Peak Hour for Entire Intersection Begins at 07:45 AM					
07:45 AM	**224**	**224**	170	170	**394**
08:00 AM	217	217	162	162	379
08:15 AM	191	191	**172**	**172**	363
08:30 AM	169	169	154	154	323
Total Volume	801	801	658	658	1459
% App. Total	100		100		
PHF	.894	.894	.956	.956	.926

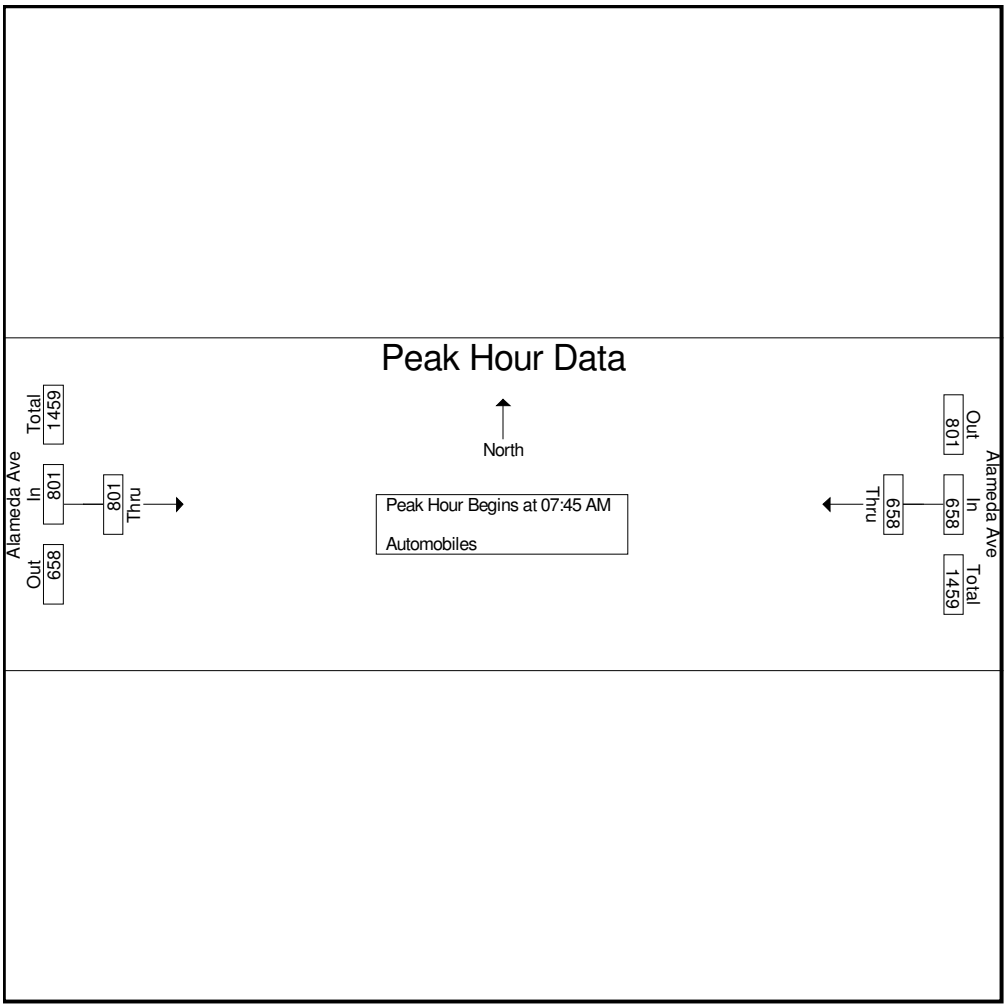

Ridgeview Data Collection

Denver, CO
Alameda Lane Reduction
ADT
Alameda Ave btwn Lincoln & Logan

File Name : Alameda btwn Lincoln and Logan ADT
Site Code : KHA 623
Start Date : 10/25/2022
Page No : 8

	Alameda Ave Eastbound		Alameda Ave Westbound		
Start Time	Thru	App. Total	Thru	App. Total	Int. Total
Peak Hour Analysis From 12:00 PM to 11:45 PM - Peak 1 of 1					
Peak Hour for Entire Intersection Begins at 04:45 PM					
04:45 PM	**273**	**273**	183	183	**456**
05:00 PM	209	209	169	169	378
05:15 PM	227	227	**218**	**218**	445
05:30 PM	236	236	200	200	436
Total Volume	945	945	770	770	1715
% App. Total	100		100		
PHF	.865	.865	.883	.883	.940

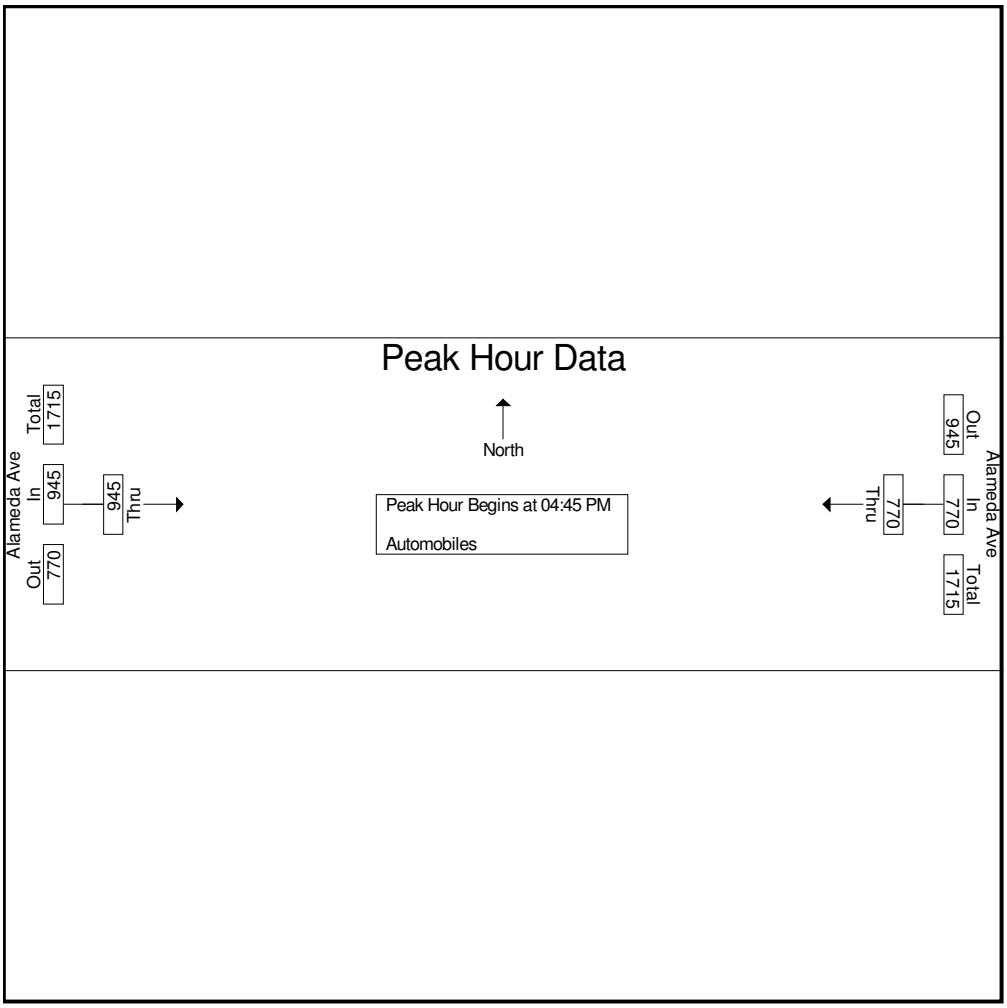

Daily Vehicle Volume Report

Study Date: Tuesday, 09/20/2022
Unit ID: RDC 19
Location: Alameda Ave between S Logan St and S Downing St
Comments:

	Westbound Volume	Eastbound Volume	Total Volume
00:00 - 00:59	32	57	**89**
01:00 - 01:59	20	28	**48**
02:00 - 02:59	11	19	**30**
03:00 - 03:59	16	25	**41**
04:00 - 04:59	35	42	**77**
05:00 - 05:59	87	95	**182**
06:00 - 06:59	237	293	**530**
07:00 - 07:59	485	560	**1045**
08:00 - 08:59	549	752	**1301**
09:00 - 09:59	450	567	**1017**
10:00 - 10:59	507	553	**1060**
11:00 - 11:59	553	591	**1144**
12:00 - 12:59	579	645	**1224**
13:00 - 13:59	577	637	**1214**
14:00 - 14:59	618	599	**1217**
15:00 - 15:59	716	709	**1425**
16:00 - 16:59	691	829	**1520**
17:00 - 17:59	721	860	**1581**
18:00 - 18:59	691	676	**1367**
19:00 - 19:59	458	446	**904**
20:00 - 20:59	304	331	**635**
21:00 - 21:59	261	263	**524**
22:00 - 22:59	144	160	**304**
23:00 - 23:59	60	86	**146**
Totals	**8802**	**9823**	**18625**
AM Peak Time	**07:30 - 08:29**	**07:50 - 08:49**	**07:40 - 08:39**
AM Peak Volume	**585**	**760**	**1334**
PM Peak Time	**17:21 - 18:20**	**17:06 - 18:05**	**17:00 - 17:59**
PM Peak Volume	**742**	**865**	**1581**

Daily Vehicle Volume Report

Study Date: Tuesday, 09/20/2022 / Wednesday, 09/21/2022

Unit ID: RDC 8

Location: Alameda Ave between S Downing St and S Franklin St

Comments:

	Westbound Volume	Eastbound Volume	Total Volume
23:00 - 23:59	48	60	**108**
00:00 - 00:59	35	34	**69**
01:00 - 01:59	19	23	**42**
02:00 - 02:59	9	17	**26**
03:00 - 03:59	13	12	**25**
04:00 - 04:59	25	31	**56**
05:00 - 05:59	93	86	**179**
06:00 - 06:59	186	302	**488**
07:00 - 07:59	451	603	**1054**
08:00 - 08:59	455	893	**1348**
09:00 - 09:59	397	585	**982**
10:00 - 10:59	399	542	**941**
11:00 - 11:59	475	591	**1066**
12:00 - 12:59	508	577	**1085**
13:00 - 13:59	584	693	**1277**
14:00 - 14:59	532	615	**1147**
15:00 - 15:59	626	663	**1289**
16:00 - 16:59	685	852	**1537**
17:00 - 17:59	606	768	**1374**
18:00 - 18:59	389	634	**1023**
19:00 - 19:59	306	382	**688**
20:00 - 20:59	206	320	**526**
21:00 - 21:59	146	195	**341**
22:00 - 22:59	95	119	**214**
Totals	**7288**	**9597**	**16885**
AM Peak Time	**07:35 - 08:34**	**07:46 - 08:45**	**07:43 - 08:42**
AM Peak Volume	**528**	**938**	**1441**
PM Peak Time	**16:33 - 17:32**	**16:09 - 17:08**	**16:13 - 17:12**
PM Peak Volume	**709**	**875**	**1553**